FLOSS Solutions for Open Land Administration (SOLA)

Data Dictionary

FAO NRC Land Tenure Team
version: 1.0
09/08/2012

Contents

Introduction . . . 6
document . . . 7
- document . . . 7

system . . . 9
- office . . . 9
- district . . . 12
- vdc . . . 13
- appuser . . . 14
- department . . . 16
- alpha_code . . . 17
- setting . . . 18
- appuser_setting . . . 20
- language . . . 21
- config_map_layer . . . 22
- config_map_layer_type . . . 25
- query . . . 26
- br . . . 30
- br_technical_type . . . 32
- br_validation . . . 33
- br_severity_type . . . 35
- br_validation_target_type . . . 36
- br_definition . . . 37
- approle . . . 38
- approle_appgroup . . . 41
- appgroup . . . 42
- appuser_appgroup . . . 43
- query_field . . . 44
- financial_year . . . 47
- np_calendar . . . 48
- restriction_type . . . 49
- user_roles . . . 50
- br_current . . . 51
- br_report . . . 52

source . . . 53
- source . . . 53
- archive . . . 56
- presentation_form_type . . . 57
- availability_status_type . . . 59
- administrative_source_type . . . 60
- spatial_source . . . 62
- spatial_source_type . . . 63
- spatial_source_measurement . . . 65

transaction . . . 66
reg_status_type . . . 66
transaction . . . 68
transaction_status_type . . . 70
transaction_source . . . 71
application . . . 72
service . . . 72
application . . . 74
application_action_type . . . 77
application_status_type . . . 80
request_type . . . 82
request_category_type . . . 87
type_action . . . 88
service_status_type . . . 89
service_action_type . . . 90
application_property . . . 92
application_uses_source . . . 94
request_type_requires_source_type . . . 95
party . . . 97
party . . . 97
party_type . . . 101
communication_type . . . 102
id_type . . . 103
gender_type . . . 104
group_party . . . 105
group_party_type . . . 106
party_member . . . 107
party_role . . . 108
party_role_type . . . 109
address . . . 111
address . . . 111
administrative . . . 113
rrr_type . . . 113
rrr_group_type . . . 117
ba_unit . . . 118
ba_unit_type . . . 121
rrr . . . 122
mortgage_type . . . 125
loc . . . 126
moth . . . 127
restriction_office . . . 128
restriction_reason . . . 129
owner_type . . . 130
share_type . . . 131

restriction_release_reason . . . 132
mortgage_isbased_in_rrr . . . 133
source_describes_rrr . . . 134
source_describes_ba_unit . . . 135
required_relationship_baunit . . . 136
ba_unit_rel_type . . . 137
ba_unit_as_party . . . 138
notation . . . 139
rrr_share . . . 140
party_for_rrr . . . 141
ba_unit_target . . . 142
tenant_type . . . 143
cadastre . . . 144
cadastre_object . . . 144
spatial_unit . . . 147
dimension_type . . . 149
surface_relation_type . . . 150
level . . . 151
register_type . . . 153
structure_type . . . 154
level_content_type . . . 155
cadastre_object_type . . . 157
building_unit_type . . . 158
map_sheet . . . 159
parcel_type . . . 160
land_use . . . 161
land_class . . . 162
spatial_value_area . . . 163
area_type . . . 164
spatial_unit_address . . . 165
spatial_unit_group . . . 166
spatial_unit_in_group . . . 167
legal_space_utility_network . . . 168
utility_network_status_type . . . 169
utility_network_type . . . 170
cadastre_object_target . . . 171
survey_point . . . 172
cadastre_object_node_target . . . 173
verticalParcel . . . 174
construction . . . 175
construction_type . . . 176
boundary_type . . . 177
adminstrative_boundary_type . . . 178
map_boundary_type . . . 179

segments 180
road 181
survey_control 182
place_name 183

Introduction

The SOLA database has been created as part of a project undertaken by the UN Food and Agriculture Organization (with funding from the Government of Finland) to develop open source software that supports cadastre and registration functions in land administration agencies. It has a particular goal of making computerized systems supporting open land administration more affordable and sustainable in developing countries.

The SOLA database is implemented in a Postgre SQL database and is a relational database implementation of an extended version of the Land Administration Data Model (LADM) which is currently a Draft International Standard (DIS 19152). It has been necessary to extend DIS 19152 because of the operational needs of land administration agencies to incorporate case management and other features into any system that supports the processing of client service requests (for land information, registration and cadastre change requests and others) and the maintaining and updating of the record of rights and restrictions, ownership and property boundaries. The FLOSS SOLA software supports this range of land administration business processes and the SOLA database is an integral part of the FLOSS SOLA database.

The SOLA Data Dictionary is organized according to the database schemas defined in the SOLA database. Within each section for a schema there is a definition of all tables including their description, column, constraints and relationship details.

The SOLA database should be considered a work in progress over the period 2011 - 2013 while the initial FLOSS SOLA software is under development and pilot implementation are being undertaken. For this reason those referring to this document should check www.flossola.org to ensure they have the latest version.

document

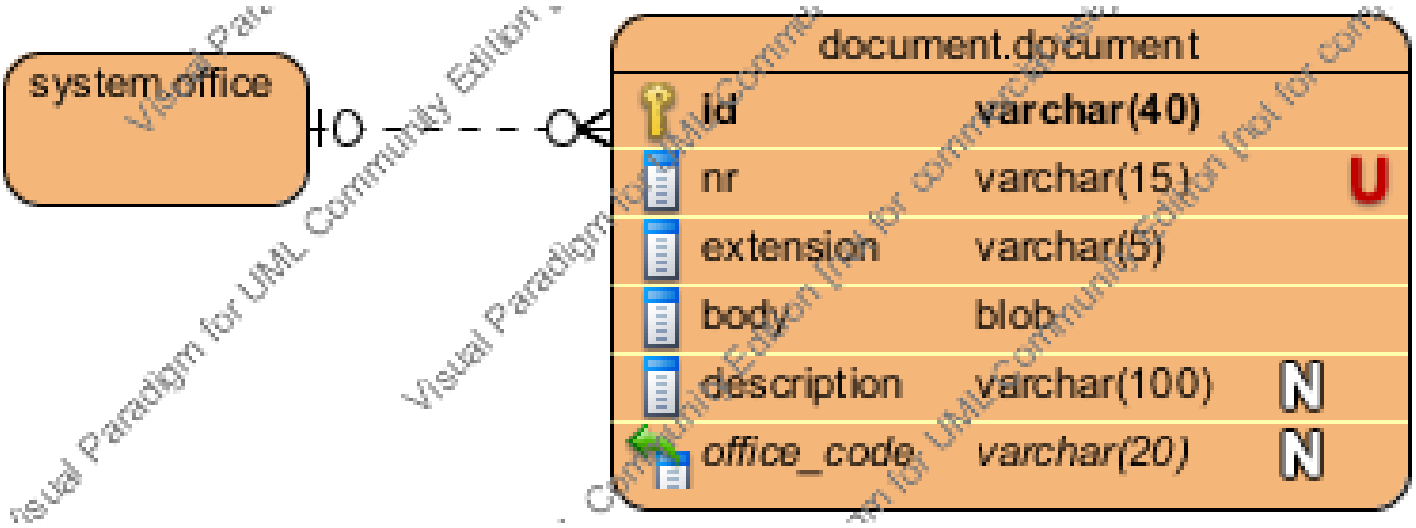

document

An extension of the source table to contain the image files of scanned documents forming part of the land office archive including the paper documents presented or created through cadastre or registration processesLADM Reference ObjectFLOSS SOLA ExtensionLADM DefinitionNot Applicable

Columns

Name	Type	Optional	Default	Description
id	varchar(40)	False		**LADM Definition** - The identifier of the source document
nr	varchar(15)	False		**SOLA Extension** - A unique number to identify the document
extension	varchar(5)	False		**SOLA Extension** - The extension of the original file.
body	bytea	False		**SOLA Extension** - The content of the document
description	varchar(100)	True		**SOLA Extension** - A name to recognize the document
office_code	varchar(20)	True		

Constraints

Name	Type	Explanation
document_nr_unique	UNIQUE	Combination of (nr) is unique
document_pkey	PRIMARY KEY	Combination of (id) is the primary key

Relationships (from)

Name	Information	Description

document_office_code_fk131	**From columns**: office_code **To Entity**: office **From cardinality**: 0..* **To Cardinality**: 0..1	

Relationships (to)

Name	Information	Description
party_photo_id_fk145	**From columns**: photo_id **From Entity**: party **From cardinality**: 0..* **To Cardinality**: 0..1	
party_left_finger_id_fk146	**From columns**: left_finger_id **From Entity**: party **From cardinality**: 0..* **To Cardinality**: 0..1	
party_right_finger_id_fk147	**From columns**: right_finger_id **From Entity**: party **From cardinality**: 0..* **To Cardinality**: 0..1	
party_signature_id_fk148	**From columns**: signature_id **From Entity**: party **From cardinality**: 0..* **To Cardinality**: 0..1	

system

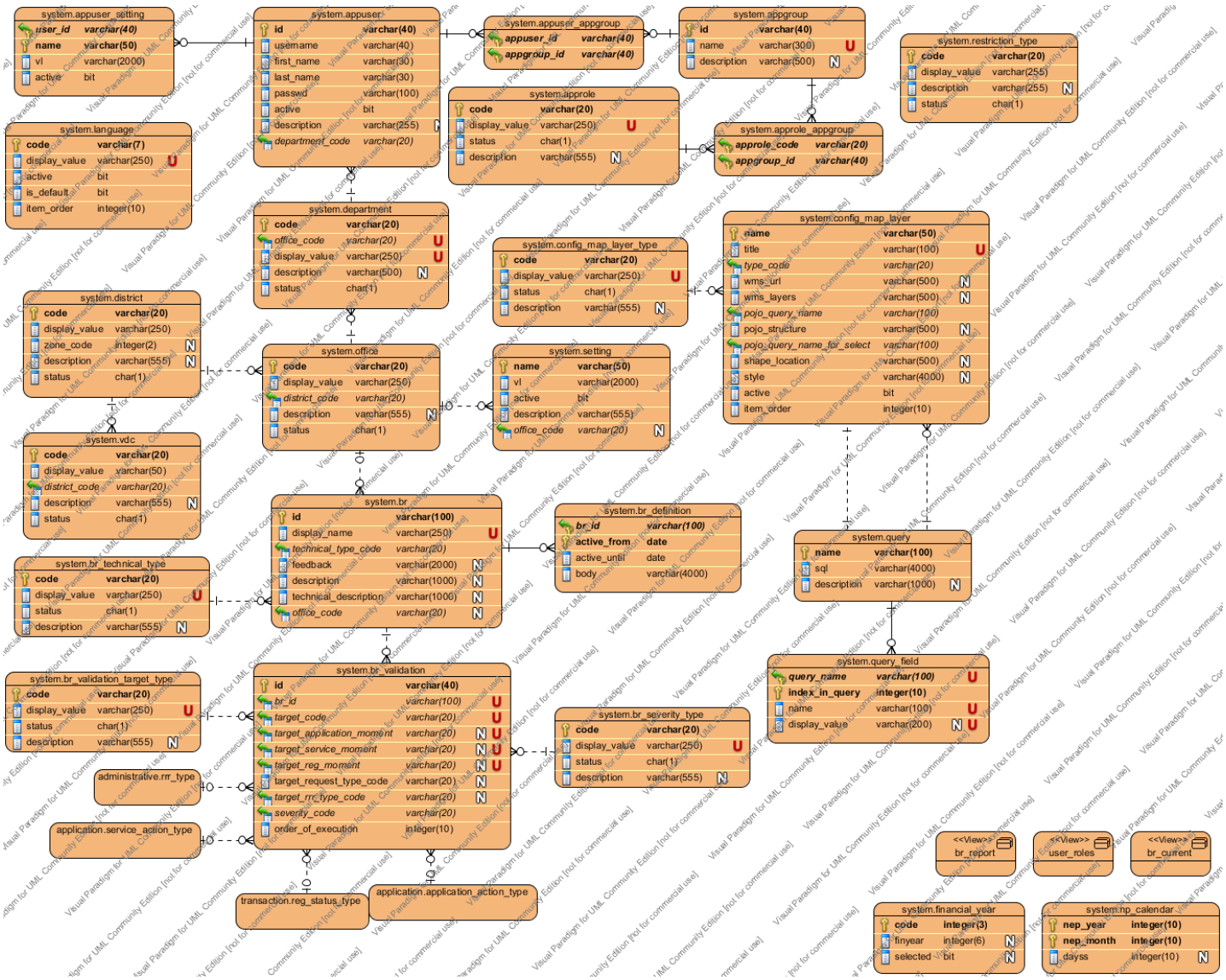

office

Introduced in Nepal project.List of offices.

Columns

Name	Type	Optional	Default	Description
code	varchar(20)	False		
display_value	varchar(250)	False		
district_code	varchar(20)	False		
description	varchar(555)	True		
status	char(1)	False	'c'	

Constraints

Name	Type	Explanation

office_pkey	PRIMARY KEY	Combination of (code) is the primary key

Relationships (from)

Name	Information	Description
office_district_code_fk123	**From columns**: district_code **To Entity**: district **From cardinality**: 0..* **To Cardinality**: 1	

Relationships (to)

Name	Information	Description
department_office_code_fk125	**From columns**: office_code **From Entity**: department **From cardinality**: 0..* **To Cardinality**: 1	
department_office_code_fk127	**From columns**: office_code **From Entity**: department **From cardinality**: 0..* **To Cardinality**: 1	
source_office_code_fk130	**From columns**: office_code **From Entity**: source **From cardinality**: 0..* **To Cardinality**: 0..1	
document_office_code_fk131	**From columns**: office_code **From Entity**: document **From cardinality**: 0..* **To Cardinality**: 0..1	
party_office_code_fk134	**From columns**: office_code **From Entity**: party **From cardinality**: 0..* **To Cardinality**: 0..1	
ba_unit_office_code_fk135	**From columns**: office_code **From Entity**: ba_unit **From cardinality**: 0..* **To Cardinality**: 1	
cadastre_object_office_code_fk136	**From columns**: office_code **From Entity**: cadastre_object **From cardinality**: 0..* **To Cardinality**: 0..1	
application_office_code_fk137	**From columns**: office_code **From Entity**: application **From cardinality**: 0..* **To Cardinality**: 0..1	
br_office_code_fk138	**From columns**: office_code **From Entity**: br **From cardinality**: 0..* **To Cardinality**: 0..1	

setting_office_code_fk139	**From columns**: office_code **From Entity**: setting **From cardinality**: 0..* **To Cardinality**: 0..1	
moth_office_code_fk140	**From columns**: office_code **From Entity**: moth **From cardinality**: 0..* **To Cardinality**: 0..1	
loc_office_code_fk141	**From columns**: office_code **From Entity**: loc **From cardinality**: 0..* **To Cardinality**: 0..1	
map_sheet_office_code_fk142	**From columns**: office_code **From Entity**: map_sheet **From cardinality**: 0..* **To Cardinality**: 0..1	
transaction_office_code_fk143	**From columns**: office_code **From Entity**: transaction **From cardinality**: 0..* **To Cardinality**: 0..1	
cadastre_object_target_office_code_fk149	**From columns**: office_code **From Entity**: cadastre_object_target **From cardinality**: 0..* **To Cardinality**: 1	
rrr_office_code_fk154	**From columns**: office_code **From Entity**: rrr **From cardinality**: 0..* **To Cardinality**: 1	

Data

Nr	code	display_value	district_code	description	status
1	7-25-003-001	Lalitpur - LMO first section	25		

district

Introduced in Nepal project.List of districts

Columns

Name	Type	Optional	Default	Description
code	varchar(20)	False		
display_value	varchar(250)	False		
zone_code	integer	True		
description	varchar(555)	True		
status	char(1)	False	'c'	

Constraints

Name	Type	Explanation
district_pkey	PRIMARY KEY	Combination of (code) is the primary key

Relationships (to)

Name	Information	Description
office_district_code_fk123	**From columns**: district_code **From Entity**: office **From cardinality**: 0..* **To Cardinality**: 1	
vdc_district_code_fk124	**From columns**: district_code **From Entity**: vdc **From cardinality**: 0..* **To Cardinality**: 1	

Data

Nr	code	display_value	zone_code	description	status
1	25	Lalitpur	7		
2	27	Bhaktpur	7		

vdc

Introduced in Nepal project.List of VDCs (village development commission)

Columns

Name	Type	Optional	Default	Description
code	varchar(20)	False		
display_value	varchar(50)	False		
district_code	varchar(20)	False		
description	varchar(555)	True		
status	char(1)	False	'c'	

Constraints

Name	Type	Explanation
vdc_pkey	PRIMARY KEY	Combination of (code) is the primary key

Relationships (from)

Name	Information	Description
vdc_district_code_fk124	**From columns**: district_code **To Entity**: district **From cardinality**: 0..* **To Cardinality**: 1	

Relationships (to)

Name	Information	Description
moth_vdc_code_fk128	**From columns**: vdc_code **From Entity**: moth **From cardinality**: 0..* **To Cardinality**: 1	
address_vdc_code_fk144	**From columns**: vdc_code **From Entity**: address **From cardinality**: 0..* **To Cardinality**: 1	

Data

Nr	code	display_value	district_code	description	status
1	43055	Singana	25	Test VDC	c
2	27009	Mulpani	27	Mulpani	c

appuser

This table contains list of users, who has an access to the application, can login and do certain actions.

Columns

Name	Type	Optional	Default	Description
id	varchar(40)	False		**SOLA Extension** - the SOLA user id
username	varchar(40)	False		**SOLA Extension** - User name of a SOLA user
first_name	varchar(30)	False		**SOLA Extension** - First name of SOLA user
last_name	varchar(30)	False		**SOLA Extension** - Last name of SOLA user
passwd	varchar(100)	False	uuid_generate_v1()	**SOLA Extension** - Password of the SOLA user
active	bool	False	true	**SOLA Extension** - the flag for whether a SOLA user is considered active (or not)
description	varchar(255)	True		**SOLA Extension** - a description of the SOLA user
department_code	varchar(20)	False		Introduced in Nepal project. Department ID.

Constraints

Name	Type	Explanation
appuser_username_unique	UNIQUE	Combination of (username) is unique
appuser_pkey	PRIMARY KEY	Combination of (id) is the primary key

Relationships (from)

Name	Information	Description
appuser_department_code_fk126	**From columns**: department_code **To Entity**: department **From cardinality**: 0..* **To Cardinality**: 1	

Relationships (to)

Name	Information	Description
application_assignee_id_fk49	**From columns**: assignee_id **From Entity**: application **From cardinality**: 0..* **To Cardinality**: 0..1	FLOSS SOLA relationship - no refinement
appuser_setting_user_id_fk51	**From columns**: user_id **From Entity**: appuser_setting **From cardinality**: 0..* **To Cardinality**: 1	FLOSS SOLA relationship - no refinement
appuser_appgroup_appuser_id_fk100	**From columns**: appuser_id **From Entity**: appuser_appgroup **From cardinality**: 0..* **To Cardinality**: 1	

Data

Nr	id	username	first_name
1	test-id	test	Test

Nr	last_name	passwd	active
1	The BOSS	9f86d081884c7d659a2feaa0c55ad015a3bf4f1b2b0b822cd15d6c15b0f00a08	true

Nr	description	department_code
1		Lalitpur-001

department

Introduced in Nepal project.List of departments, related to the office.

Columns

Name	Type	Optional	Default	Description
code	varchar(20)	False		Primary key
office_code	varchar(20)	False		Code of office the department relates to.
display_value	varchar(250)	False		Department name
description	varchar(500)	True		
status	char(1)	False	'c'	

Constraints

Name	Type	Explanation
department_unique_department_name	UNIQUE	Combination of (office_code, display_value) is unique
department_pkey	PRIMARY KEY	Combination of (code) is the primary key

Relationships (from)

Name	Information	Description
department_office_code_fk125	**From columns**: office_code **To Entity**: office **From cardinality**: 0..* **To Cardinality**: 1	
department_office_code_fk127	**From columns**: office_code **To Entity**: office **From cardinality**: 0..* **To Cardinality**: 1	

Relationships (to)

Name	Information	Description
appuser_department_code_fk126	**From columns**: department_code **From Entity**: appuser **From cardinality**: 0..* **To Cardinality**: 1	

Data

Nr	code	office_code	display_value	description	status
1	Lalitpur-001	7-25-003-001	Section-001, Lalitpur LMO		

alpha_code

Introduced in Nepal project.List of alphabet characters, used to index paper maps.

Columns

Name	Type	Optional	Default	Description
code	varchar(20)	False		
alpha_char	varchar(10)	True		

Constraints

Name	Type	Explanation
alpha_code_pkey	PRIMARY KEY	Combination of (code) is the primary key

setting

Global settings for the FLOSS SOLA applicationLADM Reference ObjectFLOSS SOLA ExtensionLADM DefinitionNot Applicable

Columns

Name	Type	Optional	Default	Description
name	varchar(50)	False		**SOLA Extension** - name of the setting
vl	varchar(2000)	False		**SOLA Extension** - Value of the setting
active	bool	False	true	**SOLA Extension** - if the setting is active or not.
description	varchar(555)	False		
office_code	varchar(20)	True		

Constraints

Name	Type	Explanation
setting_pkey	PRIMARY KEY	Combination of (name) is the primary key

Relationships (from)

Name	Information	Description
setting_office_code_fk139	**From columns**: office_code **To Entity**: office **From cardinality**: 0..* **To Cardinality**: 0..1	

Data

Nr	name	vl	active	description	office_code
1	map-srid	2193	true	The srid of the geographic data that are administered in the system.	
2	map-west	1776400	true	The most west coordinate. It is used in the map control.	
3	map-south	5919888	true	The most south coordinate. It is used in the map control.	

4	map-east	1795771	true	The most east coordinate. It is used in the map control.	
5	map-north	5932259	true	The most north coordinate. It is used in the map control.	
6	map-tolerance	0.001	true	The tolerance that is used while snapping geometries to each other. If two points are within this distance are considered being in the same location.	
7	map-shift-tolerance-rural	20	true	The shift tolerance of boundary points used in cadastre change in rural areas.	
8	map-shift-tolerance-urban	5	true	The shift tolerance of boundary points used in cadastre change in urban areas.	

appuser_setting

Software settings specific for a user within the FLOSS SOLA application

LADM Reference Object
FLOSS SOLA Extension

LADM Definition
Not Applicable

Columns

Name	Type	Optional	Default	Description
user_id	varchar(40)	False		**SOLA Extension** - SOLA user id
name	varchar(50)	False		**SOLA Extension** - name of the setting
vl	varchar(2000)	False		**SOLA Extension** - value of the setting
active	bool	False	true	**SOLA Extension** - if the setting is active

Constraints

Name	Type	Explanation
appuser_setting_pkey	PRIMARY KEY	Combination of (user_id,name) is the primary key

Relationships (from)

Name	Information	Description
appuser_setting_user_id_fk51	**From columns**: user_id **To Entity**: appuser **From cardinality**: 0..* **To Cardinality**: 1	FLOSS SOLA relationship - no refinement

language

Thelanguages that can be used within the FLOSS SOLA application.

LADM Reference Object
FLOSS SOLA Extension

LADM Definition
Not Applicable

Columns

Name	Type	Optional	Default	Description
code	varchar(7)	False		**SOLA Extension** - A unique code of the localization.
display_value	varchar(250)	False		**SOLA Extension** - displayed value of localisation setting
active	bool	False	true	**SOLA Extension** -status of the instance of language
is_default	bool	False	false	**SOLA Extension** - If it is the default. One of the records in this table can have this value true.
item_order	integer	False	1	

Constraints

Name	Type	Explanation
language_display_value_unique	UNIQUE	Combination of (display_value) is unique
language_pkey	PRIMARY KEY	Combination of (code) is the primary key

Data

Nr	code	display_value	active	is_default	item_order
1	en	English::::■■■■■	true	true	1
2	np	Nepali::::■■■■■■	true	false	2

config_map_layer

Parameters for defining map layers in FLOSS SOLA gis componentLADM Reference ObjectFLOSS SOLA ExtensionLADM DefinitionNot Applicable

Columns

Name	Type	Optional	Default	Description
name	varchar(50)	False		**SOLA Extension** - name of map layer
title	varchar(100)	False		
type_code	varchar(20)	False		**SOLA Extension** - map layer type
wms_url	varchar(500)	True		**SOLA Extension** - wms url of map layer
wms_layers	varchar(500)	True		**SOLA Extension** - wms layer id (or name)
pojo_query_name	varchar(100)	False		**SOLA Extension** - plain old java object query name
pojo_structure	varchar(500)	True		**SOLA Extension** - plain old java object structure
pojo_query_name_for_select	varchar(100)	False		**SOLA Extension** - plain old java object query name for select
shape_location	varchar(500)	True		**SOLA Extension** - location of map layer shape definitions
style	varchar(4000)	True		Map layer style given in SLD.
active	bool	False	true	**SOLA Extension** - flag to indicate whether instance of config map layer is active (or not)
item_order	integer	False	0	**SOLA Extension** - map layer order of display

Constraints

Name	Type	Explanation
config_map_layer_style_required	CHECK	Rule (case when type_code = 'wms' then wms_url is not null and wms_layers is not null when type_code = 'pojo' then pojo_query_name is not null and pojo_structure is not null and style is not null when type_code = 'shape' then shape_location is not null and style is not null end) must be true It checks if the information is filled properly for each of type of the layer supported.
config_map_layer_title_unique	UNIQUE	Combination of (title) is unique
config_map_layer_pkey	PRIMARY KEY	Combination of (name) is the primary key

Relationships (from)

Name	Information	Description
config_map_layer_type_code_fk55	**From columns**: type_code **To Entity**: config_map_layer_type **From cardinality**: 0..* **To Cardinality**: 1	FLOSS SOLA relationship - no refinement

config_map_layer_pojo_query_name_fk110	**From columns**: pojo_query_name **To Entity**: query **From cardinality**: 1 **To Cardinality**: 1	
config_map_layer_pojo_query_name_for_select_fk111	**From columns**: pojo_query_name_for_select **To Entity**: query **From cardinality**: 0..* **To Cardinality**: 1	

Data

Nr	name	title	type_code	wms_url
1	parcels	Parcels::::ITALIANO	pojo	
2	pending-parcels	Pending parcels::::ITALIANO	pojo	
3	roads	Roads::::ITALIANO	pojo	
4	survey-controls	Survey controls::::ITALIANO	pojo	
5	place-names	Places names::::ITALIANO	pojo	
6	applications	Applications::::ITALIANO	pojo	
7	constructions	constructions::::ITALIANO	pojo	
8	segments	segments::::segments	pojo	

Nr	wms_layers	pojo_query_name
1		SpatialResult.getParcels
2		SpatialResult.getParcelsPending
3		SpatialResult.getRoads
4		SpatialResult.getSurveyControls
5		SpatialResult.getPlaceNames
6		SpatialResult.getApplications
7		SpatialResult.getconstructions
8		SpatialResult.getsegments

pojo_structure	pojo_query_name_for_select	shape_location	style
theGeom:Polygon,label:""	dynamic.informationtool.get_parcel		parcel.xml
theGeom:Polygon,label:""	dynamic.informationtool.get_parcel_pending		pending_parcels.x
theGeom:MultiPolygon,label:""	dynamic.informationtool.get_road		road.xml
theGeom:Point,label:""	dynamic.informationtool.get_survey_control		survey_control.xm
theGeom:Point,label:""	dynamic.informationtool.get_place_name		place_name.xml
theGeom:MultiPoint,label:""	dynamic.informationtool.get_application		application.xml
theGeom:Polygon,label:""	dynamic.informationtool.get_construction		construction.xml
theGeom:LineString,label:""	dynamic.informationtool.get_segment		segment.xml

Nr	active	item_order
1	true	1
2	true	2

3	true	7
4	true	8
5	true	5
6	true	6
7	true	3
8	true	4

config_map_layer_type

Parameters for defining categories/types of map layers in FLOSS SOLA gis component

LADM Reference Object
FLOSS SOLA Extension

LADM Definition
Not Applicable

Columns

Name	Type	Optional	Default	Description
code	varchar(20)	False		**SOLA Extension** - code identifying a config map layer type
display_value	varchar(250)	False		**SOLA Extension** - displayed value of config map layer type
status	char(1)	False		**SOLA Extension** - status of an instance of config map layer type
description	varchar(555)	True		**SOLA Extension** - description of config map layer type

Constraints

Name	Type	Explanation
config_map_layer_type_display_value_unique	UNIQUE	Combination of (display_value) is unique
config_map_layer_type_pkey	PRIMARY KEY	Combination of (code) is the primary key

Relationships (to)

Name	Information	Description
config_map_layer_type_code_fk55	**From columns**: type_code **From Entity**: config_map_layer **From cardinality**: 0..* **To Cardinality**: 1	FLOSS SOLA relationship - no refinement

Data

Nr	code	display_value	status	description
1	wms	WMS server with layers::::Server WMS con layer	c	
2	shape	Shapefile::::Shapefile	c	
3	pojo	Pojo layer::::Pojo layer	c	

query

It defines a query that can be executed by the search ejb.

Columns

Name	Type	Optional	Default	Description
name	varchar(100)	False		Unique identifier for the query
sql	varchar(4000)	False		Query definition
description	varchar(1000)	True		Technical description about the query.

Constraints

Name	Type	Explanation
query_pkey	PRIMARY KEY	Combination of (name) is the primary key

Relationships (to)

Name	Information	Description
query_field_query_name_fk109	**From columns**: query_name **From Entity**: query_field **From cardinality**: 0..* **To Cardinality**: 1	
config_map_layer_pojo_query_name_fk110	**From columns**: pojo_query_name **From Entity**: config_map_layer **From cardinality**: 1 **To Cardinality**: 1	
config_map_layer_pojo_query_name_for_select_fk111	**From columns**: pojo_query_name_for_select **From Entity**: config_map_layer **From cardinality**: 0..* **To Cardinality**: 1	

Data

Nr	name
1	SpatialResult.getParcels
2	SpatialResult.getParcelsPending
3	SpatialResult.getSurveyControls
4	SpatialResult.getRoads
5	SpatialResult.getPlaceNames
6	SpatialResult.getApplications
7	dynamic.informationtool.get_parcel
8	dynamic.informationtool.get_parcel_pending
9	dynamic.informationtool.get_place_name
10	dynamic.informationtool.get_road
11	dynamic.informationtool.get_application

12	dynamic.informationtool.get_survey_control
13	SpatialResult.getconstructions
14	dynamic.informationtool.get_construction
15	SpatialResult.getsegments
16	dynamic.informationtool.get_segment

Nr	sql	description
1	select co.id, co.name_firstpart || '/' || co.name_lastpart as label, st_asewkb(co.geom_polygon) as the_geom from cadastre.cadastre_object co where type_code= 'parcel' and status_code= 'current' and ST_Intersects(co.geom_polygon, SetSRID(ST_MakeBox3D(ST_Point(#{minx}, #{miny}),ST_Point(#{maxx}, #{maxy})), #{srid}))	
2	select co.id, co.name_firstpart || '/' || co.name_lastpart as label, st_asewkb(co.geom_polygon) as the_geom,co.map_sheet_id,co.parcel_type from cadastre.cadastre_object co where type_code= 'parcel' and status_code= 'pending' and ST_Intersects(co.geom_polygon, SetSRID(ST_MakeBox3D(ST_Point(#{minx}, #{miny}),ST_Point(#{maxx}, #{maxy})), #{srid})) union select co.id, co.name_firstpart || '/' || co.name_lastpart as label, st_asewkb(co_t.geom_polygon) as the_geom,co.map_sheet_id,co.parcel_type from cadastre.cadastre_object co inner join cadastre.cadastre_object_target co_t on co.id = co_t.cadastre_object_id and co_t.geom_polygon is not null where ST_Intersects(co_t.geom_polygon, SetSRID(ST_MakeBox3D(ST_Point(#{minx}, #{miny}),ST_Point(#{maxx}, #{maxy})), #{srid})) and co_t.transaction_id in (select id from transaction.transaction where status_code not in ('approved'))	
3	select id, label, st_asewkb(geom) as the_geom from cadastre.survey_control where ST_Intersects(geom, SetSRID(ST_MakeBox3D(ST_Point(#{minx}, #{miny}),ST_Point(#{maxx}, #{maxy})), #{srid}))	
4	select id, label, st_asewkb(geom) as the_geom from cadastre.road where ST_Intersects(geom, SetSRID(ST_MakeBox3D(ST_Point(#{minx}, #{miny}),ST_Point(#{maxx}, #{maxy})), #{srid}))	
5	select id, label, st_asewkb(geom) as the_geom from cadastre.place_name where ST_Intersects(geom, SetSRID(ST_MakeBox3D(ST_Point(#{minx}, #{miny}),ST_Point(#{maxx}, #{maxy})), #{srid}))	
6	select id, nr as label, st_asewkb(location) as the_geom from application.application where ST_Intersects(location, SetSRID(ST_MakeBox3D(ST_Point(#{minx}, #{miny}),ST_Point(#{maxx}, #{maxy})), #{srid}))	

7	select co.id, co.name_firstpart || '/' || co.name_lastpart as parcel_nr, (select string_agg(ba.name_firstpart || '/' || ba.name_lastpart, ',') from administrative.ba_unit_contains_spatial_unit bas, administrative.ba_unit ba where spatial_unit_id= co.id and bas.ba_unit_id= ba.id) as ba_units, (SELECT spatial_value_area.size FROM cadastre.spatial_value_area WHERE spatial_value_area.type_code='officialArea' and spatial_value_area.spatial_unit_id = co.id) AS area_official_sqm, st_asewkb(co.geom_polygon) as the_geom from cadastre.cadastre_object co where type_code= 'parcel' and status_code= 'current' and ST_Intersects(co.geom_polygon, ST_SetSRID(ST_GeomFromWKB(#{wkb_geom}), #{srid}))	
8	select co.id, co.name_firstpart || '/' || co.name_lastpart as parcel_nr, (SELECT spatial_value_area.size FROM cadastre.spatial_value_area WHERE spatial_value_area.type_code='officialArea' and spatial_value_area.spatial_unit_id = co.id) AS area_official_sqm, st_asewkb(co.geom_polygon) as the_geom from cadastre.cadastre_object co where type_code= 'parcel' and ((status_code= 'pending' and ST_Intersects(co.geom_polygon, ST_SetSRID(ST_GeomFromWKB(#{wkb_geom}), #{srid}))) or (co.id in (select cadastre_object_id from cadastre.cadastre_object_target co_t inner join transaction.transaction t on co_t.transaction_id=t.id where ST_Intersects(co_t.geom_polygon, ST_SetSRID(ST_GeomFromWKB(#{wkb_geom}), #{srid})) and t.status_code not in ('approved'))))	
9	select id, label, st_asewkb(geom) as the_geom from cadastre.place_name where ST_Intersects(geom, ST_SetSRID(ST_GeomFromWKB(#{wkb_geom}), #{srid}))	
10	select id, label, st_asewkb(geom) as the_geom from cadastre.road where ST_Intersects(geom, ST_SetSRID(ST_GeomFromWKB(#{wkb_geom}), #{srid}))	
11	select id, nr, st_asewkb(location) as the_geom from application.application where ST_Intersects(location, ST_SetSRID(ST_GeomFromWKB(#{wkb_geom}), #{srid}))	
12	select id, label, st_asewkb(geom) as the_geom from cadastre.survey_control where ST_Intersects(geom, ST_SetSRID(ST_GeomFromWKB(#{wkb_geom}), #{srid}))	
13	select cid, id,constype, st_asewkb(geom_polygon) as the_geom from cadastre.construction where ST_Intersects(geom_polygon, SetSRID(ST_MakeBox3D(ST_Point(#{minx}, #{miny}),ST_Point(#{maxx}, #{maxy})), #{srid}))	
14	select cid, id,constype, st_asewkb(geom_polygon) as the_geom from cadastre.construction where ST_Intersects(geom_polygon, ST_SetSRID(ST_GeomFromWKB(#{wkb_geom}), #{srid}))	

15	select sid,id,bound_type,segno,shape_length, st_asewkb(the_geom) as the_geom from cadastre.segments where ST_Intersects(the_geom, SetSRID(ST_MakeBox3D(ST_Point(#{minx}, #{miny}),ST_Point(#{maxx}, #{maxy})), #{srid}))	
16	select sid, id,bound_type,segno,shape_length, st_asewkb(the_geom) as the_geom from cadastre.segments where ST_Intersects(the_geom, ST_SetSRID(ST_GeomFromWKB(#{wkb_geom}), #{srid}))	

br

In this table there are defined the business rules that are used in the system.

Columns

Name	Type	Optional	Default	Description
id	varchar(100)	False		The name of the business rule
display_name	varchar(250)	False	uuid_generate_v1()	This is a compact identifier for the business rule.
technical_type_code	varchar(20)	False		The implementation type of the rule. This defines also which engine must interpret the rule.
feedback	varchar(2000)	True		A message that will be sent to the user if the rule is broken. It is not always relevant.
description	varchar(1000)	True		Here it comes description about the rule for the end-user.
technical_description	varchar(1000)	True		This is a description aimed for developers. Here it should come also description about parameters used for the rule.
office_code	varchar(20)	True		

Constraints

Name	Type	Explanation
br_display_name_unique	UNIQUE	Combination of (display_name) is unique
br_pkey	PRIMARY KEY	Combination of (id) is the primary key

Relationships (from)

Name	Information	Description
br_technical_type_code_fk58	**From columns**: technical_type_code **To Entity**: br_technical_type **From cardinality**: 0..* **To Cardinality**: 1	
br_office_code_fk138	**From columns**: office_code **To Entity**: office **From cardinality**: 0..* **To Cardinality**: 0..1	

Relationships (to)

Name	Information	Description
br_validation_br_id_fk59	**From columns**: br_id **From Entity**: br_validation **From cardinality**: 0..* **To Cardinality**: 1	

br_definition_br_id_fk60	**From columns**: br_id **From Entity**: br_definition **From cardinality**: 0..* **To Cardinality**: 1	

br_technical_type

Here are specified the types of techincal implementations of the business rule.

Columns

Name	Type	Optional	Default	Description
code	varchar(20)	False		The code
display_value	varchar(250)	False		The value that will be displayed to the user
status	char(1)	False		The status of this code itself.
description	varchar(555)	True		Description

Constraints

Name	Type	Explanation
br_technical_type_display_value_unique	UNIQUE	Combination of (display_value) is unique
br_technical_type_pkey	PRIMARY KEY	Combination of (code) is the primary key

Relationships (to)

Name	Information	Description
br_technical_type_code_fk58	**From columns**: technical_type_code **From Entity**: br **From cardinality**: 0..* **To Cardinality**: 1	

Data

Nr	code	display_value	status	description
1	sql	SQL::::SQL	c	The rule definition is based in sql and it is executed by the database engine.
2	drools	Drools::::Drools	c	The rule definition is based on Drools engine.

br_validation

In this table are defined the sets of rules that has to be executed.If for a rule there is not target moment specified, then the rule will not be part of the set.

Columns

Name	Type	Optional	Default	Description
id	varchar(40)	False	uuid_generate_v1()	This is a meaningless identifier for the rule.
br_id	varchar(100)	False		Name of the business rule
target_code	varchar(20)	False		The type of the target of the the validation.
target_application_moment	varchar(20)	True		The moment of execution of the rule if the target is the application.
target_service_moment	varchar(20)	True		The moment of execution of the rule if the target is the service.
target_reg_moment	varchar(20)	True		The moment of execution of the rule if the target is the ba_unit, rrr or cadastre_object.
target_request_type_code	varchar(20)	True		If the target is a request type then here is given which is the request type. If this is null the business rule will be relevant for all services.
target_rrr_type_code	varchar(20)	True		If the target is a registration on RRR then here is given the rrr type. If this is null the business rule validation will be valid for all rrr-s.
severity_code	varchar(20)	False		Severity of the failure of the business rule.
order_of_execution	integer	False	0	The order of the execution of the rule.

Constraints

Name	Type	Explanation
br_validation_service_request_type_valid	CHECK	Rule (target_request_type_code is null or (target_request_type_code is not null and target_code != 'application')) must be true It checks if the target_request_type_code is provided then the target_code must not be of value 'application'.
br_validation_rrr_rrr_type_valid	CHECK	Rule (target_rrr_type_code is null or (target_rrr_type_code is not null and target_code = 'rrr')) must be true It checks if the target_rrr_type_code is provided then the target_code must be of value 'rrr'.
br_validation_app_moment_unique	UNIQUE	Combination of (br_id, target_code, target_application_moment) is unique
br_validation_service_moment_unique	UNIQUE	Combination of (br_id, target_code, target_service_moment) is unique
br_validation_reg_moment_unique	UNIQUE	Combination of (br_id, target_code, target_reg_moment) is unique
br_validation_service_moment_valid	CHECK	Rule (target_code!= 'service' or (target_code = 'service' and target_application_moment is null and target_reg_moment is null)) must be true
br_validation_application_moment_valid	CHECK	Rule (target_code!= 'application' or (target_code = 'application' and target_service_moment is null and target_reg_moment is null)) must be true

br_validation_reg_moment_valid	CHECK	Rule (target_code in ('application', 'service') or (target_code not in ('application', 'service') and target_service_moment is null and target_application_moment is null)) must be true
br_validation_pkey	PRIMARY KEY	Combination of (id) is the primary key

Relationships (from)

Name	Information	Description
br_validation_br_id_fk59	**From columns**: br_id **To Entity**: br **From cardinality**: 0..* **To Cardinality**: 1	
br_validation_severity_code_fk61	**From columns**: severity_code **To Entity**: br_severity_type **From cardinality**: 0..* **To Cardinality**: 1	
br_validation_target_code_fk62	**From columns**: target_code **To Entity**: br_validation_target_type **From cardinality**: 0..* **To Cardinality**: 1	
br_validation_target_rrr_type_code_fk63	**From columns**: target_rrr_type_code **To Entity**: rrr_type **From cardinality**: 0..* **To Cardinality**: 0..1	
br_validation_target_application_moment_fk106	**From columns**: target_application_moment **To Entity**: application_action_type **From cardinality**: 0..* **To Cardinality**: 0..1	
br_validation_target_service_moment_fk107	**From columns**: target_service_moment **To Entity**: service_action_type **From cardinality**: 0..* **To Cardinality**: 0..1	
br_validation_target_reg_moment_fk108	**From columns**: target_reg_moment **To Entity**: reg_status_type **From cardinality**: 0..* **To Cardinality**: 0..1	

br_severity_type

These are the types of severity of the business rules within the context of there use.

Columns

Name	Type	Optional	Default	Description
code	varchar(20)	False		The code
display_value	varchar(250)	False		The value that will be displayed to the user
status	char(1)	False		The status of this code itself.
description	varchar(555)	True		Description

Constraints

Name	Type	Explanation
br_severity_type_display_value_unique	UNIQUE	Combination of (display_value) is unique
br_severity_type_pkey	PRIMARY KEY	Combination of (code) is the primary key

Relationships (to)

Name	Information	Description
br_validation_severity_code_fk61	**From columns**: severity_code **From Entity**: br_validation **From cardinality**: 0..* **To Cardinality**: 1	

Data

Nr	code	display_value	status	description
1	critical	Critical	c	
2	medium	Medium	c	
3	warning	Warning	c	

br_validation_target_type

The potential targets of the validation rules.

Columns

Name	Type	Optional	Default	Description
code	varchar(20)	False		The code
display_value	varchar(250)	False		The value that will be displayed to the user
status	char(1)	False		The status of this code itself.
description	varchar(555)	True		Description

Constraints

Name	Type	Explanation
br_validation_target_type_display_value_unique	UNIQUE	Combination of (display_value) is unique
br_validation_target_type_pkey	PRIMARY KEY	Combination of (code) is the primary key

Relationships (to)

Name	Information	Description
br_validation_target_code_fk62	**From columns**: target_code **From Entity**: br_validation **From cardinality**: 0..* **To Cardinality**: 1	

Data

Nr	code	display_value	status	description
1	application	Application::::ITALIANO	c	The target of the validation is the application. It accepts one parameter {id} which is the application id.
2	service	Service::::ITALIANO	c	The target of the validation is the service. It accepts one parameter {id} which is the service id.
3	rrr	Right or Restriction::::ITALIANO	c	The target of the validation is the rrr. It accepts one parameter {id} which is the rrr id.
4	ba_unit	Administrative Unit::::ITALIANO	c	The target of the validation is the ba_unit. It accepts one parameter {id} which is the ba_unit id.
5	source	Source::::ITALIANO	c	The target of the validation is the source. It accepts one parameter {id} which is the source id.
6	cadastre_object	Cadastre Object::::ITALIANO	c	The target of the validation is the transaction related with the cadastre change. It accepts one parameter {id} which is the transaction id.

br_definition

Columns

Name	Type	Optional	Default	Description
br_id	varchar(100)	False		
active_from	date	False		
active_until	date	False	'infinity'	The date until this rule is active.
body	varchar(4000)	False		The definition of the rule. The interpretation of the definition is done from the rule engine in use.

Constraints

Name	Type	Explanation
br_definition_pkey	PRIMARY KEY	Combination of (br_id,active_from) is the primary key

Relationships (from)

Name	Information	Description
br_definition_br_id_fk60	**From columns**: br_id **To Entity**: br **From cardinality**: 0..* **To Cardinality**: 1	

approle

This table contains list of security roles, used to restrict access to the different parts of application, both on server and client side.

Columns

Name	Type	Optional	Default	Description
code	varchar(20)	False		The code
display_value	varchar(250)	False		The value that will be displayed to the user
status	char(1)	False		The status of this code itself.
description	varchar(555)	True		Description

Constraints

Name	Type	Explanation
approle_display_value_unique	UNIQUE	Combination of (display_value) is unique
approle_pkey	PRIMARY KEY	Combination of (code) is the primary key

Relationships (to)

Name	Information	Description
approle_appgroup_approle_code_fk102	**From columns**: approle_code **From Entity**: approle_appgroup **From cardinality**: 0..* **To Cardinality**: 1	

Data

Nr	code	display_value	status	description
1	DashbrdViewAssign	View Assigned Applications	c	View Assigned Applications in Dashboard
2	DashbrdViewUnassign	View Unassigned Applications	c	View Unassigned Applications in Dashboard
3	DashbrdViewOwn	View Own Applications	c	View Applications assigned to user in Dashboard
4	ApplnView	Search and View Applications	c	Search and view applications
5	ApplnCreate	Lodge new Applications	c	Lodge new Applications
6	ApplnStatus	Generate and View Status Report	c	Generate and View Status Report
7	ApplnAssignDeprt	Assign Applications to Department staff	c	Able to assign (unassigned) applications to department staff

8	ApplnUnassignSelf	Unassign Applications to Self	c	Able to unassign (assigned) applications from yourself
9	ApplnAssignAll	Assign Applications to all users in office	c	Able to assign (unassigned) applications to any user in office
10	ApplnUnassignOthers	Unassign Applications to Others	c	Able to unassign (assigned) applications to other users
11	StartService	Start Service	c	Start Service
12	CompleteService	Complete Service	c	Complete Service (prior to approval)
13	CancelService	Cancel Service	c	Cancel Service
14	RevertService	Revert Service	c	Revert previously Complete Service
15	ApplnRequisition	Requisition application and request	c	Request further information from applicant
16	ApplnResubmit	Resubmit Application	c	Resubmit (requisitioned) application
17	ApplnApprove	Approve Application	c	Approve Application
18	ApplnWithdraw	Withdraw Application	c	Applicant withdraws their application
19	ApplnReject	Reject Application	c	Land Office rejects an application
20	ApplnValidate	Validate Application	c	User manually runs validation rules for application
21	ApplnDespatch	Despatch Application	c	Despatch any documents to be returned to applicant and any certificates/reports/map prints requested by applicant
22	ApplnArchive	Archive Application	c	Paper Application File is stored in Land Office Archive
23	BaunitSave	Create or Modify BA Unit	c	Create or Modify BA Unit (Property)
24	BauunitrrrSave	Create or Modify Rights or Restrictions	c	Create or Modify Rights or Restrictions
25	BaunitParcelSave	Create or Modify (BA Unit) Parcels	c	Create or Modify (BA Unit) Parcels
26	BaunitNotatSave	Create or Modify (BA Unit) Notations	c	Create or Modify (BA Unit) Notations
27	BaunitCertificate	Generate and Print (BA Unit) Certificate	c	Generate and Print (BA Unit) Certificate
28	BaunitSearch	Search BA Unit	c	Search BA Unit

29	TransactionCommit	Approve (and Cancel) Transaction	c	Approve (and Cancel) Transaction
30	ViewMap	View Cadastral Map	c	View Cadastral Map
31	PrintMap	Print Map	c	Print Map
32	ParcelSave	Create or modify (Cadastre) Parcel	c	Create or modify (Cadastre) Parcel
33	PartySave	Create or modify Party	c	Create or modify Party
34	SourceSave	Create or modify Source	c	Create or modify Source
35	SourceSearch	Search Sources	c	Search sources
36	SourcePrint	Print Sources	c	Print Source
37	ReportGenerate	Generate and View Reports	c	Generate and View reports
38	ArchiveApps	Archive applications	c	Archive applications
39	ManageSecurity	Manage users, groups and roles	c	Manage users, groups and roles
40	ManageRefdata	Manage reference data	c	Manage reference data
41	ManageSettings	Manage system settings	c	Manage system settings
42	ApplnEdit	Application Edit	c	Allows editing of Applications
43	ManageBR	Manage business rules	c	Allows to manage business rules

approle_appgroup

This many-to-many table contains groups, related to security roles. Allows to have multiple roles for one group.

Columns

Name	Type	Optional	Default	Description
approle_code	varchar(20)	False		
appgroup_id	varchar(40)	False		

Constraints

Name	Type	Explanation
approle_appgroup_pkey	PRIMARY KEY	Combination of (approle_code,appgroup_id) is the primary key

Relationships (from)

Name	Information	Description
approle_appgroup_approle_code_fk102	**From columns**: approle_code **To Entity**: approle **From cardinality**: 0..* **To Cardinality**: 1	
approle_appgroup_appgroup_id_fk103	**From columns**: appgroup_id **To Entity**: appgroup **From cardinality**: 0..* **To Cardinality**: 1	

Data

Nr	approle_code	appgroup_id
1	DashbrdViewAssign	super-group-id
2	DashbrdViewUnassign	super-group-id
3	DashbrdViewOwn	super-group-id
4	ApplnView	super-group-id
5	ApplnCreate	super-group-id
6	ApplnStatus	super-group-id
7	ApplnAssignDeprt	super-group-id
8	ApplnUnassignSelf	super-group-id
9	ApplnAssignAll	super-group-id
10	ApplnUnassignOthers	super-group-id

appgroup

This table contains list of groups, which are used to group users with similar rights in the system.

Columns

Name	Type	Optional	Default	Description
id	varchar(40)	False		
name	varchar(300)	False		
description	varchar(500)	True		

Constraints

Name	Type	Explanation
appgroup_name_unique	UNIQUE	Combination of (name) is unique
appgroup_pkey	PRIMARY KEY	Combination of (id) is the primary key

Relationships (to)

Name	Information	Description
appuser_appgroup_appgroup_id_fk101	**From columns**: appgroup_id **From Entity**: appuser_appgroup **From cardinality**: 0..* **To Cardinality**: 1	
approle_appgroup_appgroup_id_fk103	**From columns**: appgroup_id **From Entity**: approle_appgroup **From cardinality**: 0..* **To Cardinality**: 1	

Data

Nr	id	name	description
1	super-group-id	Super group	This is a group of users that has right in anything. It is used in developement. In production must be removed.

appuser_appgroup

This many-to-many table contains users, related to groups. Allows to have multiple groups for one user.

Columns

Name	Type	Optional	Default	Description
appuser_id	varchar(40)	False		
appgroup_id	varchar(40)	False		

Constraints

Name	Type	Explanation
appuser_appgroup_pkey	PRIMARY KEY	Combination of (appuser_id,appgroup_id) is the primary key

Relationships (from)

Name	Information	Description
appuser_appgroup_appuser_id_fk100	**From columns**: appuser_id **To Entity**: appuser **From cardinality**: 0..* **To Cardinality**: 1	
appuser_appgroup_appgroup_id_fk101	**From columns**: appgroup_id **To Entity**: appgroup **From cardinality**: 0..* **To Cardinality**: 1	

Data

Nr	appuser_id	appgroup_id
1	test-id	super-group-id

query_field

It defines a field in the query. The field is returned by the select part.Not for all queries is needed to define the fields. It becomes important only for queries that will need to have fields that has to be localized.

Columns

Name	Type	Optional	Default	Description
query_name	varchar(100)	False		Query identifier
index_in_query	integer	False		
name	varchar(100)	False		The index of the field in the query. The index is zero based. It should not exeed the number of fields in the select part of the query.
display_value	varchar(200)	True		The title of the field to be used in the query. It can be localized.

Constraints

Name	Type	Explanation
query_field_display_value	UNIQUE	Combination of (query_name, display_value) is unique
query_field_name	UNIQUE	Combination of (query_name, name) is unique
query_field_pkey	PRIMARY KEY	Combination of (query_name,index_in_query) is the primary key

Relationships (from)

Name	Information	Description
query_field_query_name_fk109	**From columns**: query_name **To Entity**: query **From cardinality**: 0..* **To Cardinality**: 1	

Data

Nr	query_name	index_in_query
1	dynamic.informationtool.get_parcel	1
2	dynamic.informationtool.get_parcel	2
3	dynamic.informationtool.get_parcel	3
4	dynamic.informationtool.get_parcel	0
5	dynamic.informationtool.get_parcel	4
6	dynamic.informationtool.get_parcel_pending	0
7	dynamic.informationtool.get_parcel_pending	1
8	dynamic.informationtool.get_parcel_pending	2
9	dynamic.informationtool.get_parcel_pending	3
10	dynamic.informationtool.get_place_name	0
11	dynamic.informationtool.get_place_name	1
12	dynamic.informationtool.get_place_name	2

13	dynamic.informationtool.get_road	0
14	dynamic.informationtool.get_road	1
15	dynamic.informationtool.get_road	2
16	dynamic.informationtool.get_application	0
17	dynamic.informationtool.get_application	1
18	dynamic.informationtool.get_application	2
19	dynamic.informationtool.get_survey_control	0
20	dynamic.informationtool.get_survey_control	1
21	dynamic.informationtool.get_survey_control	2
22	dynamic.informationtool.get_construction	0
23	dynamic.informationtool.get_construction	1
24	dynamic.informationtool.get_construction	2
25	dynamic.informationtool.get_construction	3
26	dynamic.informationtool.get_segment	0
27	dynamic.informationtool.get_segment	1
28	dynamic.informationtool.get_segment	2
29	dynamic.informationtool.get_segment	3
30	dynamic.informationtool.get_segment	4

Nr	name	display_value
1	parcel_nr	Parcel number::::ITALIANO
2	ba_units	Properties::::ITALIANO
3	area_official_sqm	Official area (m2)::::ITALIANO
4	id	
5	the_geom	
6	id	
7	parcel_nr	Parcel number::::ITALIANO
8	area_official_sqm	Official area (m2)::::ITALIANO
9	the_geom	
10	id	
11	label	Name::::Nome
12	the_geom	
13	id	
14	label	Name::::Nome
15	the_geom	
16	id	
17	nr	Number::::Numero
18	the_geom	
19	id	
20	label	Label::::ITALIANO
21	the_geom	

22	cid	Const. ID::::Const.ID
23	id	Parcel ID::::Parcel ID
24	constype	Construction type::::Construction type
25	the_geom	
26	sid	Seg ID::::Seg ID
27	id	Parcel ID::::Parcel ID
28	bound_type	Boundary type::::Boundary type
29	shape_length	Shape Length::::Shape Length
30	the_geom	

financial_year

Introduced in Nepal project.List of fiscal years, used to bind different actions in the system to the particular fiscal year. It is exploited in reporting.

Columns

Name	Type	Optional	Default	Description
code	integer	False		
finyear	integer	True		Example- for financial year 2067-2068 is representated by 206768
selected	bool	True		If current year, the value will be true or 1

Constraints

Name	Type	Explanation
financial_year_pkey	PRIMARY KEY	Combination of (code) is the primary key

np_calendar

Introduced in Nepal project.Used to reference Nepali year and month to do transformation between Nepali and Gregorian calendars

Columns

Name	Type	Optional	Default	Description
nep_year	integer	False		
nep_month	integer	False		
dayss	integer	True		

Constraints

Name	Type	Explanation
np_calendar_pkey	PRIMARY KEY	Combination of (nep_year,nep_month) is the primary key

Data

Nr	nep_year	nep_month	dayss
1	2064	1	31
2	2065	1	31
3	2066	1	31
4	2067	1	31
5	2068	1	31
6	2069	1	31
7	2070	1	31

restriction_type

Columns

Name	Type	Optional	Default	Description
code	varchar(20)	False		
display_value	varchar(255)	False		
description	varchar(255)	True		
status	char(1)	False		

Constraints

Name	Type	Explanation
restriction_type_pkey	PRIMARY KEY	Combination of (code) is the primary key

Data

Nr	code	display_value	description	status
1	1	Likhat Parit		c
2	2	Bt Letter		c
3	3	Bt Application		c
4	4	unknown		c

user_roles

This view is used to retrieve the roles of a user.

Columns

Name	Type	Optional	Default	Description

br_current

It retrieves the active business rules.

Columns

Name	Type	Optional	Default	Description

br_report

This view is used in a report to document the business rules.

Columns

Name	Type	Optional	Default	Description

source

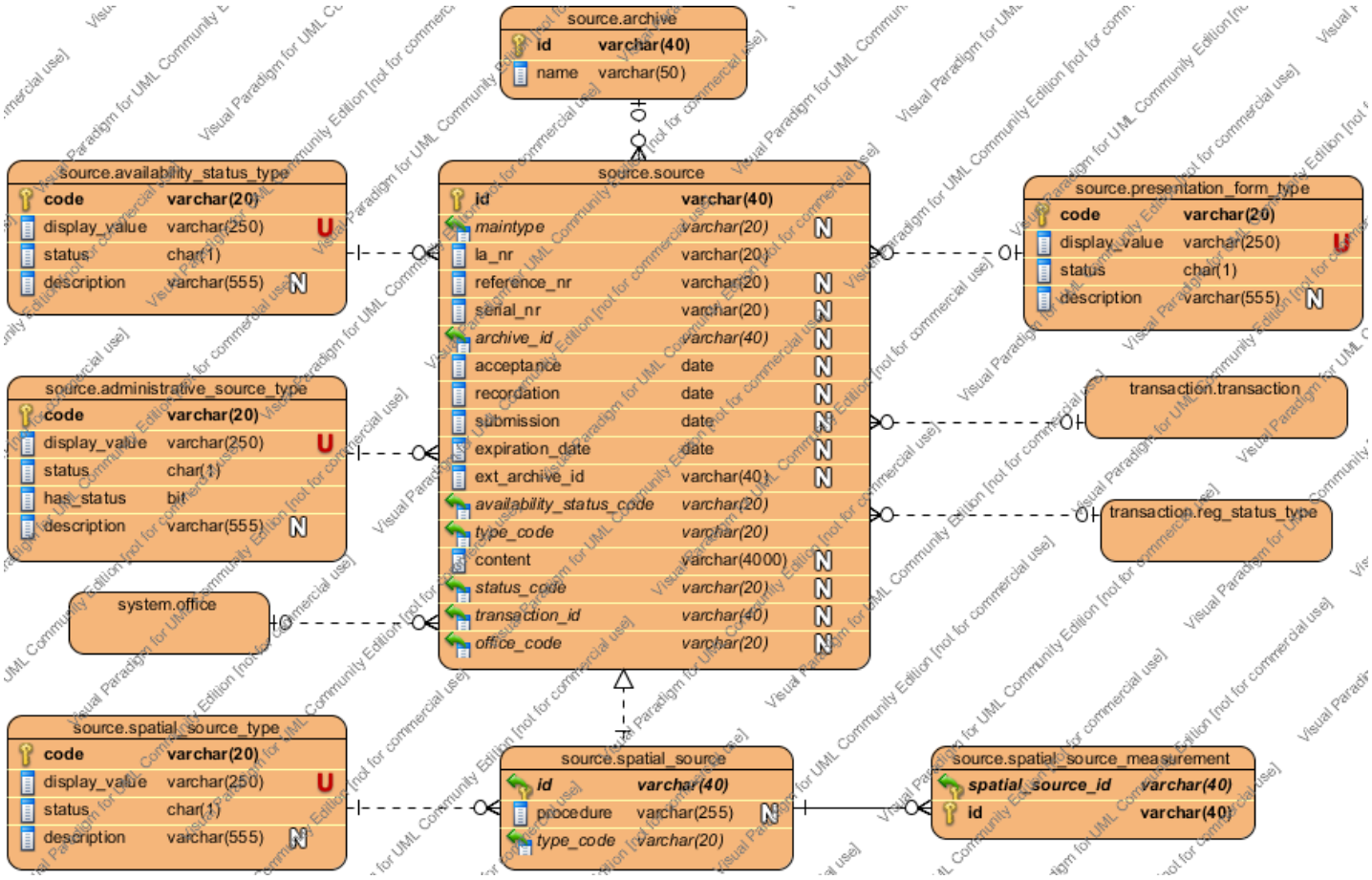

source

Documents or recognised facts providing the basis for the recording of a registration, cadastre change, right, responsibility or administrative action performed by the land officeLADM Reference Object LA_SourceLADM DefinitionNot defined

Columns

Name	Type	Optional	Default	Description
id	varchar(40)	False		**LADM Definition** - Source identifier
maintype	varchar(20)	True		**LADM Definition** - The type of the representation of the content of the source.
la_nr	varchar(20)	False		**SOLA Extension** - This number is given by the land administration office for their own administration.
reference_nr	varchar(20)	True		**SOLA Extension** -This is the number as given by the external agency.
serial_nr	varchar(20)	True		Introduced in Nepal project. Serial number of document.
archive_id	varchar(40)	True		**SOLA Extension** - The archive identifier of the source
acceptance	date	True		**LADM Definition** -The date of force of law of the source by an authority

recordation	date	True		**LADM Definition** - The date of formalization by the source agency.
submission	date	True	now()	**LADM Definition** - The date of submission of the source by a party
expiration_date	date	True		
ext_archive_id	varchar(40)	True		**LADM Definition** -The identifier of a source in an external registration. This attribute is used to link the source with the document management system.
availability_status_code	varchar(20)	False	'available'	**LADM Definition** - the code describing how available this source (document) is
type_code	varchar(20)	False		**LADM Definition** - Type of the document (administrative_source)
content	varchar(4000)	True		**LADM Definition** -Content of the source (administrative_source)
status_code	varchar(20)	True		The status of the document. For some documents is important to know if the document is valid or not.
transaction_id	varchar(40)	True		The transaction that brought the document in the system. This is not valid for all documents but for some of them. There are request types that bring only documents in the system without involving a ba unit. In this case is important to know which transaction brought this document in order to handle it within transaction (approve, reject) life cycle.
office_code	varchar(20)	True		

Constraints

Name	Type	Explanation
source_pkey	PRIMARY KEY	Combination of (id) is the primary key

Relationships (from)

Name	Information	Description
source_availability_status_code_fk52	**From columns**: availability_status_code **To Entity**: availability_status_type **From cardinality**: 0..* **To Cardinality**: 1	LADM relationship - no refinement
source_type_code_fk53	**From columns**: type_code **To Entity**: administrative_source_type **From cardinality**: 0..* **To Cardinality**: 1	FLOSS SOLA relationship - no refinement
source_transaction_id_fk90	**From columns**: transaction_id **To Entity**: transaction **From cardinality**: 0..* **To Cardinality**: 0..1	

source_status_code_fk91	**From columns**: status_code **To Entity**: reg_status_type **From cardinality**: 0..* **To Cardinality**: 0..1	
source_office_code_fk130	**From columns**: office_code **To Entity**: office **From cardinality**: 0..* **To Cardinality**: 0..1	
source_maintype_fk132	**From columns**: maintype **To Entity**: presentation_form_type **From cardinality**: 0..* **To Cardinality**: 0..1	LADM relationship - no refinement
source_archive_id_fk133	**From columns**: archive_id **To Entity**: archive **From cardinality**: 0..* **To Cardinality**: 0..1	FLOSS SOLA relationship - no refinement

Relationships (to)

Name	Information	Description
spatial_source_id_fk11	**From columns**: id **From Entity**: spatial_source **From cardinality**: 1 **To Cardinality**: 1	LADM relationship - no refinement
application_uses_source_source_id_fk45	**From columns**: source_id **From Entity**: application_uses_source **From cardinality**: 0..* **To Cardinality**: 1	FLOSS SOLA relationship - no refinement
source_describes_ba_unit_source_id_fk72	**From columns**: source_id **From Entity**: source_describes_ba_unit **From cardinality**: 0..* **To Cardinality**: 1	
source_describes_rrr_source_id_fk80	**From columns**: source_id **From Entity**: source_describes_rrr **From cardinality**: 0..* **To Cardinality**: 1	
transaction_source_source_id_fk99	**From columns**: source_id **From Entity**: transaction_source **From cardinality**: 0..* **To Cardinality**: 1	

archive

Details about collections of sources (documents) in both paper and digital formats

LADM Reference Object
FLOSS SOLA Extension

LADM Definition
Not Applicable

Columns

Name	Type	Optional	Default	Description
id	varchar(40)	False		**SOLA Extension** The archive identifier of the source
name	varchar(50)	False		**SOLA Extension** - The name description of the source

Constraints

Name	Type	Explanation
archive_pkey	PRIMARY KEY	Combination of (id) is the primary key

Relationships (to)

Name	Information	Description
source_archive_id_fk133	**From columns**: archive_id **From Entity**: source **From cardinality**: 0..* **To Cardinality**: 0..1	FLOSS SOLA relationship - no refinement

presentation_form_type

Reference Table / Code list for the different formats of sources (documents) that are presented to the land office

LADM Reference Object
CI_PresentationFormCode

LADM Definition
The type of document;

Columns

Name	Type	Optional	Default	Description
code	varchar(20)	False		**LADM Definition** - Code for the presentation form type
display_value	varchar(250)	False		**LADM Definition** - The display value for presentation form type
status	char(1)	False	't'	**SOLA Extension** - The status of the presentation form type
description	varchar(555)	True		**LADM Definition** - description of the presentation form type

Constraints

Name	Type	Explanation
presentation_form_type_display_value_unique	UNIQUE	Combination of (display_value) is unique
presentation_form_type_pkey	PRIMARY KEY	Combination of (code) is the primary key

Relationships (to)

Name	Information	Description
source_maintype_fk132	**From columns**: maintype **From Entity**: source **From cardinality**: 0..* **To Cardinality**: 0..1	LADM relationship - no refinement

Data

Nr	code	display_value	status	description
1	documentDigital	Digital Document::::Documento Digitale	c	
2	documentHardcopy	Hardcopy Document::::Documento in Hardcopy	c	
3	imageDigital	Digital Image::::Immagine Digitale	c	
4	imageHardcopy	Hardcopy Image::::Immagine in Hardcopy	c	

5	mapDigital	Digital Map::::Mappa Digitale	c	
6	mapHardcopy	Hardcopy Map::::Mappa in Hardcopy	c	
7	modelDigital	Digital Model::::Modello Digitale',	c	
8	modelHarcopy	Hardcopy Model::::Modello in Hardcopy	c	
9	profileDigital	Digital Profile::::Profilo Digitale	c	
10	profileHardcopy	Hardcopy Profile::::Profilo in Hardcopy	c	
11	tableDigital	Digital Table::::Tabella Digitale	c	
12	tableHardcopy	Hardcopy Table::::Tabella in Hardcopy	c	
13	videoDigital	Digital Video::::Video Digitale',	c	
14	videoHardcopy	Hardcopy Video::::Video in Hardcopy	c	

availability_status_type

Reference Table / Code list of source (document) availability status type

LADM Reference Object
LA_AvailabilityStatusType

LADM Definition
Not Defined

Columns

Name	Type	Optional	Default	Description
code	varchar(20)	False		**LADM Definition** -The code for the availability status type
display_value	varchar(250)	False		**LADM Definition** - The display value assigned to the availability status type
status	char(1)	False	'c'	**SOLA Extension** - The status of the availability status type
description	varchar(555)	True		**LADM Definition** - description of the availability status type

Constraints

Name	Type	Explanation
availability_status_type_display_value_unique	UNIQUE	Combination of (display_value) is unique
availability_status_type_pkey	PRIMARY KEY	Combination of (code) is the primary key

Relationships (to)

Name	Information	Description
source_availability_status_code_fk52	**From columns**: availability_status_code **From Entity**: source **From cardinality**: 0..* **To Cardinality**: 1	LADM relationship - no refinement

Data

Nr	code	display_value	status	description
1	archiveConverted	Converted::::Convertito	c	
2	archiveDestroyed	Destroyed::::Distrutto	x	
3	incomplete	Incomplete::::Incompleto	c	
4	archiveUnknown	Unknown::::Sconosciuto	c	
5	available	Available	c	Extension to LADM

administrative_source_type

Reference Table / Code list of administrative source types

LADM Reference Object
LA_AdministrativeSourceType

LADM Definition
Not Defined

Columns

Name	Type	Optional	Default	Description
code	varchar(20)	False		**LADM Definition** -The code for the administrative source type
display_value	varchar(250)	False		**LADM Definition** - displayed value of the administrative source type
status	char(1)	False		**SOLA Extension** - Status of the administrative source type
has_status	bool	False	false	
description	varchar(555)	True		**LADM Definition** - Description of the administrative source type

Constraints

Name	Type	Explanation
administrative_source_type_display_value_unique	UNIQUE	Combination of (display_value) is unique
administrative_source_type_pkey	PRIMARY KEY	Combination of (code) is the primary key

Relationships (to)

Name	Information	Description
source_type_code_fk53	**From columns**: type_code **From Entity**: source **From cardinality**: 0..* **To Cardinality**: 1	FLOSS SOLA relationship - no refinement
request_type_requires_source_type_source_type_code_fk54	**From columns**: source_type_code **From Entity**: request_type_requires_source_type **From cardinality**: 0..* **To Cardinality**: 1	FLOSS SOLA relationship - no refinement

Data

Nr	code	display_value	status	has_status	description
1	agriConsent	Agricultural Consent::::Permesso Agricolo	x	false	
2	agriLease	Agricultural Lease::::Contratto Affitto Agricolo	x	false	

3	agriNotaryStatement	Agricultural Notary Statement::::Dichiarazione Agricola Notaio	x	false	
4	deed	Deed	c	false	
5	lease	Lease::::ITALIANO	c	false	
6	mortgage	Mortgage::::Ipoteca	c	false	
7	title	Title::::Titolo	c	false	
8	proclamation	Proclamation::::Bando	c	false	Extension to LADM
9	courtOrder	Court Order::::Ordine Tribunale	c	false	Extension to LADM
10	agreement	Agreement::::Accordo	c	false	Extension to LADM
11	contractForSale	Contract for Sale::::ITALIANO	c	false	Extension to LADM
12	will	Will::::ITALIANO	c	false	Extension to LADM
13	powerOfAttorney	Power of Attorney::::ITALIANO	c	true	Extension to LADM
14	standardDocument	Standard Document::::ITALIANO	c	false	Extension to LADM
15	cadastralMap	Cadastral Map::::Mappa Catastale	c	false	Extension to LADM
16	cadastralSurvey	Cadastral Survey::::Rilevamento Catastale	c	false	Extension to LADM
17	waiver	Waiver to Caveat or other requirement	c	false	Extension to LADM
18	idVerification	Form of Identification including Personal ID	c	false	Extension to LADM

spatial_source

Refer to LADM Definition

LADM Reference Object
LA_Source

LADM Definition
A spatial source may be the final (sometimes formal) documents, or all documents related to a survey. Sometimes serveral documents are the result of a single survey. A spatial source may be official or not (ie a registered survey plan or an aerial photograph).

Columns

Name	Type	Optional	Default	Description
id	varchar(40)	False		**LADM Definition** - Spatial source identifier
procedure	varchar(255)	True		**LADM Definition** - Procedures, steps or method adopted
type_code	varchar(20)	False		**LADM Definition** - Code type assigned to the source

Constraints

Name	Type	Explanation
spatial_source_pkey	PRIMARY KEY	Combination of (id) is the primary key

Relationships (from)

Name	Information	Description
spatial_source_type_code_fk0	**From columns**: type_code **To Entity**: spatial_source_type **From cardinality**: 0..* **To Cardinality**: 1	LADM relationship - no refinement
spatial_source_id_fk11	**From columns**: id **To Entity**: source **From cardinality**: 1 **To Cardinality**: 1	LADM relationship - no refinement

Relationships (to)

Name	Information	Description
spatial_source_measurement_spatial_source_id_fk1	**From columns**: spatial_source_id **From Entity**: spatial_source_measurement **From cardinality**: 0..* **To Cardinality**: 1	LADM relationship - no refinement

spatial_source_type

Reference Table / Code list of spatial source type

LADM Reference Object
LA_SpatialSourceType

LADM Definition
Type of Spatial Source

Columns

Name	Type	Optional	Default	Description
code	varchar(20)	False		**LADM Definition** - The code for the spatial source type
display_value	varchar(250)	False		**LADM Definition** - The display value of the spatial source type
status	char(1)	False	't'	**SOLA Extension** The status of the spatial source type
description	varchar(555)	True		**LADM Definition** - description of the spatial source type

Constraints

Name	Type	Explanation
spatial_source_type_display_value_unique	UNIQUE	Combination of (display_value) is unique
spatial_source_type_pkey	PRIMARY KEY	Combination of (code) is the primary key

Relationships (to)

Name	Information	Description
spatial_source_type_code_fk0	**From columns**: type_code **From Entity**: spatial_source **From cardinality**: 0..* **To Cardinality**: 1	LADM relationship - no refinement

Data

Nr	code	display_value	status	description
1	fieldSketch	Field Sketch::::Schizzo Campo	c	
2	gnssSurvey	GNSS (GPS) Survey::::Rilevamento GNSS (GPS)	c	
3	orthoPhoto	Orthophoto::::Foto Ortopanoramica	c	
4	relativeMeasurement	Relative Measurements::::Misure relativa	c	

5	topoMap	Topographical Map::::Mappa Topografica	c	
6	video	Video::::Video	c	
7	cadastralSurvey	Cadastral Survey::::Perizia Catastale	c	Extension to LADM

spatial_source_measurement

Refer to LADM Definition

LADM Reference Object
OM_Observation

LADM Definition
The observations, and measurements, as a basis for mapping, and as a basis for historical reconstruction of the location of (parts of) the spatial unit in the field

Columns

Name	Type	Optional	Default	Description
spatial_source_id	varchar(40)	False		Spatial source identifier
id	varchar(40)	False		**LADM Definition** - This is an identifier of a measurement within a spatial source.

Constraints

Name	Type	Explanation
spatial_source_measurement_pkey	PRIMARY KEY	Combination of (spatial_source_id,id) is the primary key

Relationships (from)

Name	Information	Description
spatial_source_measurement_spatial_source_id_fk1	**From columns**: spatial_source_id **To Entity**: spatial_source **From cardinality**: 0..* **To Cardinality**: 1	LADM relationship - no refinement

transaction

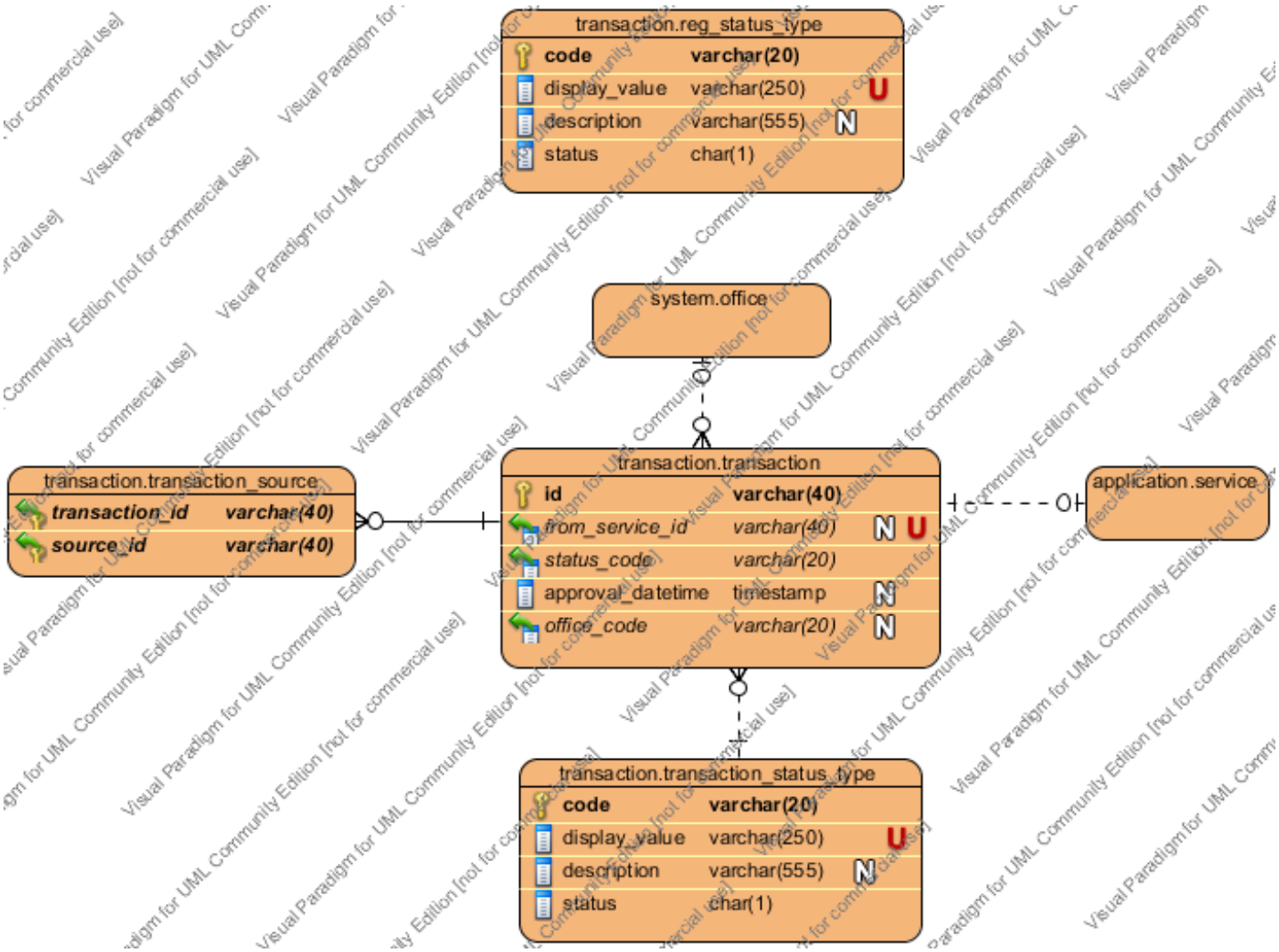

reg_status_type

This table has the list of statuses that a registration about Rights/Restrictions/ Responsabilities/ Cadastral objects / Sources can have.

Columns

Name	Type	Optional	Default	Description
code	varchar(20)	False		The code of the status that an rrr can have
display_value	varchar(250)	False		The value that will be displayed to the user
description	varchar(555)	True		Description of the status
status	char(1)	False		The status of this code itself.

Constraints

Name	Type	Explanation
reg_status_type_display_value_unique	UNIQUE	Combination of (display_value) is unique

reg_status_type_pkey	PRIMARY KEY	Combination of (code) is the primary key

Relationships (to)

Name	Information	Description
rrr_status_code_fk66	**From columns**: status_code **From Entity**: rrr **From cardinality**: 0..* **To Cardinality**: 1	
ba_unit_status_code_fk67	**From columns**: status_code **From Entity**: ba_unit **From cardinality**: 0..* **To Cardinality**: 1	
cadastre_object_status_code_fk69	**From columns**: status_code **From Entity**: cadastre_object **From cardinality**: 0..* **To Cardinality**: 1	
notation_status_code_fk74	**From columns**: status_code **From Entity**: notation **From cardinality**: 0..* **To Cardinality**: 1	
source_status_code_fk91	**From columns**: status_code **From Entity**: source **From cardinality**: 0..* **To Cardinality**: 0..1	
br_validation_target_reg_moment_fk108	**From columns**: target_reg_moment **From Entity**: br_validation **From cardinality**: 0..* **To Cardinality**: 0..1	

Data

Nr	code	display_value	description	status
1	current	Current		c
2	pending	Pending		c
3	historic	Historic		c
4	previous	Previous		c

transaction

Changes in the system come by transactions. A transaction is initiated (optionally) by a service. By introducing the concept of transaction it can be traced how the changes in the administrative schema came. Also by approving the transaction we can approve changes or by rejecting a transaction we can remove the pending changes that came with it and restore the previous state of the administrative schema.

Columns

Name	Type	Optional	Default	Description
id	varchar(40)	False		Meaningless id.
from_service_id	varchar(40)	True		The service id if the transaction is initiated by a service.
status_code	varchar(20)	False	'pending'	The status of the transaction.
approval_datetime	timestamp	True		The approval datetime of the transaction.
office_code	varchar(20)	True		

Constraints

Name	Type	Explanation
transaction_from_service_id_unique	UNIQUE	Combination of (from_service_id) is unique
transaction_pkey	PRIMARY KEY	Combination of (id) is the primary key

Relationships (from)

Name	Information	Description
transaction_from_service_id_fk78	**From columns**: from_service_id **To Entity**: service **From cardinality**: 1 **To Cardinality**: 0..1	
transaction_status_code_fk82	**From columns**: status_code **To Entity**: transaction_status_type **From cardinality**: 0..* **To Cardinality**: 1	
transaction_office_code_fk143	**From columns**: office_code **To Entity**: office **From cardinality**: 0..* **To Cardinality**: 0..1	

Relationships (to)

Name	Information	Description
notation_transaction_id_fk79	**From columns**: transaction_id **From Entity**: notation **From cardinality**: 0..* **To Cardinality**: 1	
rrr_transaction_id_fk86	**From columns**: transaction_id **From Entity**: rrr **From cardinality**: 0..* **To Cardinality**: 1	

ba_unit_transaction_id_fk87	**From columns**: transaction_id **From Entity**: ba_unit **From cardinality**: 0..* **To Cardinality**: 0..1	
source_transaction_id_fk90	**From columns**: transaction_id **From Entity**: source **From cardinality**: 0..* **To Cardinality**: 0..1	
cadastre_object_transaction_id_fk93	**From columns**: transaction_id **From Entity**: cadastre_object **From cardinality**: 0..* **To Cardinality**: 1	
survey_point_transaction_id_fk96	**From columns**: transaction_id **From Entity**: survey_point **From cardinality**: 0..* **To Cardinality**: 1	
cadastre_object_target_transaction_id_fk97	**From columns**: transaction_id **From Entity**: cadastre_object_target **From cardinality**: 0..* **To Cardinality**: 1	
transaction_source_transaction_id_fk98	**From columns**: transaction_id **From Entity**: transaction_source **From cardinality**: 0..* **To Cardinality**: 1	
cadastre_object_node_target_transaction_id_fk112	**From columns**: transaction_id **From Entity**: cadastre_object_node_target **From cardinality**: 0..* **To Cardinality**: 1	
ba_unit_target_transaction_id_fk114	**From columns**: transaction_id **From Entity**: ba_unit_target **From cardinality**: 0..* **To Cardinality**: 1	

transaction_status_type

This table has the list of statuses that a transaction can take.Potential values are current, pending, rejected.

Columns

Name	Type	Optional	Default	Description
code	varchar(20)	False		The code of the status that an rrr can have
display_value	varchar(250)	False		The value that will be displayed to the user
description	varchar(555)	True		Description of the status
status	char(1)	False		The status of this code itself.

Constraints

Name	Type	Explanation
transaction_status_type_display_value_unique	UNIQUE	Combination of (display_value) is unique
transaction_status_type_pkey	PRIMARY KEY	Combination of (code) is the primary key

Relationships (to)

Name	Information	Description
transaction_status_code_fk82	**From columns**: status_code **From Entity**: transaction **From cardinality**: 0..* **To Cardinality**: 1	

Data

Nr	code	display_value	description	status
1	approved	Approved::::Approvata		c
2	cancelled	CancelledApproved::::Cancellata		c
3	pending	Pending::::In Attesa		c
4	completed	Completed::::ITALIANO		c

transaction_source

Columns

Name	Type	Optional	Default	Description
transaction_id	varchar(40)	False		
source_id	varchar(40)	False		

Constraints

Name	Type	Explanation
transaction_source_pkey	PRIMARY KEY	Combination of (transaction_id,source_id) is the primary key

Relationships (from)

Name	Information	Description
transaction_source_transaction_id_fk98	**From columns**: transaction_id **To Entity**: transaction **From cardinality**: 0..* **To Cardinality**: 1	
transaction_source_source_id_fk99	**From columns**: source_id **To Entity**: source **From cardinality**: 0..* **To Cardinality**: 1	

application

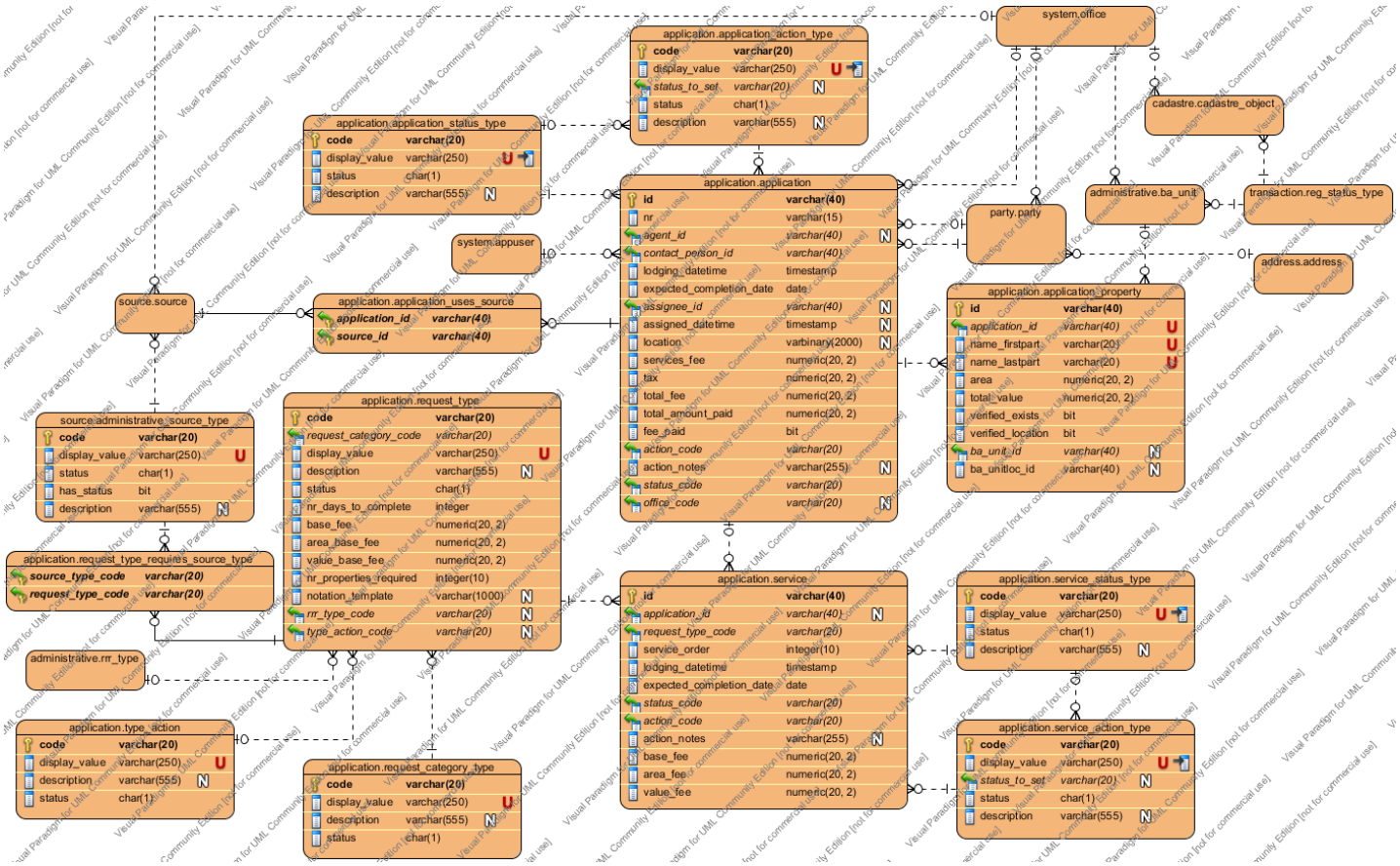

service

Various forms of services provided by a land officeLADM Reference ObjectFLOSS SOLA ExtensionLADM DefinitionNot Applicable

Columns

Name	Type	Optional	Default	Description
id	varchar(40)	False		**SOLA Extension** - system generated id for a service
application_id	varchar(40)	True		**SOLA Extension** - Application where this service is found.
request_type_code	varchar(20)	False		**SOLA Extension** -The request typecode
service_order	integer	False	0	**SOLA Extension** - The order of the service within the application.
lodging_datetime	timestamp	False	now()	**SOLA Extension** - The start date a lodgement is made. By default it is assigned from the system.
expected_completion_date	date	False		**SOLA Extension** - Expected date when the service must be completed. It is calculated based in the lodging_datetime plus the nr_days_to_complete of the selected service type. At the moment, it is done as a simple adding of an interval.

status_code	varchar(20)	False	'lodged'	**SOLA Extension** - service status code
action_code	varchar(20)	False	'lodge'	**SOLA Extension** - action code
action_notes	varchar(255)	True		**SOLA Extension** - Extra description that can be added when the status of service can be changed.
base_fee	numeric(20, 2)	False	0	**SOLA Extension** - Base fee of this service. It is derived by the base_fee of the request_type.
area_fee	numeric(20, 2)	False	0	**SOLA Extension** - It is the fee calculated based in the sum of areas of all properties involved in the service. Derived as: request_type.area_base_fee * SUM(application_property.area)
value_fee	numeric(20, 2)	False	0	**SOLA Extension** - It is the fee calculated based in the sum of values of all properties involved in the service. Derived as: request_type.value_base_fee * SUM(application_property.value)

Constraints

Name	Type	Explanation
service_pkey	PRIMARY KEY	Combination of (id) is the primary key

Relationships (from)

Name	Information	Description
service_application_id_fk30	**From columns**: application_id **To Entity**: application **From cardinality**: 0..* **To Cardinality**: 0..1	FLOSS SOLA relationship - no refinement
service_request_type_code_fk31	**From columns**: request_type_code **To Entity**: request_type **From cardinality**: 0..* **To Cardinality**: 1	FLOSS SOLA relationship - no refinement
service_status_code_fk41	**From columns**: status_code **To Entity**: service_status_type **From cardinality**: 0..* **To Cardinality**: 1	FLOSS SOLA relationship - no refinement
service_action_code_fk43	**From columns**: action_code **To Entity**: service_action_type **From cardinality**: 0..* **To Cardinality**: 1	FLOSS SOLA relationship - no refinement

Relationships (to)

Name	Information	Description
transaction_from_service_id_fk78	**From columns**: from_service_id **From Entity**: transaction **From cardinality**: 1 **To Cardinality**: 0..1	

application

An application is a bundle of services that a client or customer wants from the registration office.LADM Reference ObjectFLOSS SOLA ExtensionLADM DefinitionNot Applicable

Columns

Name	Type	Optional	Default	Description
id	varchar(40)	False		**SOLA Extension** - application identifier
nr	varchar(15)	False		**SOLA Extension** - This is the application number that is exposed to the user. It is generated as the date + the ordinal number within that day.
agent_id	varchar(40)	True		**SOLA Extension** - The id of the agent which is filling the application. It is not necessary one of the parties involved in user rights. It can be a firm or individual.
contact_person_id	varchar(40)	False		**SOLA Extension** - This is the contact person and it is always an individual that can be reachable in different ways.
lodging_datetime	timestamp	False	now()	**SOLA Extension** - The lodging date and time of the application. This date is important because it marks the time when the application has been officially accepted from the RO.
expected_completion_date	date	False	now()	**SOLA Extension** - The date when the application is supposed to be completed or cancelled by then. It is a derived value by picking up the most later expected date from the services that are boundled with the application.
assignee_id	varchar(40)	True		**SOLA Extension** - The person that is assigned to the application. If this value is missing it means that the application is not assigned.
assigned_datetime	timestamp	True		**SOLA Extension** - Date and time the application is assigned. It has a meaning only if the assignee_login_name is present.
location	GEOMETRY	True		**SOLA Extension** - The location of the application given as multi point in the map.
services_fee	numeric(20, 2)	False	0	**SOLA Extension** - The total amount of services fee. This is derived as the sum of fees of all services bundled in the application.
tax	numeric(20, 2)	False	0	**SOLA Extension** - Tax or proportionate component of the services_fee.
total_fee	numeric(20, 2)	False	0	**SOLA Extension** - The total amount of the fee (including tax) that has to be paid. Derived as: services_fee + tax
total_amount_paid	numeric(20, 2)	False	0	**SOLA Extension** - The amount paid. Normally it must be equal to the total_fee.
fee_paid	bool	False	false	**SOLA Extension** - It shows if the fee is paid.
action_code	varchar(20)	False	'lodge'	**SOLA Extension** - The last action that happened to the application. Some values of this attribute are generated by the system.

action_notes	varchar(255)	True		**SOLA Extension** - Extra description about the action.
status_code	varchar(20)	False	'lodged'	The status of the application.
office_code	varchar(20)	True		

Constraints

Name	Type	Explanation
application_check_assigned	CHECK	Rule ((assignee_id is null and assigned_datetime is null) or (assignee_id is not null and assigned_datetime is not null)) must be true
application_pkey	PRIMARY KEY	Combination of (id) is the primary key

Relationships (from)

Name	Information	Description
application_agent_id_fk34	**From columns**: agent_id **To Entity**: party **From cardinality**: 0..* **To Cardinality**: 0..1	FLOSS SOLA relationship - no refinement
application_contact_person_id_fk39	**From columns**: contact_person_id **To Entity**: party **From cardinality**: 0..* **To Cardinality**: 1	FLOSS SOLA relationship - no refinement
application_action_code_fk40	**From columns**: action_code **To Entity**: application_action_type **From cardinality**: 0..* **To Cardinality**: 1	FLOSS SOLA relationship - no refinement
application_assignee_id_fk49	**From columns**: assignee_id **To Entity**: appuser **From cardinality**: 0..* **To Cardinality**: 0..1	FLOSS SOLA relationship - no refinement
application_status_code_fk50	**From columns**: status_code **To Entity**: application_status_type **From cardinality**: 0..* **To Cardinality**: 1	FLOSS SOLA relationship - no refinement
application_office_code_fk137	**From columns**: office_code **To Entity**: office **From cardinality**: 0..* **To Cardinality**: 0..1	

Relationships (to)

Name	Information	Description
service_application_id_fk30	**From columns**: application_id **From Entity**: service **From cardinality**: 0..* **To Cardinality**: 0..1	FLOSS SOLA relationship - no refinement

application_property_application_id_fk44	**From columns**: application_id **From Entity**: application_property **From cardinality**: 0..* **To Cardinality**: 1	FLOSS SOLA relationship - no refinement
application_uses_source_application_id_fk46	**From columns**: application_id **From Entity**: application_uses_source **From cardinality**: 0..* **To Cardinality**: 1	FLOSS SOLA relationship - no refinement

application_action_type

Reference Table / Code list of action types that are performed in relation to an (land office) application for servicesLADM Reference Object FLOSS SOLA ExtensionLADM DefinitionNot Applicable

Columns

Name	Type	Optional	Default	Description
code	varchar(20)	False		**SOLA Extension** - Communication type code
display_value	varchar(250)	False		**SOLA Extension** - Display value for the communication type
status_to_set	varchar(20)	True		
status	char(1)	False	't'	**SOLA Extension** - Status of the communication type
description	varchar(555)	True		**SOLA Extension** - Description of the communication type

Constraints

Name	Type	Explanation
application_action_type_display_value_unique	UNIQUE	Combination of (display_value) is unique
application_action_type_pkey	PRIMARY KEY	Combination of (code) is the primary key

Relationships (from)

Name	Information	Description
application_action_type_status_to_set_fk105	**From columns**: status_to_set **To Entity**: application_status_type **From cardinality**: 0..* **To Cardinality**: 0..1	

Relationships (to)

Name	Information	Description
application_action_code_fk40	**From columns**: action_code **From Entity**: application **From cardinality**: 0..* **To Cardinality**: 1	FLOSS SOLA relationship - no refinement
br_validation_target_application_moment_fk106	**From columns**: target_application_moment **From Entity**: br_validation **From cardinality**: 0..* **To Cardinality**: 0..1	

Data

Nr	code	display_value	status_to_set	status	description

1	lodge	Lodgement Notice Prepared::::Ricevuta della Registrazione Preparata	lodged	c	Lodgement notice is prepared (action is automatically logged when application details are saved for the first time:::La ricevuta della registrazione pronta
2	addDocument	Add document::::Documenti scannerizzati allegati alla pratica		c	Scanned Documents linked to Application (action is automatically logged when a new document is saved)::::Documenti scannerizzati allegati alla pratica
3	withdraw	Withdraw application::::Pratica Ritirata	anulled	c	Application withdrawn by Applicant (action is manually logged)::::Pratica Ritirata dal Richiedente
4	cancel	Cancel application::::Pratica cancellata	anulled	c	Application cancelled by Land Office (action is automatically logged when application is cancelled)::::Pratica cancellata da Ufficio Territoriale
5	requisition	Requisition:::Ulteriori Informazioni domandate dal richiedente	requisitioned	c	Further information requested from applicant (action is manually logged)::::Ulteriori Informazioni domandate dal richiedente
6	validateFailed	Quality Check Fails::::Controllo Qualita Fallito		c	Quality check fails (automatically logged when a critical business rule failure occurs)::::Controllo Qualita Fallito
7	validatePassed	Quality Check Passes::::Controllo Qualita Superato		c	Quality check passes (automatically logged when business rules are run without any critical failures)::::Controllo Qualita Superato
8	approve	Approve::::Approvata	approved	c	Application is approved (automatically logged when application is approved successively)::::Pratica approvata
9	archive	Archive::::Archiviata	completed	c	Paper application records are archived (action is manually logged)::::I fogli della pratica sono stati archiviati
10	despatch	Despatch::::Inviata		c	Application documents and new land office products are sent or collected by applicant (action is manually logged)::::I documenti della pratica e i nuovi prodotti da Ufficio Territoriale sono stati spediti o ritirati dal richiedente
11	lapse	Lapse::::ITALIANO	anulled	c	
12	assign	Assign::::ITALIANO		c	
13	unAssign	Unassign::::ITALIANO		c	
14	resubmit	Resubmit::::ITALIANO	lodged	c	
15	validate	Validate::::ITALIANO		c	The action validate does not leave a mark, because validateFailed and validateSucceded will be used instead when the validate is completed.

16	transfer	Transfer application between departments		c	Application transfered to the given department

application_status_type

Reference Table / Code list for application status type

LADM Reference Object
FLOSS SOLA Extension

LADM Definition
Not Applicable

Columns

Name	Type	Optional	Default	Description
code	varchar(20)	False		**SOLA Extension** - status type code
display_value	varchar(250)	False		**SOLA Extension** - Display value for the status type
status	char(1)	False	't'	**SOLA Extension** - Status of an instance of application status
description	varchar(555)	True		**SOLA Extension** - Description of application status

Constraints

Name	Type	Explanation
application_status_type_display_value_unique	UNIQUE	Combination of (display_value) is unique
application_status_type_pkey	PRIMARY KEY	Combination of (code) is the primary key

Relationships (to)

Name	Information	Description
application_status_code_fk50	**From columns**: status_code **From Entity**: application **From cardinality**: 0..* **To Cardinality**: 1	FLOSS SOLA relationship - no refinement
application_action_type_status_to_set_fk105	**From columns**: status_to_set **From Entity**: application_action_type **From cardinality**: 0..* **To Cardinality**: 0..1	

Data

Nr	code	display_value	status	description
1	lodged	Lodged::::Registrata	c	Application has been lodged and officially received by land office::::La pratica registrata e formalmente ricevuta da ufficio territoriale
2	approved	Approved::::ITALIANO	c	
3	anulled	Anulled::::Anullato	c	
4	completed	Completed::::ITALIANO	c	

5	requisitioned	Requisitioned::::ITALIANO	c	

request_type

Reference Table / Code list of the (service) request types received by a land officeLADM Reference Object FLOSS SOLA ExtensionLADM DefinitionNot Applicable

Columns

Name	Type	Optional	Default	Description
code	varchar(20)	False		**SOLA Extension** - Code for the request type
request_category_code	varchar(20)	False		**SOLA Extension** - The code for the request category type
display_value	varchar(250)	False		**SOLA Extension** - The display value for the request type
description	varchar(555)	True		**SOLA Extension** - The description of the request type
status	char(1)	False	't'	**SOLA Extension** - Status of the request type
nr_days_to_complete	integer	False	0	**SOLA Extension** - The number of days within the service must be completed.
base_fee	numeric(20, 2)	False	0	**SOLA Extension** - The base fee that will be asked for this kind of request.
area_base_fee	numeric(20, 2)	False	0	**SOLA Extension** - The fee that will be asked per m2 of the area of the properties that will be dealt with for this kind of request.
value_base_fee	numeric(20, 2)	False	0	**SOLA Extension** - The fee that will be asked per value unit of the properties that will be dealt with for this kind of request.
nr_properties_required	integer	False	0	**SOLA Extension** - The minimum number of properties that is required by this service.
notation_template	varchar(1000)	True		
rrr_type_code	varchar(20)	True		The type of rrr which will be affected from the service of this request type. It is optional because not every request type affects rrr. If this value is filled then also the column rrr_type_action must be filled.
type_action_code	varchar(20)	True		This holds the action that has to happen on the rrr or ba unit if the request type targets rrr or ba unit.

Constraints

Name	Type	Explanation
request_type_display_value_unique	UNIQUE	Combination of (display_value) is unique
request_type_pkey	PRIMARY KEY	Combination of (code) is the primary key

Relationships (from)

Name	Information	Description

request_type_request_category_code_fk29	**From columns**: request_category_code **To Entity**: request_category_type **From cardinality**: 0..* **To Cardinality**: 1	FLOSS SOLA relationship - no refinement
request_type_rrr_type_code_fk83	**From columns**: rrr_type_code **To Entity**: rrr_type **From cardinality**: 0..* **To Cardinality**: 0..1	
request_type_type_action_code_fk84	**From columns**: type_action_code **To Entity**: type_action **From cardinality**: 0..* **To Cardinality**: 0..1	

Relationships (to)

Name	Information	Description
service_request_type_code_fk31	**From columns**: request_type_code **From Entity**: service **From cardinality**: 0..* **To Cardinality**: 1	FLOSS SOLA relationship - no refinement
request_type_requires_source_type_request_type_code_fk47	**From columns**: request_type_code **From Entity**: request_type_requires_source_type **From cardinality**: 0..* **To Cardinality**: 1	FLOSS SOLA relationship - no refinement

Data

Nr	code	request_category_code
1	cadastreChange	registrationServices
2	redefineCadastre	registrationServices
3	registrationDismiss	registrationServices
4	missingLandRegister	registrationServices
5	ownershipClearance	registrationServices
6	Guthi	informationServices
7	regnDeeds	registrationServices
8	resignation	registrationServices
9	regnPowerOfAttorney	registrationServices
10	propertyDivision	registrationServices
11	exchange	informationServices
12	leaveNotice	informationServices
13	multipleOwner	registrationServices
14	locMerging	registrationServices
15	oldSurvey	registrationServices
16	newSurvey	registrationServices

17	manuJodiako	registrationServices
18	newOwnership	registrationServices
19	removeDuplicate	registrationServices
20	afterDeathWilling	registrationServices
21	shresthaAdhyabadhik	registrationServices
22	guthiRaitani	registrationServices
23	ownerCancellation	registrationServices
24	chakalaBandhi	registrationServices
25	newApartment	registrationServices
26	stayCurrent	registrationServices
27	lakhaBandhaki	registrationServices
28	distriBandhaki	registrationServices
29	agreement	registrationServices
30	donationLetter	registrationServices
31	rightReceived	registrationServices
32	threeGeneration	registrationServices
33	decisionBased	registrationServices
34	memoBased	registrationServices
35	cancelProperty	registrationServices

Nr	display_value	description	status	nr_days_to_complete	base_fee	area_base_fee
1	Change to Cadastre:::[redacted]		c	30	25.00	0.10
2	Redefine Cadastre:::[redacted]		c	30	25.00	0.10
3	Registration Dismissal:::[redacted]		c	1	0.50	0.00
4	Missing Land Registration:::[redacted]		x	1	5.00	0.00
5	Ownership Clearance:::[redacted]		c	5	5.00	0.00
6	Guthi:::[redacted]		c	1	0.00	0.00
7	Deed Registration:::[redacted]		x	3	1.00	0.00
8	Resignation:::[redacted]		c	5	5.00	0.00
9	Willingness Letter:::[redacted]		c	3	5.00	0.00
10	Property Division:::[redacted]		c	3	5.00	0.00
11	Exchange:::[redacted]		x	1	5.00	0.00
12	Leave Notice:::[redacted]		x	1	1.00	0.00
13	Multiple Ownership Registration:::[redacted]		c	1	0.50	0.00
14	LOC Merging:::[redacted]		x	1	0.00	0.10
15	Old Survey:::[redacted]		x	5	5.00	0.10
16	New Survey:::[redacted]		c	5	5.00	0.00
17	Manu Jodiako:::[redacted]		x	5	5.00	0.00
18	Register New Ownership:::[redacted]		c	5	5.00	0.00
19	Duplication Registration Removal:::[redacted]		c	5	5.00	0.00

20	After Death Willingness Letter::::[redacted]		c	5	5.00	0.01
21	Shresta Adhyabadhik::::[redacted]		c	5	5.00	0.00
22	Guthi Raitani Numberi::::[redacted]		c	5	5.00	0.00
23	Ownership Registration Cancellation::::[redacted]		c	5	5.00	0.00
24	Chakala Bandhi::::[redacted]		x	5	5.00	0.00
25	Building Development::::[redacted]		c	5	5.00	0.00
26	Validate Current Condition::::[redacted]. [redacted].		x	5	0.00	0.00
27	Lakha Bandhaki::::[redacted]		c	5	50.00	0.00
28	Dristi Bandahaki::::[redacted]		c	5	5.00	0.00
29	Aggrement::::[redacted]		c	5	5.00	0.00
30	Donation Letter:::: [redacted]		c	5	5.00	0.00
31	Right Receiving Recipt::::[redacted]		c	5	5.00	0.00
32	Three Generation Donation Letter::::[redacted]		c	5	5.00	0.00
33	Decision Letter::::[redacted]		c	5	5.00	0.00
34	Memo Based::::[redacted]		c	5	0.00	0.00
35	Registration Cancellation::::[redacted]		c	5	5	0

Nr	value_base_fee	nr_properties_required	notation_template	rrr_type_code	type_action_code
1	0	1			
2	0	1			
3	0	0			
4	0	1			
5	0	1			
6	0	0			
7	0	0			
8	0.01	1			
9	0	0			
10	0	0			
11	0	1			
12	0	0			
13	0	0			
14	0	0			
15	0	0			
16	0.01	1			
17	0.01	1			
18	0.02	1			
19	0	1			
20	0	1			

21	0	1			
22	0	1			
23	0	1			
24	0.02	1			
25	0.02	1			
26	0	1			
27	0	1			
28	0	1			
29	0	1			
30	0	1			
31	0	1			
32	0	1			
33	0	1			
34	0	1			
35	0	1			

request_category_type

Reference Table / Code list for categories of (service) requests received by a land office

LADM Reference Object
FLOSS SOLA Extension

LADM Definition
Not Applicable

Columns

Name	Type	Optional	Default	Description
code	varchar(20)	False		**SOLA Extension** - The code request category type
display_value	varchar(250)	False		**SOLA Extension** - The display value for the request category type
description	varchar(555)	True		**SOLA Extension** - Description of the request category type
status	char(1)	False	't'	**SOLA Extension** - Status of the request category type

Constraints

Name	Type	Explanation
request_category_type_display_value_unique	UNIQUE	Combination of (display_value) is unique
request_category_type_pkey	PRIMARY KEY	Combination of (code) is the primary key

Relationships (to)

Name	Information	Description
request_type_request_category_code_fk29	**From columns**: request_category_code **From Entity**: request_type **From cardinality**: 0..* **To Cardinality**: 1	FLOSS SOLA relationship - no refinement

Data

Nr	code	display_value	description	status
1	registrationServices	Registration Services::::Registration Services		c
2	informationServices	Information Services::::Information Services		c

type_action

This is the coded list of allowed operations on rrr and ba_unit. Present values are: new, remove, vary.

Columns

Name	Type	Optional	Default	Description
code	varchar(20)	False		
display_value	varchar(250)	False		
description	varchar(555)	True		
status	char(1)	False	't'	

Constraints

Name	Type	Explanation
type_action_display_value_unique	UNIQUE	Combination of (display_value) is unique
type_action_pkey	PRIMARY KEY	Combination of (code) is the primary key

Relationships (to)

Name	Information	Description
request_type_type_action_code_fk84	**From columns**: type_action_code **From Entity**: request_type **From cardinality**: 0..* **To Cardinality**: 0..1	

Data

Nr	code	display_value	description	status
1	new	New::::ITALIANO		c
2	vary	Vary::::ITALIANO		c
3	cancel	Cancel::::ITALIANO		c

service_status_type

It is the status that a service can have.

Columns

Name	Type	Optional	Default	Description
code	varchar(20)	False		**SOLA Extension** - the code identifying a service status type
display_value	varchar(250)	False		**SOLA Extension** - the displayed value of a service status type
status	char(1)	False	't'	**SOLA Extension** - the status of an instance of service status type
description	varchar(555)	True		**SOLA Extension** - the description of a service status type

Constraints

Name	Type	Explanation
service_status_type_display_value_unique	UNIQUE	Combination of (display_value) is unique
service_status_type_pkey	PRIMARY KEY	Combination of (code) is the primary key

Relationships (to)

Name	Information	Description
service_status_code_fk41	**From columns**: status_code **From Entity**: service **From cardinality**: 0..* **To Cardinality**: 1	FLOSS SOLA relationship - no refinement
service_action_type_status_to_set_fk104	**From columns**: status_to_set **From Entity**: service_action_type **From cardinality**: 0..* **To Cardinality**: 0..1	

Data

Nr	code	display_value	status	description
1	lodged	Lodged::::■■■■■■■■■■	c	Application for a service has been lodged and officially received by land office::::La pratica per un servizio, registrata e formalmente ricevuta da ufficio territoriale
2	completed	Completed::::■■■■■	c	
3	pending	Pending::::■■■■	c	
4	cancelled	Cancelled::::■■■■■	c	

service_action_type

Reference Table / Code list of types of action that a land officer can perform to complete a service request

LADM Reference Object
FLOSS SOLA Extension

LADM Definition
Not Applicable

Columns

Name	Type	Optional	Default	Description
code	varchar(20)	False		**SOLA Extension** - the code identifying a service action type
display_value	varchar(250)	False		**SOLA Extension** - the displayed value of a service action type
status_to_set	varchar(20)	True		
status	char(1)	False	't'	**SOLA Extension** - the status of an instance of service action type
description	varchar(555)	True		**SOLA Extension** - the description of a service action type

Constraints

Name	Type	Explanation
service_action_type_display_value_unique	UNIQUE	Combination of (display_value) is unique
service_action_type_pkey	PRIMARY KEY	Combination of (code) is the primary key

Relationships (from)

Name	Information	Description
service_action_type_status_to_set_fk104	**From columns**: status_to_set **To Entity**: service_status_type **From cardinality**: 0..* **To Cardinality**: 0..1	

Relationships (to)

Name	Information	Description
service_action_code_fk43	**From columns**: action_code **From Entity**: service **From cardinality**: 0..* **To Cardinality**: 1	FLOSS SOLA relationship - no refinement
br_validation_target_service_moment_fk107	**From columns**: target_service_moment **From Entity**: br_validation **From cardinality**: 0..* **To Cardinality**: 0..1	

Data

Nr	code	display_value	status_to_set	status	description
1	lodge	Lodge::::■■■■■■■■■	lodged	c	Application for service(s) is officially received by land office (action is automatically logged when application is saved for the first time)::::La pratica per i servizi formalmente ricevuta da ufficio territoriale
2	start	Start::::■■■■	pending	c	Provisional RRR Changes Made to Database as a result of application (action is automatically logged when a change is made to a rrr object)::::Apportate Modifiche Provvisorie di tipo RRR al Database come risultato della pratica
3	cancel	Cancel::::■■■■■	cancelled	c	Service is cancelled by Land Office (action is automatically logged when a service is cancelled)::::Pratica cancellata da Ufficio Territoriale
4	complete	Complete::::■■■■■	completed	c	Application is ready for approval (action is automatically logged when service is marked as complete::::Pratica pronta per approvazione
5	revert	Revert::::■■■■■■■■	pending	c	The status of the service has been reverted to pending from being completed (action is automatically logged when a service is reverted back for further work)::::ITALIANO

application_property

Details of the property associated with an application

LADM Reference Object
FLOSS SOLA Extension

LADM Definition
Not Applicable

Columns

Name	Type	Optional	Default	Description
id	varchar(40)	False		**SOLA Extension** - the id for the application property record
application_id	varchar(40)	False		**SOLA Extension** - the application id
name_firstpart	varchar(20)	False		**SOLA Extension** - the first part of the property reference id
name_lastpart	varchar(20)	False		**SOLA Extension** - the last part of the property reference ID
area	numeric(20, 2)	False	0	**SOLA Extension** - the area in square metres of application - property
total_value	numeric(20, 2)	False	0	**SOLA Extension** - the land (or property value - will vary from jurisdiction to jurisdiction) on which the proportionate service fee or tax is calculated
verified_exists	bool	False	false	**SOLA Extension** - the flag that indicates that the application property already exists (as an/some instance(s) of ba_unit
verified_location	bool	False	false	**SOLA Extension** - the flag that indicates that the application property already exists (as an/some instance(s) of ba_unit
ba_unit_id	varchar(40)	True		**LADM Definition** - the id for ba_unit
ba_unitloc_id	varchar(40)	True		

Constraints

Name	Type	Explanation
application_property_property_once	UNIQUE	Combination of (application_id, name_firstpart, name_lastpart) is unique
application_property_pkey	PRIMARY KEY	Combination of (id) is the primary key

Relationships (from)

Name	Information	Description
application_property_application_id_fk44	**From columns**: application_id **To Entity**: application **From cardinality**: 0..* **To Cardinality**: 1	FLOSS SOLA relationship - no refinement

application_property_ba_unit_id_fk48	**From columns**: ba_unit_id **To Entity**: ba_unit **From cardinality**: 0..* **To Cardinality**: 0..1	SOLA Extension relationship - no refinement

application_uses_source

Sources (documents) submitted with an application, created as a result of the application by land officers or further documents added to assist in the processing of the application

LADM Reference Object
FLOSS SOLA Extension

LADM Definition
Not Applicable

Columns

Name	Type	Optional	Default	Description
application_id	varchar(40)	False		**SOLA Extension** - the application id
source_id	varchar(40)	False		**LADM Definition** - the source (document) id

Constraints

Name	Type	Explanation
application_uses_source_pkey	PRIMARY KEY	Combination of (application_id,source_id) is the primary key

Relationships (from)

Name	Information	Description
application_uses_source_source_id_fk45	**From columns**: source_id **To Entity**: source **From cardinality**: 0..* **To Cardinality**: 1	FLOSS SOLA relationship - no refinement
application_uses_source_application_id_fk46	**From columns**: application_id **To Entity**: application **From cardinality**: 0..* **To Cardinality**: 1	FLOSS SOLA relationship - no refinement

request_type_requires_source_type

Source (documents) required for a particular (Service) Request received by a land office

LADM Reference Object
FLOSS SOLA Extension

LADM Definition
Not Applicable

Columns

Name	Type	Optional	Default	Description
source_type_code	varchar(20)	False		**SOLA Extension** - source type code
request_type_code	varchar(20)	False		**SOLA Extension** - request type code

Constraints

Name	Type	Explanation
request_type_requires_source_type_pkey	PRIMARY KEY	Combination of (source_type_code,request_type_code) is the primary key

Relationships (from)

Name	Information	Description
request_type_requires_source_type_request_type_code_fk47	**From columns**: request_type_code **To Entity**: request_type **From cardinality**: 0..* **To Cardinality**: 1	FLOSS SOLA relationship - no refinement
request_type_requires_source_type_source_type_code_fk54	**From columns**: source_type_code **To Entity**: administrative_source_type **From cardinality**: 0..* **To Cardinality**: 1	FLOSS SOLA relationship - no refinement

Data

Nr	source_type_code	request_type_code
1	cadastralSurvey	cadastreChange
2	cadastralSurvey	redefineCadastre
3	mortgage	missingLandRegister
4	title	missingLandRegister
5	title	resignation
6	deed	regnDeeds
7	lease	newSurvey
8	powerOfAttorney	regnPowerOfAttorney
9	deed	propertyDivision
10	title	manuJodiako

11	deed	manuJodiako
12	deed	removeDuplicate
13	deed	afterDeathWilling
14	mortgage	shresthaAdhyabadhik
15	deed	guthiRaitani
16	deed	ownerCancellation
17	title	chakalaBandhi
18	deed	chakalaBandhi
19	deed	newApartment
20	deed	stayCurrent
21	deed	lakhaBandhaki
22	title	lakhaBandhaki
23	deed	distriBandhaki
24	title	distriBandhaki
25	deed	agreement
26	deed	donationLetter
27	lease	rightReceived
28	deed	rightReceived
29	title	threeGeneration
30	deed	threeGeneration
31	deed	decisionBased
32	title	decisionBased

party

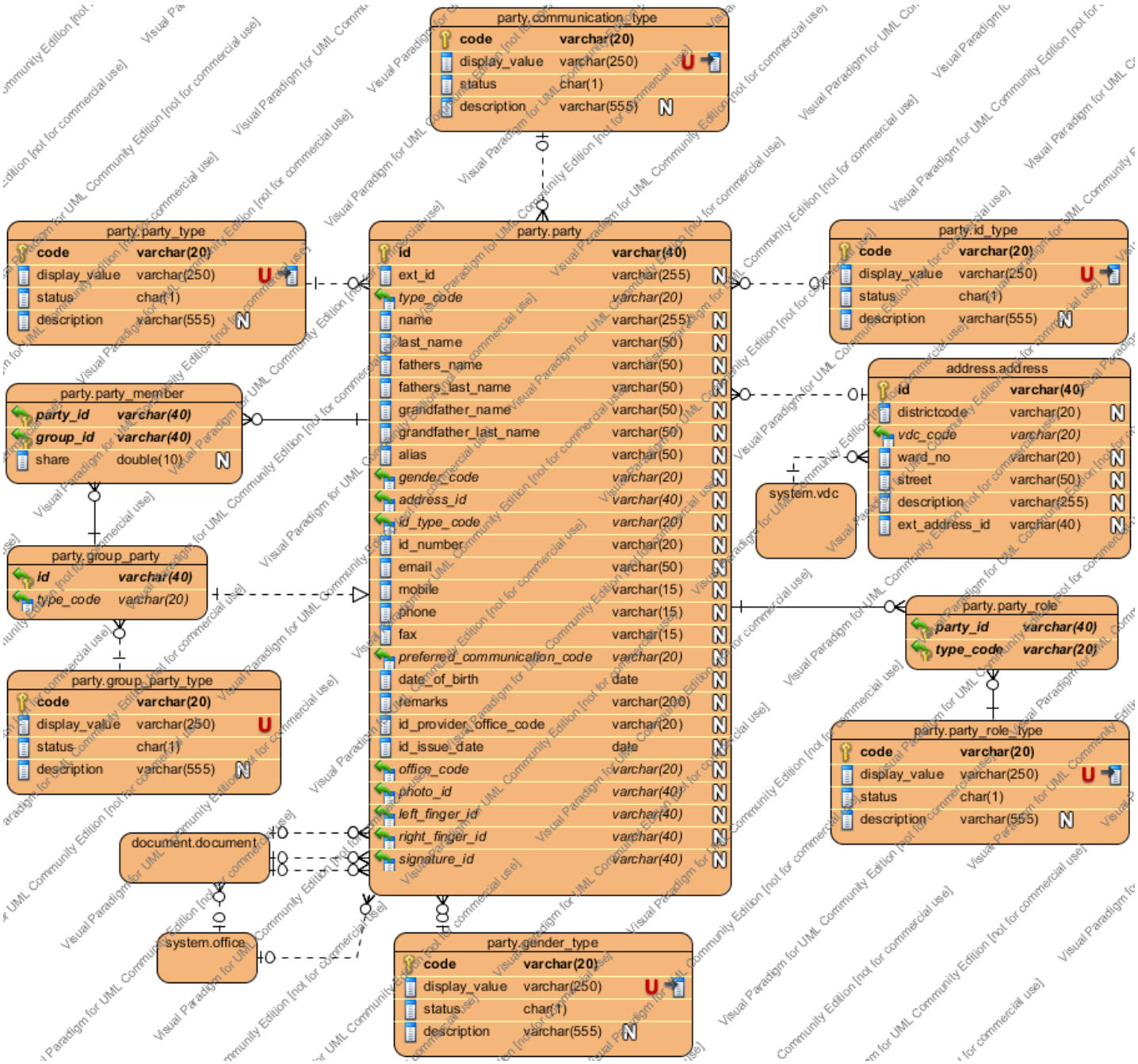

party

An individual or group of individual people or a non-person organisation that is associated in some way with land office services.Also refer to LADM DefinitionLADM Reference Object LA_PartyLADM DefinitionRegistered and identified as a constituent of a group party.

Columns

Name	Type	Optional	Default	Description
id	varchar(40)	False		**LADM Definition** The identifier of the party
ext_id	varchar(255)	True		**LADM Definition** An identifier for the party from a system external to SOLA

type_code	varchar(20)	False		**LADM Definition** The type code for the party
name	varchar(255)	True		**LADM Definition** Name of party
last_name	varchar(50)	True		**SOLA Extension** - Last name of party
fathers_name	varchar(50)	True		**SOLA Extension** - First name of father of the party.
fathers_last_name	varchar(50)	True		**SOLA Extension** - Last name of father of the party.
grandfather_name	varchar(50)	True		
grandfather_last_name	varchar(50)	True		
alias	varchar(50)	True		**SOLA Extension** - Alias of the party.
gender_code	varchar(20)	True		The gender of the party. If type of the party is naturalPerson then the gender_code must be given.
address_id	varchar(40)	True		**SOLA Extension** - An identifier for the contact address of party
id_type_code	varchar(20)	True		**SOLA Extension** The type of the identification which is used to identify the party.
id_number	varchar(20)	True		**SOLA Extension** The number of the id document.
email	varchar(50)	True		**SOLA Extension** Party's contact email address
mobile	varchar(15)	True		**SOLA Extension** Contact mobile number of party
phone	varchar(15)	True		**SOLA Extension** Landline phone number of party
fax	varchar(15)	True		**SOLA Extension** Fax number of party
preferred_communication_code	varchar(20)	True		**SOLA Extension** Code for mode of preferred communication
date_of_birth	date	True		
remarks	varchar(200)	True		
id_provider_office_code	varchar(20)	True		
id_issue_date	date	True		
office_code	varchar(20)	True		
photo_id	varchar(40)	True		
left_finger_id	varchar(40)	True		
right_finger_id	varchar(40)	True		
signature_id	varchar(40)	True		

Constraints

Name	Type	Explanation
party_id_is_present	CHECK	Rule ((id_type_code is null and id_number is null) or ((id_type_code is not null and id_number is not null))) must be true If id_type_code is provided then also the id_number must be provided and the other way around.
party_pkey	PRIMARY KEY	Combination of (id) is the primary key

Relationships (from)

Name	Information	Description
party_type_code_fk2	**From columns**: type_code **To Entity**: party_type **From cardinality**: 0..* **To Cardinality**: 1	LADM relationship - no refinement
party_address_id_fk35	**From columns**: address_id **To Entity**: address **From cardinality**: 0..* **To Cardinality**: 0..1	FLOSS SOLA relationship - no refinement
party_preferred_communication_code_fk38	**From columns**: preferred_communication_code **To Entity**: communication_type **From cardinality**: 0..* **To Cardinality**: 0..1	FLOSS SOLA relationship - no refinement
party_id_type_code_fk42	**From columns**: id_type_code **To Entity**: id_type **From cardinality**: 0..* **To Cardinality**: 0..1	FLOSS SOLA relationship - no refinement
party_gender_code_fk95	**From columns**: gender_code **To Entity**: gender_type **From cardinality**: 0..* **To Cardinality**: 0..1	
party_office_code_fk134	**From columns**: office_code **To Entity**: office **From cardinality**: 0..* **To Cardinality**: 0..1	
party_photo_id_fk145	**From columns**: photo_id **To Entity**: document **From cardinality**: 0..* **To Cardinality**: 0..1	
party_left_finger_id_fk146	**From columns**: left_finger_id **To Entity**: document **From cardinality**: 0..* **To Cardinality**: 0..1	
party_right_finger_id_fk147	**From columns**: right_finger_id **To Entity**: document **From cardinality**: 0..* **To Cardinality**: 0..1	
party_signature_id_fk148	**From columns**: signature_id **To Entity**: document **From cardinality**: 0..* **To Cardinality**: 0..1	

Relationships (to)

Name	Information	Description
party_member_party_id_fk4	**From columns**: party_id **From Entity**: party_member **From cardinality**: 0..* **To Cardinality**: 1	LADM relationship - no refinement

group_party_id_fk10	**From columns**: id **From Entity**: group_party **From cardinality**: 1 **To Cardinality**: 1	LADM relationship - no refinement
party_role_party_id_fk33	**From columns**: party_id **From Entity**: party_role **From cardinality**: 0..* **To Cardinality**: 1	FLOSS SOLA relationship - no refinement
application_agent_id_fk34	**From columns**: agent_id **From Entity**: application **From cardinality**: 0..* **To Cardinality**: 0..1	FLOSS SOLA relationship - no refinement
application_contact_person_id_fk39	**From columns**: contact_person_id **From Entity**: application **From cardinality**: 0..* **To Cardinality**: 1	FLOSS SOLA relationship - no refinement
ba_unit_as_party_party_id_fk56	**From columns**: party_id **From Entity**: ba_unit_as_party **From cardinality**: 0..* **To Cardinality**: 1	
party_for_rrr_party_id_fk81	**From columns**: party_id **From Entity**: party_for_rrr **From cardinality**: 0..* **To Cardinality**: 1	

party_type

Reference Table / Code list of party types

LADM Reference Object
LA_

LADM Definition
The type of party

Columns

Name	Type	Optional	Default	Description
code	varchar(20)	False		**LADM Definition** - Code for party type
display_value	varchar(250)	False		**LADM Definition** - displayed value for party type
status	char(1)	False	't'	**SOLA Extension** party type status
description	varchar(555)	True		**LADM Definition** - description of party type

Constraints

Name	Type	Explanation
party_type_display_value_unique	UNIQUE	Combination of (display_value) is unique
party_type_pkey	PRIMARY KEY	Combination of (code) is the primary key

Relationships (to)

Name	Information	Description
party_type_code_fk2	**From columns**: type_code **From Entity**: party **From cardinality**: 0..* **To Cardinality**: 1	LADM relationship - no refinement

Data

Nr	code	display_value	status	description
1	naturalPerson	Natural Person::::Persona Naturale	c	
2	nonNaturalPerson	Non-natural Person::::Persona Giuridica	c	
3	baunit	Basic Administrative Unit::::Unita Amministrativa di Base	c	
4	group	Group::::Gruppo		

communication_type

Reference Table / Code list for the different means of communication (from land office to their clients)

LADM Reference Object
FLOSS SOLA Extension

LADM Definition
Not Applicable

Columns

Name	Type	Optional	Default	Description
code	varchar(20)	False		**SOLA Extension** - Communication type code
display_value	varchar(250)	False		**SOLA Extension** - Display value for the communication type
status	char(1)	False	't'	**SOLA Extension** - Status of the communication type
description	varchar(555)	True		**SOLA Extension** - Description of the communication type

Constraints

Name	Type	Explanation
communication_type_display_value_unique	UNIQUE	Combination of (display_value) is unique
communication_type_pkey	PRIMARY KEY	Combination of (code) is the primary key

Relationships (to)

Name	Information	Description
party_preferred_communication_code_fk38	**From columns**: preferred_communication_code **From Entity**: party **From cardinality**: 0..* **To Cardinality**: 0..1	FLOSS SOLA relationship - no refinement

Data

Nr	code	display_value	status	description
1	eMail	e-Mail:::E-mail	c	
2	fax	Fax:::Fax	c	
3	post	Post:::Posta	c	
4	phone	Phone:::Telefono	c	
5	courier	Courier:::Corriere	c	

id_type

Reference Table / Code list for the types of the documents that can be used to identify a party.

LADM Reference Object
FLOSS SOLA Extension

LADM Definition
Not Applicable

Columns

Name	Type	Optional	Default	Description
code	varchar(20)	False		**SOLA Extension** - identifier for the type of person ID
display_value	varchar(250)	False		**SOLA Extension** - displayed value of type of personal ID
status	char(1)	False	't'	**SOLA Extension** - (personal) ID type status
description	varchar(555)	True		**SOLA Extension** - description of personal ID type

Constraints

Name	Type	Explanation
id_type_display_value_unique	UNIQUE	Combination of (display_value) is unique
id_type_pkey	PRIMARY KEY	Combination of (code) is the primary key

Relationships (to)

Name	Information	Description
party_id_type_code_fk42	**From columns**: id_type_code **From Entity**: party **From cardinality**: 0..* **To Cardinality**: 0..1	FLOSS SOLA relationship - no refinement

Data

Nr	code	display_value	status	description
1	nationalID	National ID::::Carta Identita Nazionale	c	The main person ID that exists in the country::::Il principale documento identificativo nel paese
2	nationalPassport	National Passport::::Passaporto Nazionale	c	A passport issued by the country::::Passaporto fornito dal paese
3	otherPassport	Other Passport::::Altro Passaporto	c	A passport issued by another country::::Passaporto Fornito da un altro paese

gender_type

The gender type list a party can have.

Columns

Name	Type	Optional	Default	Description
code	varchar(20)	False		**SOLA Extension** - code for party role type
display_value	varchar(250)	False		**SOLA Extension** - displayed value of party role type
status	char(1)	False	't'	**SOLA Extension** - Indication of party role type status
description	varchar(555)	True		**SOLA Extension** - description of party role type

Constraints

Name	Type	Explanation
gender_type_display_value_unique	UNIQUE	Combination of (display_value) is unique
gender_type_pkey	PRIMARY KEY	Combination of (code) is the primary key

Relationships (to)

Name	Information	Description
party_gender_code_fk95	**From columns**: gender_code **From Entity**: party **From cardinality**: 0..* **To Cardinality**: 0..1	

Data

Nr	code	display_value	status	description
1	male	Male	c	
2	female	Female	c	

group_party

Refer to LADM Definition

LADM Reference Object
LA_GroupParty

LADM Definition
Any number of parties, forming together a distinct entity, with each party identified

Columns

Name	Type	Optional	Default	Description
id	varchar(40)	False		LADM Description - Identifier of a group party
type_code	varchar(20)	False		LADM Description - The type of a group party

Constraints

Name	Type	Explanation
group_party_pkey	PRIMARY KEY	Combination of (id) is the primary key

Relationships (from)

Name	Information	Description
group_party_type_code_fk3	**From columns**: type_code **To Entity**: group_party_type **From cardinality**: 0..* **To Cardinality**: 1	LADM relationship - no refinement
group_party_id_fk10	**From columns**: id **To Entity**: party **From cardinality**: 1 **To Cardinality**: 1	LADM relationship - no refinement

Relationships (to)

Name	Information	Description
party_member_group_id_fk5	**From columns**: group_id **From Entity**: party_member **From cardinality**: 0..* **To Cardinality**: 1	LADM relationship - no refinement

group_party_type

Reference Table / Code list to identify different types of groups being a party to some form of land office transaction

LADM Reference Object
LA_

LADM Definition
Not Defined

Columns

Name	Type	Optional	Default	Description
code	varchar(20)	False		**LADM Definition** - Group type code/identifier
display_value	varchar(250)	False		**LADM Definition** - A value assigned for group party type
status	char(1)	False	't'	**SOLA Extension** - Indication of party group type status
description	varchar(555)	True		**LADM Definition** -A brief description of party type

Constraints

Name	Type	Explanation
group_party_type_display_value_unique	UNIQUE	Combination of (display_value) is unique
group_party_type_pkey	PRIMARY KEY	Combination of (code) is the primary key

Relationships (to)

Name	Information	Description
group_party_type_code_fk3	**From columns**: type_code **From Entity**: group_party **From cardinality**: 0..* **To Cardinality**: 1	LADM relationship - no refinement

Data

Nr	code	display_value	status	description
1	tribe	Tribe::::Tribu	x	
2	association	Association::::Associazione	c	
3	family	Family::::Famiglia	c	
4	baunitGroup	Basic Administrative Unit Group::::Unita Gruppo Amministrativo di Base	x	

party_member

Refer to LADM Definition

LADM Reference Object
LA_PartyMember

LADM Definition
A member belonging to a party.

Columns

Name	Type	Optional	Default	Description
party_id	varchar(40)	False		**LADM Definition** - The identifier of the party
group_id	varchar(40)	False		**LADM Definition** - The identifier of the party group
share	double precision	True		**LADM Definition** - the share of a right (restriction or responsibility) held by a party member expressed as a fraction with a numerator and denominator

Constraints

Name	Type	Explanation
party_member_pkey	PRIMARY KEY	Combination of (party_id,group_id) is the primary key

Relationships (from)

Name	Information	Description
party_member_party_id_fk4	**From columns**: party_id **To Entity**: party **From cardinality**: 0..* **To Cardinality**: 1	LADM relationship - no refinement
party_member_group_id_fk5	**From columns**: group_id **To Entity**: group_party **From cardinality**: 0..* **To Cardinality**: 1	LADM relationship - no refinement

party_role

Records the role(s) a party has in land office processes

LADM Reference Object
FLOSS SOLA Extension LA_Party.role

LADM Definition
The role of a party in the data update and maintenance process

Columns

Name	Type	Optional	Default	Description
party_id	varchar(40)	False		**LADM Definition** - The identifier of the party
type_code	varchar(20)	False		**SOLA Extension** - The code for role type

Constraints

Name	Type	Explanation
party_role_pkey	PRIMARY KEY	Combination of (party_id,type_code) is the primary key

Relationships (from)

Name	Information	Description
party_role_type_code_fk32	**From columns**: type_code **To Entity**: party_role_type **From cardinality**: 0..* **To Cardinality**: 1	FLOSS SOLA relationship - no refinement
party_role_party_id_fk33	**From columns**: party_id **To Entity**: party **From cardinality**: 0..* **To Cardinality**: 1	FLOSS SOLA relationship - no refinement

party_role_type

Reference Table / Code list of types of party roles

LADM Reference Object
LA_

LADM Definition
The role of the party in the data update and maintenance process;

Columns

Name	Type	Optional	Default	Description
code	varchar(20)	False		**SOLA Extension** - code for party role type
display_value	varchar(250)	False		**SOLA Extension** - displayed value of party role type
status	char(1)	False	't'	**SOLA Extension** - Indication of party role type status
description	varchar(555)	True		**SOLA Extension** - description of party role type

Constraints

Name	Type	Explanation
party_role_type_display_value_unique	UNIQUE	Combination of (display_value) is unique
party_role_type_pkey	PRIMARY KEY	Combination of (code) is the primary key

Relationships (to)

Name	Information	Description
party_role_type_code_fk32	**From columns**: type_code **From Entity**: party_role **From cardinality**: 0..* **To Cardinality**: 1	FLOSS SOLA relationship - no refinement

Data

Nr	code	display_value	status	description
1	conveyor	Conveyor::::Trasportatore	x	
2	notary	Notary::::Notaio	c	
3	writer	Writer::::Autore	x	
4	surveyor	Surveyor::::Perito	x	
5	certifiedSurveyor	Licenced Surveyor::::Perito con Licenza	c	
6	bank	Bank::::Banca	c	
7	moneyProvider	Money Provider::::Istituto Credito	c	
8	employee	Employee::::Impiegato	x	

9	farmer	Farmer::::Contadino	x	
10	citizen	Citizen::::Cittadino	c	
11	stateAdministrator	Registrar / Approving Surveyor::::Cancelleriere/ Perito Approvatore/	c	
12	landOfficer	Land Officer::::Ufficiale del Registro Territoriale	c	Extension to LADM
13	lodgingAgent	Lodging Agent::::Richiedente Registrazione	c	Extension to LADM
14	powerOfAttorney	Power of Attorney::::Procuratore	c	Extension to LADM
15	transferee	Transferee (to)::::Avente Causa	c	Extension to LADM
16	transferor	Transferor (from)::::Dante Causa	c	Extension to LADM
17	applicant	Applicant	c	Extension to LADM

address

address

Describes a postal or location address

LADM Reference Object
FLOSS SOLA Extension

LADM Definition
Not Applicable

Columns

Name	Type	Optional	Default	Description
id	varchar(40)	False		**SOLA Extension** - Address identifier
districtcode	varchar(20)	True		
vdc_code	varchar(20)	False		
ward_no	varchar(20)	True		
street	varchar(50)	True		
description	varchar(255)	True		**SOLA Extension** - Description of an address
ext_address_id	varchar(40)	True		**SOLA Extension** Identifier of an address referencing an external system.

Constraints

Name	Type	Explanation
address_pkey	PRIMARY KEY	Combination of (id) is the primary key

Relationships (from)

Name	Information	Description
address_vdc_code_fk144	**From columns**: vdc_code **To Entity**: vdc **From cardinality**: 0..* **To Cardinality**: 1	

Relationships (to)

Name	Information	Description
party_address_id_fk35	**From columns**: address_id **From Entity**: party **From cardinality**: 0..* **To Cardinality**: 0..1	FLOSS SOLA relationship - no refinement
spatial_unit_address_address_id_fk36	**From columns**: address_id **From Entity**: spatial_unit_address **From cardinality**: 0..* **To Cardinality**: 1	FLOSS SOLA relationship - no refinement

administrative

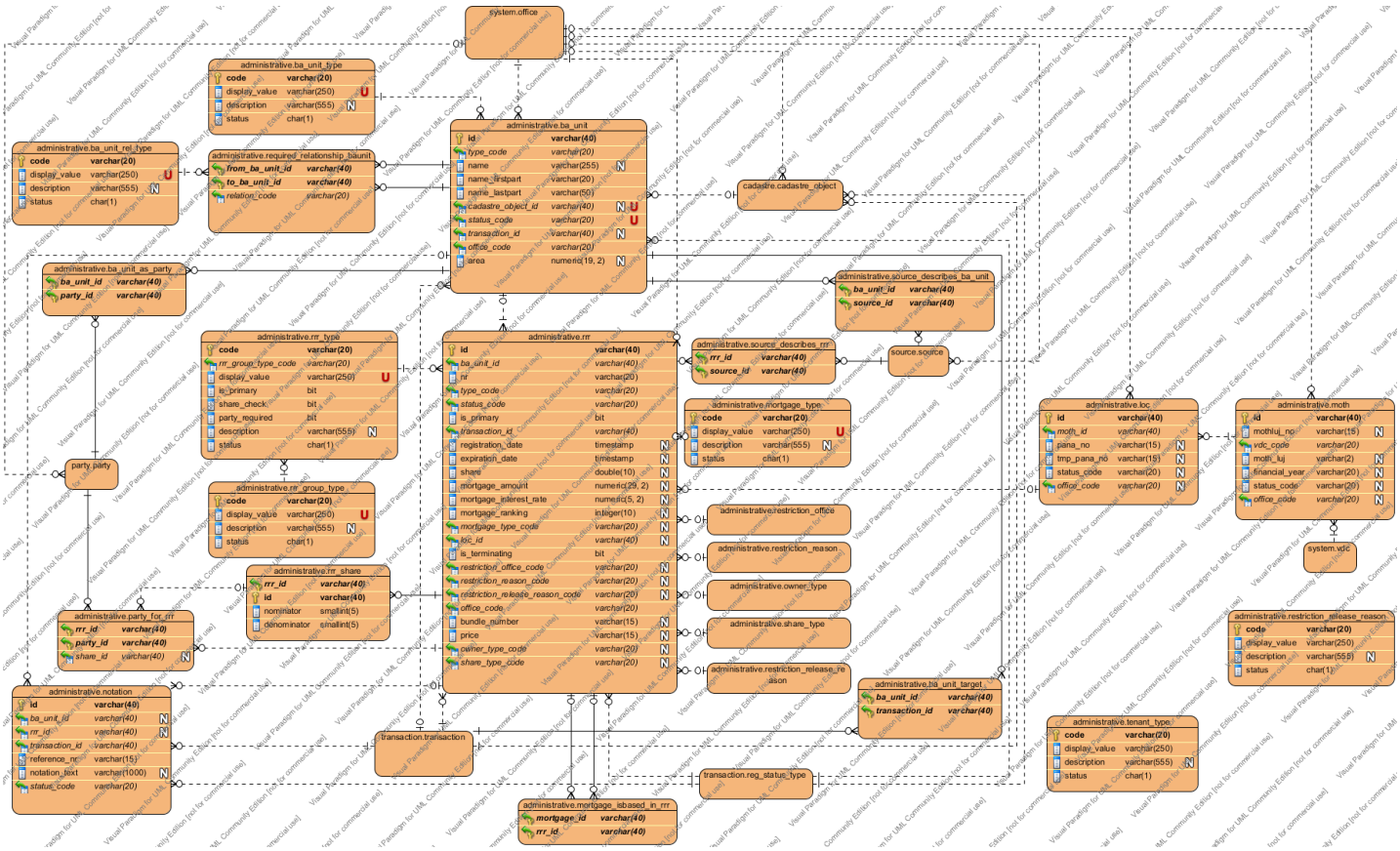

rrr_type

Reference Table / Code list of rrr typesLADM Reference Object LA_RightType, LA_RestrictionType &LA_ResponsibilityTypeLADM DefinitionThe type of right/restriction/responsibility

Columns

Name	Type	Optional	Default	Description
code	varchar(20)	False		**LADM Definition** - Code for responsibility and rights type code
rrr_group_type_code	varchar(20)	False		**LADM Definition** - Group restriction, responsibility and rights type code
display_value	varchar(250)	False		**LADM Definition** - displayed value of right (responsibility or restriction) type
is_primary	bool	False	false	
share_check	bool	False		**LADM Definition** - the check that totals all shares of a right (restriction or responsibility) to ensure they equal 1 (100%)
party_required	bool	False		**LADM Definition** - A flag to indicate that a party must related to this type of right (restriction or responsibility)
description	varchar(555)	True		**LADM Definition** - Description for restriction, responsibility and rights type

status	char(1)	False	't'	**SOLA Extension** - Status of restriction, responsibility and rights type

Constraints

Name	Type	Explanation
rrr_type_display_value_unique	UNIQUE	Combination of (display_value) is unique
rrr_type_pkey	PRIMARY KEY	Combination of (code) is the primary key

Relationships (from)

Name	Information	Description
rrr_type_rrr_group_type_code_fk8	**From columns**: rrr_group_type_code **To Entity**: rrr_group_type **From cardinality**: 0..* **To Cardinality**: 1	LADM relationship - no refinement

Relationships (to)

Name	Information	Description
rrr_type_code_fk9	**From columns**: type_code **From Entity**: rrr **From cardinality**: 0..* **To Cardinality**: 1	LADM relationship - no refinement
br_validation_target_rrr_type_code_fk63	**From columns**: target_rrr_type_code **From Entity**: br_validation **From cardinality**: 0..* **To Cardinality**: 0..1	
request_type_rrr_type_code_fk83	**From columns**: rrr_type_code **From Entity**: request_type **From cardinality**: 0..* **To Cardinality**: 0..1	

Data

Nr	code	rrr_group_type_code	display_value	is_primary
1	agriActivity	rights	Agriculture Activity::::Attivita Agricola	false
2	commonOwnership	ownership	Common Ownership::::Proprieta Comune	false
3	customaryType	rights	Customary Right::::Diritto Abituale	false
4	firewood	rights	Firewood Collection::::Collezione legna da ardere	false
5	fishing	rights	Fishing Right::::Diritto di Pesca	false
6	grazing	rights	Grazing Right::::Diritto di Pascolo	false
7	informalOccupation	rights	Informal Occupation::::Occupazione informale	false

8	lease	rights	Lease::::Affitto	false
9	occupation	rights	Occupation::::Occupazione	false
10	ownership	ownership	Ownership::::Proprieta	true
11	ownershipAssumed	rights	Ownership Assumed::::Proprieta Assunta	true
12	superficies	rights	Superficies::::Superficie	false
13	tenancy	rights	Tenancy::::Locazione	true
14	usufruct	rights	Usufruct::::Usufrutto	false
15	waterrights	rights	Water Right::::Servitu di Acqua	false
16	adminPublicServitude	restrictions	Administrative Public Servitude::::Servitu Amministrazione Pubblica	false
17	monument	restrictions	Monument::::Monumento	false
18	mortgage	restrictions	Mortgage::::Ipoteca	false
19	noBuilding	restrictions	Building Restriction::::Restrizione di Costruzione	false
20	servitude	restrictions	Servitude::::Servitu	false
21	monumentMaintenance	responsibilities	Monument Maintenance::::Mantenimento Monumenti	false
22	waterwayMaintenance	responsibilities	Waterway Maintenance::::Mantenimento Acqurdotti	false
23	lifeEstate	rights	Life Estate::::Patrimonio vita	true
24	apartment	ownership	Apartment Ownership::::Proprieta Appartamento	true
25	stateOwnership	ownership	State Ownership::::Proprieta di Stato	true
26	caveat	restrictions	Caveat::::Ammonizione	false
27	historicPreservation	restrictions	Historic Preservation::::Conservazione Storica	false
28	limitedAccess	restrictions	Limited Access (to Road)::::Accesso limitato (su strada)	false

Nr	share_check	party_required	description	status
1	true	true		x
2	true	true		x
3	true	true		x
4	true	true		x
5	true	true		x
6	true	true		x
7	false	false		x
8	true	true		c
9	true	true		c
10	true	true		c

11	true	true		x
12	true	true		x
13	true	true		c
14	true	true		c
15	true	true		c
16	true	true		x
17	true	true		x
18	true	true		c
19	false	false		c
20	false	false		c
21	false	false		x
22	false	false		x
23	true	true	Extension to LADM	x
24	true	true	Extension to LADM	c
25	false	false	Extension to LADM	c
26	true	true	Extension to LADM	c
27	false	false	Extension to LADM	c
28	false	false	Extension to LADM	c

rrr_group_type

Reference Table / Code list for different categories of LA_RRR

LADM Reference Object
LA_Responsibility, LA_Right, LA_Restriction as specialisations of LA_RR

LADM Definition
Not Defined

Columns

Name	Type	Optional	Default	Description
code	varchar(20)	False		**LADM Definition** - Identifier of group type of restriction, rights responsibility
display_value	varchar(250)	False		**LADM Definition** - the value to be displayed
description	varchar(555)	True		**LADM Definition** - description of group type of restriction, rights responsibility
status	char(1)	False		**SOLA Extension** Status of group type of restriction, rights responsibility

Constraints

Name	Type	Explanation
rrr_group_type_display_value_unique	UNIQUE	Combination of (display_value) is unique
rrr_group_type_pkey	PRIMARY KEY	Combination of (code) is the primary key

Relationships (to)

Name	Information	Description
rrr_type_rrr_group_type_code_fk8	**From columns**: rrr_group_type_code **From Entity**: rrr_type **From cardinality**: 0..* **To Cardinality**: 1	LADM relationship - no refinement

Data

Nr	code	display_value	description	status
1	rights	Rights::::Diritti		c
2	restrictions	Restrictions::::Restrizioni		c
3	responsibilities	Responsibilities::::Responsabilita		x
4	ownership	Ownership::::Ownership		c

ba_unit

Refer to LADM DefinitionLADM Reference Object LA_BAUnitLADM DefinitionBasic administrative units (abbreviated as baunits), are needed, among other things, to register ‘basic property units’, which consist of several spatial units, belonging to a party, under the same right (a right must be 'homogeneous' over the whole baunit)..

Columns

Name	Type	Optional	Default	Description
id	varchar(40)	False		**LADM Definition** - The identifier of the basic administrative unit
type_code	varchar(20)	False		**LADM Definition** - The type of the basic administrative unit
name	varchar(255)	True		**LADM Definition** - The name of the basic administrative unit
name_firstpart	varchar(20)	False		**LADM Definition** - It is the part of the identifier of the property. Together with the name_lastpart is supposed to uniquely identify the property.This constraint it is not enforced, because there will be cases when it is not unique. Combination of name_firstpart and name_lastpart must derive the value of ba_unit.
name_lastpart	varchar(50)	False		**LADM Definition** - It is the last part of the identifier of the property. Together with the name_firstpart is supposed to uniquely identify the property.This constraint it is not enforced, because there will be cases when it is not unique. Combination of name_firstpart and name_lastpart must derive the value of ba_unit.
cadastre_object_id	varchar(40)	True		Introduced in Nepal project. Direct reference on the cadastre object.
status_code	varchar(20)	False	'pending'	The status of the ba unit.
transaction_id	varchar(40)	True		Transaction which creates the baunit.
office_code	varchar(20)	False		Introduced in Nepal project. The code of office, where the object was created
area	numeric(19, 2)	True		Introduced in Nepal project. Property area

Constraints

Name	Type	Explanation
ba_unit_unique_cadastre_object	UNIQUE	Combination of (cadastre_object_id, status_code) is unique
ba_unit_pkey	PRIMARY KEY	Combination of (id) is the primary key

Relationships (from)

Name	Information	Description

ba_unit_type_code_fk6	**From columns**: type_code **To Entity**: ba_unit_type **From cardinality**: 0..* **To Cardinality**: 1	LADM relationship - no refinement
ba_unit_status_code_fk67	**From columns**: status_code **To Entity**: reg_status_type **From cardinality**: 0..* **To Cardinality**: 1	
ba_unit_transaction_id_fk87	**From columns**: transaction_id **To Entity**: transaction **From cardinality**: 0..* **To Cardinality**: 0..1	
ba_unit_office_code_fk135	**From columns**: office_code **To Entity**: office **From cardinality**: 0..* **To Cardinality**: 1	
ba_unit_cadastre_object_id_fk150	**From columns**: cadastre_object_id **To Entity**: cadastre_object **From cardinality**: 0..* **To Cardinality**: 0..1	

Relationships (to)

Name	Information	Description
rrr_ba_unit_id_fk7	**From columns**: ba_unit_id **From Entity**: rrr **From cardinality**: 1..* **To Cardinality**: 0..1	LADM Definition - no refinement
source_describes_ba_unit_ba_unit_id_fk13	**From columns**: ba_unit_id **From Entity**: source_describes_ba_unit **From cardinality**: 0..* **To Cardinality**: 1	LADM relationship - no refinement
required_relationship_baunit_from_ba_unit_id_fk14	**From columns**: from_ba_unit_id **From Entity**: required_relationship_baunit **From cardinality**: 0..* **To Cardinality**: 1	LADM relationship - no refinement
required_relationship_baunit_to_ba_unit_id_fk15	**From columns**: to_ba_unit_id **From Entity**: required_relationship_baunit **From cardinality**: 0..* **To Cardinality**: 1	LADM relationship - no refinement
application_property_ba_unit_id_fk48	**From columns**: ba_unit_id **From Entity**: application_property **From cardinality**: 0..* **To Cardinality**: 0..1	SOLA Extension relationship - no refinement
ba_unit_as_party_ba_unit_id_fk57	**From columns**: ba_unit_id **From Entity**: ba_unit_as_party **From cardinality**: 0..* **To Cardinality**: 1	

notation_ba_unit_id_fk75	**From columns**: ba_unit_id **From Entity**: notation **From cardinality**: 0..* **To Cardinality**: 0..1	
ba_unit_target_ba_unit_id_fk113	**From columns**: ba_unit_id **From Entity**: ba_unit_target **From cardinality**: 0..* **To Cardinality**: 1	

ba_unit_type

Reference Table / Code list for types of BA Units

LADM Reference Object
LA_BAUnitType

LADM Definition
Not Defined

Columns

Name	Type	Optional	Default	Description
code	varchar(20)	False		**LADM Definition** Basic unit type code
display_value	varchar(250)	False		**LADM Definition** Display value for the basic unit type
description	varchar(555)	True		**LADM Definition** Description of the unit type
status	char(1)	False	't'	**SOLA Extension** Status of the basic unit type

Constraints

Name	Type	Explanation
ba_unit_type_display_value_unique	UNIQUE	Combination of (display_value) is unique
ba_unit_type_pkey	PRIMARY KEY	Combination of (code) is the primary key

Relationships (to)

Name	Information	Description
ba_unit_type_code_fk6	**From columns**: type_code **From Entity**: ba_unit **From cardinality**: 0..* **To Cardinality**: 1	LADM relationship - no refinement

Data

Nr	code	display_value	description	status
1	basicPropertyUnit	Basic Property Unit::::Unita base Proprieta		c
2	leasedUnit	Leased Unit::::Unita Affitto		x
3	propertyRightUnit	Property Right Unit::::Unita Diritto Proprieta		x
4	administrativeUnit	Administrative Unit::::Unita Amministrativa	Extension to LADM	c
5	basicParcel	Basic Parcel::::Particella Base	Extension to LADM	c

rrr

Refer to LADM DefinitionLADM Reference Object LA_RRRLADM DefinitionA right, restriction or responsibility.

Columns

Name	Type	Optional	Default	Description
id	varchar(40)	False		**LADM Definition** - Identifier for the right, responsibility and restrictions
ba_unit_id	varchar(40)	False		**LADM Definition** - basic administrative unit identifier
nr	varchar(20)	False		This is a unique number of rrr within a baunit to identify it in baunit.
type_code	varchar(20)	False		**LADM Definition** - code for type of right, responsibility restriction
status_code	varchar(20)	False	'pending'	The status of the rrr.
is_primary	bool	False	false	It marks the rrr as being primary. Only one rrr can be primary for one BaUnit.
transaction_id	varchar(40)	False		The transaction that borught changes to the rrr.
registration_date	timestamp	True		This is the registration date of the rrr. It takes the value from the approval date.
expiration_date	timestamp	True		**LADM Definition** - the dates defining when the rrr remains in force LADM Reference Object - rrr.timespec
share	double precision	True		Actually, SOLA is defining shares in a seperate table. So within one rrr we can have multiple shares instead of multiple rrr of the same type within a baunit as LADM proposes. **LADM Definition** - share of a right, (restriction or responsibility) expressed as a fraction with numerator and denominator
mortgage_amount	numeric(29, 2)	True		**LADM Definition** The amount of money of the mortgage
mortgage_interest_rate	numeric(5, 2)	True		**LADM Definition** Interest rate of the mortgage (percentage)
mortgage_ranking	integer	True		**LADM Definition** The ranking order if more than one mortgage applies to a right
mortgage_type_code	varchar(20)	True		
loc_id	varchar(40)	True		Introduced in Nepal project. Reference to land ownership certificate
is_terminating	bool	False	false	Introduced in Nepal project. If the value is true, then historic status will be assigned upon approval.
restriction_office_code	varchar(20)	True		Introduced in Nepal project. References an office (organization) imposed the restriction.
restriction_reason_code	varchar(20)	True		Introduced in Nepal project. Restriction reason code.
restriction_release_reason_code	varchar(20)	True		Introduced in Nepal project. References restriction release reason.
office_code	varchar(20)	False		

bundle_number	varchar(15)	True		Introduced in Nepal project. Used to reference papre book, which keeps records on restricted parcels.
price	varchar(15)	True		Introduced in Nepal project. Paid price for restriction registration.
owner_type_code	varchar(20)	True		Introduced in Nepal project. Type of owner.
share_type_code	varchar(20)	True		Introduced in Nepal project. Type of the share.

Constraints

Name	Type	Explanation
rrr_pkey	PRIMARY KEY	Combination of (id) is the primary key

Relationships (from)

Name	Information	Description
rrr_ba_unit_id_fk7	**From columns**: ba_unit_id **To Entity**: ba_unit **From cardinality**: 1..* **To Cardinality**: 0..1	LADM Definition - no refinement
rrr_type_code_fk9	**From columns**: type_code **To Entity**: rrr_type **From cardinality**: 0..* **To Cardinality**: 1	LADM relationship - no refinement
rrr_status_code_fk66	**From columns**: status_code **To Entity**: reg_status_type **From cardinality**: 0..* **To Cardinality**: 1	
rrr_mortgage_type_code_fk85	**From columns**: mortgage_type_code **To Entity**: mortgage_type **From cardinality**: 0..* **To Cardinality**: 0..1	
rrr_transaction_id_fk86	**From columns**: transaction_id **To Entity**: transaction **From cardinality**: 0..* **To Cardinality**: 1	
rrr_loc_id_fk151	**From columns**: loc_id **To Entity**: loc **From cardinality**: 0..* **To Cardinality**: 0..1	
rrr_restriction_office_code_fk152	**From columns**: restriction_office_code **To Entity**: restriction_office **From cardinality**: 0..* **To Cardinality**: 0..1	
rrr_restriction_reason_code_fk153	**From columns**: restriction_reason_code **To Entity**: restriction_reason **From cardinality**: 0..* **To Cardinality**: 0..1	

rrr_office_code_fk154	**From columns**: office_code **To Entity**: office **From cardinality**: 0..* **To Cardinality**: 1	
rrr_owner_type_code_fk155	**From columns**: owner_type_code **To Entity**: owner_type **From cardinality**: 0..* **To Cardinality**: 0..1	
rrr_share_type_code_fk156	**From columns**: share_type_code **To Entity**: share_type **From cardinality**: 0..* **To Cardinality**: 0..1	
rrr_restriction_release_reason_code_fk160	**From columns**: restriction_release_reason_code **To Entity**: restriction_release_reason **From cardinality**: 0..* **To Cardinality**: 0..1	

Relationships (to)

Name	Information	Description
source_describes_rrr_rrr_id_fk12	**From columns**: rrr_id **From Entity**: source_describes_rrr **From cardinality**: 0..* **To Cardinality**: 1	SOLA Extension relationship - no refinement
mortgage_isbased_in_rrr_rrr_id_fk64	**From columns**: rrr_id **From Entity**: mortgage_isbased_in_rrr **From cardinality**: 0..* **To Cardinality**: 0..1	
mortgage_isbased_in_rrr_mortgage_id_fk65	**From columns**: mortgage_id **From Entity**: mortgage_isbased_in_rrr **From cardinality**: 0..* **To Cardinality**: 0..1	
rrr_share_rrr_id_fk76	**From columns**: rrr_id **From Entity**: rrr_share **From cardinality**: 0..* **To Cardinality**: 1	
party_for_rrr_rrr_id_fk88	**From columns**: rrr_id **From Entity**: party_for_rrr **From cardinality**: 0..* **To Cardinality**: 1	
notation_rrr_id_fk89	**From columns**: rrr_id **From Entity**: notation **From cardinality**: 0..* **To Cardinality**: 0..1	

mortgage_type

Reference Table / Code list for types of mortgage

LADM Reference Object
LA_

LADM Definition
Not Defined

Columns

Name	Type	Optional	Default	Description
code	varchar(20)	False		**LADM Definition** Type of mortgage code
display_value	varchar(250)	False		**LADM Definition** display value of mortgage type
description	varchar(555)	True		**LADM Definition** Description of type of mortgage
status	char(1)	False		**SOLA Extension** Status of mortgage type

Constraints

Name	Type	Explanation
mortgage_type_display_value_unique	UNIQUE	Combination of (display_value) is unique
mortgage_type_pkey	PRIMARY KEY	Combination of (code) is the primary key

Relationships (to)

Name	Information	Description
rrr_mortgage_type_code_fk85	**From columns**: mortgage_type_code **From Entity**: rrr **From cardinality**: 0..* **To Cardinality**: 0..1	

Data

Nr	code	display_value	description	status
1	levelPayment	Level Payment::::Livello Pagamento		c
2	linear	Linear::::Lineare		c
3	microCredit	Micro Credit::::Micro Credito		c

loc

Introduced in Nepal project.List of Moth book pages, referenced to as a land ownership certificate.

Columns

Name	Type	Optional	Default	Description
id	varchar(40)	False	uuid_generate_v1()	Land Ownership Certificate number
moth_id	varchar(40)	False		Moth book ID
pana_no	varchar(15)	True		Page Number
tmp_pana_no	varchar(15)	True		Temporary page Number
status_code	varchar(20)	True		
office_code	varchar(20)	True		

Constraints

Name	Type	Explanation
loc_pkey	PRIMARY KEY	Combination of (id) is the primary key

Relationships (from)

Name	Information	Description
loc_moth_id_fk122	**From columns**: moth_id **To Entity**: moth **From cardinality**: 0..* **To Cardinality**: 1	
loc_office_code_fk141	**From columns**: office_code **To Entity**: office **From cardinality**: 0..* **To Cardinality**: 0..1	

Relationships (to)

Name	Information	Description
rrr_loc_id_fk151	**From columns**: loc_id **From Entity**: rrr **From cardinality**: 0..* **To Cardinality**: 0..1	

moth

Introduced in Nepal project.List of paper Moth book references.

Columns

Name	Type	Optional	Default	Description
id	varchar(40)	False	uuid_generate_v1()	Moth book unique ID
mothluj_no	varchar(15)	True		Not binded Moth book number
vdc_code	varchar(20)	False		Village Development committee ID
moth_luj	varchar(2)	True		
financial_year	varchar(20)	True		
status_code	varchar(20)	True		
office_code	varchar(20)	True		

Constraints

Name	Type	Explanation
moth_pkey	PRIMARY KEY	Combination of (id) is the primary key

Relationships (from)

Name	Information	Description
moth_vdc_code_fk128	**From columns**: vdc_code **To Entity**: vdc **From cardinality**: 0..* **To Cardinality**: 1	
moth_office_code_fk140	**From columns**: office_code **To Entity**: office **From cardinality**: 0..* **To Cardinality**: 0..1	

Relationships (to)

Name	Information	Description
loc_moth_id_fk122	**From columns**: moth_id **From Entity**: loc **From cardinality**: 0..* **To Cardinality**: 1	

restriction_office

Introduced in Nepal project.List of organizations, who can impose restrictions.

Columns

Name	Type	Optional	Default	Description
code	varchar(20)	False		
display_value	varchar(250)	False		
description	varchar(555)	True		
status	char(1)	False		

Constraints

Name	Type	Explanation
restriction_office_pkey	PRIMARY KEY	Combination of (code) is the primary key

Relationships (to)

Name	Information	Description
rrr_restriction_office_code_fk152	**From columns**: restriction_office_code **From Entity**: rrr **From cardinality**: 0..* **To Cardinality**: 0..1	

Data

Nr	code	display_value	description	status
1	1	Household and Development		c
2	2	Development Credit Bank		c
3	3	Ramesh Kumar Sainju		c

restriction_reason

Introduced in Nepal project.Contains templates for restriction reasons.

Columns

Name	Type	Optional	Default	Description
code	varchar(20)	False		
display_value	varchar(250)	False		
description	varchar(555)	True		
status	char(1)	False		

Constraints

Name	Type	Explanation
restriction_reason_pkey	PRIMARY KEY	Combination of (code) is the primary key

Relationships (to)

Name	Information	Description
rrr_restriction_reason_code_fk153	**From columns**: restriction_reason_code **From Entity**: rrr **From cardinality**: 0..* **To Cardinality**: 0..1	

Data

Nr	code	display_value	description	status
1	1	Legal Case		c
2	2	Acquisition		c
3	3	Land Ceiling		c
4	4	Financial Transaction		c

owner_type

Introduced in Nepal project.List of owner types

Columns

Name	Type	Optional	Default	Description
code	varchar(20)	False		
display_value	varchar(250)	False		
description	varchar(555)	True		
status	char(1)	False		

Constraints

Name	Type	Explanation
owner_type_pkey	PRIMARY KEY	Combination of (code) is the primary key

Relationships (to)

Name	Information	Description
rrr_owner_type_code_fk155	**From columns**: owner_type_code **From Entity**: rrr **From cardinality**: 0..* **To Cardinality**: 0..1	

share_type

Introduced in Nepal project.List of share types

Columns

Name	Type	Optional	Default	Description
code	varchar(20)	False		
display_value	varchar(250)	False		
description	varchar(555)	True		
status	char(1)	False		

Constraints

Name	Type	Explanation
share_type_pkey	PRIMARY KEY	Combination of (code) is the primary key

Relationships (to)

Name	Information	Description
rrr_share_type_code_fk156	**From columns**: share_type_code **From Entity**: rrr **From cardinality**: 0..* **To Cardinality**: 0..1	

restriction_release_reason

Introduced in Nepal project.Contains templates for restriction release reasons.

Columns

Name	Type	Optional	Default	Description
code	varchar(20)	False		
display_value	varchar(250)	False		
description	varchar(555)	True		
status	char(1)	False		

Constraints

Name	Type	Explanation
restriction_release_reason_pkey	PRIMARY KEY	Combination of (code) is the primary key

Relationships (to)

Name	Information	Description
rrr_restriction_release_reason_code_fk160	**From columns**: restriction_release_reason_code **From Entity**: rrr **From cardinality**: 0..* **To Cardinality**: 0..1	

Data

Nr	code	display_value	description	status
1	1	Court Order		c
2	2	Office Decision		c
3	3	Release Letter		c

mortgage_isbased_in_rrr

This is left in the data model but is not implemented, because the right that is basis for the mortgage can be implied by the primary right for ba_unit.LADM Reference Object LA_Mortgage - LA_Right RelationshipLADM DefinitionIdentifies the right that is the basis for a mortgage.

Columns

Name	Type	Optional	Default	Description
mortgage_id	varchar(40)	False		
rrr_id	varchar(40)	False		**LADM Definition** - Identifier for the right, responsibility and restrictions

Constraints

Name	Type	Explanation
mortgage_isbased_in_rrr_pkey	PRIMARY KEY	Combination of (mortgage_id,rrr_id) is the primary key

Relationships (from)

Name	Information	Description
mortgage_isbased_in_rrr_rrr_id_fk64	**From columns**: rrr_id **To Entity**: rrr **From cardinality**: 0..* **To Cardinality**: 0..1	
mortgage_isbased_in_rrr_mortgage_id_fk63	**From columns**: mortgage_id **To Entity**: rrr **From cardinality**: 0..* **To Cardinality**: 0..1	

source_describes_rrr

Implements the many-to-many relationship identifying administrative source instances with rrr instances

LADM Reference Object
Relationship LA_AdministrativeSource - LA_RRR

LADM Definition
Not Defined

Columns

Name	Type	Optional	Default	Description
rrr_id	varchar(40)	False		**LADM Definition** - Identifier for the right, responsibility and restrictions
source_id	varchar(40)	False		

Constraints

Name	Type	Explanation
source_describes_rrr_pkey	PRIMARY KEY	Combination of (rrr_id,source_id) is the primary key

Relationships (from)

Name	Information	Description
source_describes_rrr_rrr_id_fk12	**From columns**: rrr_id **To Entity**: rrr **From cardinality**: 0..* **To Cardinality**: 1	SOLA Extension relationship - no refinement
source_describes_rrr_source_id_fk80	**From columns**: source_id **To Entity**: source **From cardinality**: 0..* **To Cardinality**: 1	

source_describes_ba_unit

Implements the many-to-many relationship identifying administrative source instances with ba_unit instances

LADM Reference Object
Relationship LA_AdministrativeSource - LA_BAUnit

LADM Definition
Not Defined

Columns

Name	Type	Optional	Default	Description
ba_unit_id	varchar(40)	False		**LADM Definition** Basic unit identifier
source_id	varchar(40)	False		In Sola the source is referenced instead of the Administrative source. **LADM Definition** Administrative source identifier

Constraints

Name	Type	Explanation
source_describes_ba_unit_pkey	PRIMARY KEY	Combination of (ba_unit_id,source_id) is the primary key

Relationships (from)

Name	Information	Description
source_describes_ba_unit_ba_unit_id_fk13	**From columns**: ba_unit_id **To Entity**: ba_unit **From cardinality**: 0..* **To Cardinality**: 1	LADM relationship - no refinement
source_describes_ba_unit_source_id_fk72	**From columns**: source_id **To Entity**: source **From cardinality**: 0..* **To Cardinality**: 1	

required_relationship_baunit

Refer to LADM Definition

LADM Reference Object
LA_RequiredRelationshipBAUnit

LADM Definition
A required relationship between basic administrative units.

Columns

Name	Type	Optional	Default	Description
from_ba_unit_id	varchar(40)	False		**LADM Definition** -The identifier of the originating basic administrative unit
to_ba_unit_id	varchar(40)	False		**LADM Definition** -The identifier of the target basic administrative unit
relation_code	varchar(20)	False		The relationship between the basic administrative units. It exists in LADM as a open text. It is decided to make it a codelist to be used also in business rules. **LADM Definition** LADM Reference Object Relationship

Constraints

Name	Type	Explanation
required_relationship_baunit_pkey	PRIMARY KEY	Combination of (from_ba_unit_id,to_ba_unit_id) is the primary key

Relationships (from)

Name	Information	Description
required_relationship_baunit_from_ba_unit_id_fk14	**From columns**: from_ba_unit_id **To Entity**: ba_unit **From cardinality**: 0..* **To Cardinality**: 1	LADM relationship - no refinement
required_relationship_baunit_to_ba_unit_id_fk15	**From columns**: to_ba_unit_id **To Entity**: ba_unit **From cardinality**: 0..* **To Cardinality**: 1	LADM relationship - no refinement
required_relationship_baunit_relation_code_fk73	**From columns**: relation_code **To Entity**: ba_unit_rel_type **From cardinality**: 0..* **To Cardinality**: 1	

ba_unit_rel_type

The types of relation two ba_units can have between each other.

Columns

Name	Type	Optional	Default	Description
code	varchar(20)	False		The code
display_value	varchar(250)	False		The value that will be displayed to the user
description	varchar(555)	True		Description
status	char(1)	False		The status of this code itself.

Constraints

Name	Type	Explanation
ba_unit_rel_type_display_value_unique	UNIQUE	Combination of (display_value) is unique
ba_unit_rel_type_pkey	PRIMARY KEY	Combination of (code) is the primary key

Relationships (to)

Name	Information	Description
required_relationship_baunit_relation_code_fk73	**From columns**: relation_code **From Entity**: required_relationship_baunit **From cardinality**: 0..* **To Cardinality**: 1	

ba_unit_as_party

LADM DefinitionLA_BAUnit is associated to class LA_Party (a party may be an basic administrative unit, indicated by the attribute ‘partyType’).LADM Reference ObjectAssociation baunitAsParty

Columns

Name	Type	Optional	Default	Description
ba_unit_id	varchar(40)	False		The id of ba_unit
party_id	varchar(40)	False		The id of the party

Constraints

Name	Type	Explanation
ba_unit_as_party_pkey	PRIMARY KEY	Combination of (ba_unit_id,party_id) is the primary key

Relationships (from)

Name	Information	Description
ba_unit_as_party_party_id_fk56	**From columns**: party_id **To Entity**: party **From cardinality**: 0..* **To Cardinality**: 1	
ba_unit_as_party_ba_unit_id_fk57	**From columns**: ba_unit_id **To Entity**: ba_unit **From cardinality**: 0..* **To Cardinality**: 1	

notation

All notations related with a baunit are maintained here. Every notation gets a reference number and it is always associated with a transaction.

Columns

Name	Type	Optional	Default	Description
id	varchar(40)	False		Meaningless id.
ba_unit_id	varchar(40)	True		If the notation is only related to baunit the baunit id is given.
rrr_id	varchar(40)	True		
transaction_id	varchar(40)	False		The transaction id which brought the notation.
reference_nr	varchar(15)	False		A reference number for the notation
notation_text	varchar(1000)	True		The notation text. This text is defined by a template which is to be found in request_type. The link is established by the fact that a notation comes from a transaction which optionally can be initiated by a service which is of a certain request_type.
status_code	varchar(20)	False	'pending'	The status of the notation.

Constraints

Name	Type	Explanation
notation_pkey	PRIMARY KEY	Combination of (id) is the primary key

Relationships (from)

Name	Information	Description
notation_status_code_fk74	**From columns**: status_code **To Entity**: reg_status_type **From cardinality**: 0..* **To Cardinality**: 1	
notation_ba_unit_id_fk75	**From columns**: ba_unit_id **To Entity**: ba_unit **From cardinality**: 0..* **To Cardinality**: 0..1	
notation_transaction_id_fk79	**From columns**: transaction_id **To Entity**: transaction **From cardinality**: 0..* **To Cardinality**: 1	
notation_rrr_id_fk89	**From columns**: rrr_id **To Entity**: rrr **From cardinality**: 0..* **To Cardinality**: 0..1	

rrr_share

If parties are involved in an rrr then they partecipate in shares. There is at least one share for each rrr.LADM Reference Object LA_RRR.share

Columns

Name	Type	Optional	Default	Description
rrr_id	varchar(40)	False		Rrr where the share belongs to.
id	varchar(40)	False		Id of the share within a RRR.
nominator	smallint	False		Nominator / Denominator define the share.
denominator	smallint	False		Nominator / Denominator define the share.

Constraints

Name	Type	Explanation
rrr_share_pkey	PRIMARY KEY	Combination of (rrr_id,id) is the primary key

Relationships (from)

Name	Information	Description
rrr_share_rrr_id_fk76	**From columns**: rrr_id **To Entity**: rrr **From cardinality**: 0..* **To Cardinality**: 1	

Relationships (to)

Name	Information	Description
party_for_rrr_rrr_id_fk77	**From columns**: rrr_id,share_id **From Entity**: party_for_rrr **From cardinality**: 0..* **To Cardinality**: 0..1	

party_for_rrr

There may be parties involved in an RRR. Parties can be involved also in Shares.

Columns

Name	Type	Optional	Default	Description
rrr_id	varchar(40)	False		Rrr where party belongs to.
party_id	varchar(40)	False		Id of the party.
share_id	varchar(40)	True		The share where the party belongs to.

Constraints

Name	Type	Explanation
party_for_rrr_pkey	PRIMARY KEY	Combination of (rrr_id,party_id) is the primary key

Relationships (from)

Name	Information	Description
party_for_rrr_rrr_id_fk77	**From columns**: rrr_id,share_id **To Entity**: rrr_share **From cardinality**: 0..* **To Cardinality**: 0..1	
party_for_rrr_party_id_fk81	**From columns**: party_id **To Entity**: party **From cardinality**: 0..* **To Cardinality**: 1	
party_for_rrr_rrr_id_fk88	**From columns**: rrr_id **To Entity**: rrr **From cardinality**: 0..* **To Cardinality**: 1	

ba_unit_target

This table holds information about which ba units are being targets of a transaction. It is used when a ba unit is marked for cancellation.

Columns

Name	Type	Optional	Default	Description
ba_unit_id	varchar(40)	False		Id of the ba unit being target.
transaction_id	varchar(40)	False		Id of the transaction that targes the ba unit.

Constraints

Name	Type	Explanation
ba_unit_target_pkey	PRIMARY KEY	Combination of (ba_unit_id,transaction_id) is the primary key

Relationships (from)

Name	Information	Description
ba_unit_target_ba_unit_id_fk113	**From columns**: ba_unit_id **To Entity**: ba_unit **From cardinality**: 0..* **To Cardinality**: 1	
ba_unit_target_transaction_id_fk114	**From columns**: transaction_id **To Entity**: transaction **From cardinality**: 0..* **To Cardinality**: 1	

tenant_type

Introduced in Nepal project.List of tenant types

Columns

Name	Type	Optional	Default	Description
code	varchar(20)	False		
display_value	varchar(250)	False		
description	varchar(555)	True		
status	char(1)	False		

Constraints

Name	Type	Explanation
tenant_type_pkey	PRIMARY KEY	Combination of (code) is the primary key

cadastre

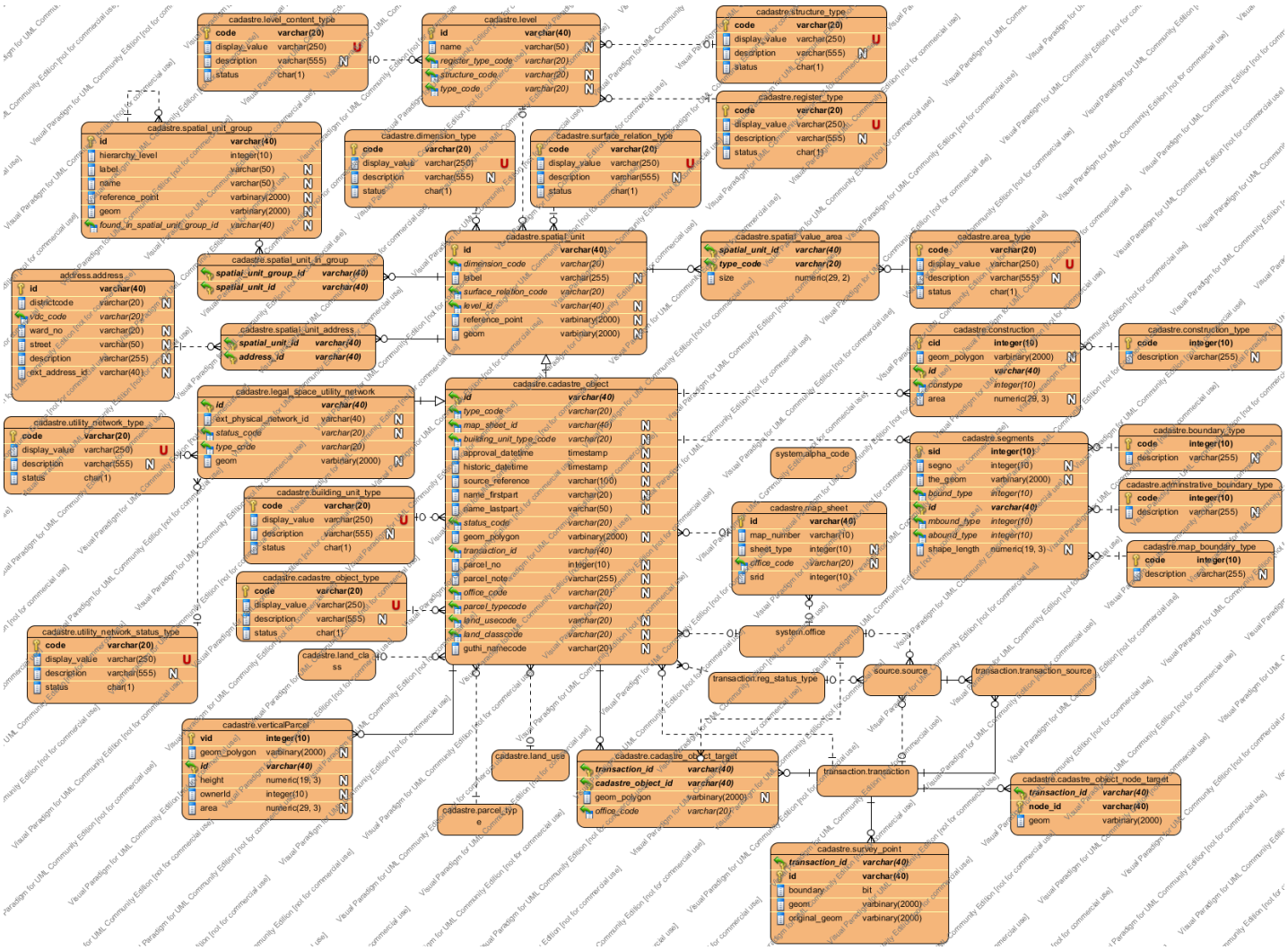

cadastre_object

Columns

Name	Type	Optional	Default	Description
id	varchar(40)	False		
type_code	varchar(20)	False	'parcel'	SOLA Extention - It defines the type of the spatial unit.
map_sheet_id	varchar(40)	True		
building_unit_type_code	varchar(20)	True		
approval_datetime	timestamp	True		**SOLA Extension** - Approval datetime of the spatial unit change.
historic_datetime	timestamp	True		**SOLA Extension** - Datetime when the spatial unit is superseded and has status of historic.
source_reference	varchar(100)	True		This is a temporary solution. It is an identifier

name_firstpart	varchar(20)	True		**SOLA Extension** - First part of the parcel identifier. First part in combination with last part are supposed to identify uniquely the parcel.
name_lastpart	varchar(50)	True		**SOLA Extension** - Last part of the parcel identifier. First part in combination with last part are supposed to identify uniquely the parcel.
status_code	varchar(20)	False	'pending'	**SOLA Extension** - It is the status of the spatial_unit which defines if it is pending or approved.
geom_polygon	GEOMETRY	True		**SOLA Extension** - The polygon geometry
transaction_id	varchar(40)	False		
parcel_no	integer	True		
parcel_note	varchar(255)	True		
office_code	varchar(20)	True		
parcel_typecode	varchar(20)	False		
land_usecode	varchar(20)	True		
land_classcode	varchar(20)	True		
guthi_namecode	varchar(20)	True		

Constraints

Name	Type	Explanation
cadastre_object_pkey	PRIMARY KEY	Combination of (id) is the primary key

Relationships (from)

Name	Information	Description
cadastre_object_id_fk68	**From columns**: id **To Entity**: spatial_unit **From cardinality**: 1 **To Cardinality**: 1	
cadastre_object_status_code_fk69	**From columns**: status_code **To Entity**: reg_status_type **From cardinality**: 0..* **To Cardinality**: 1	
cadastre_object_type_code_fk70	**From columns**: type_code **To Entity**: cadastre_object_type **From cardinality**: 0..* **To Cardinality**: 1	
cadastre_object_building_unit_type_code_fk92	**From columns**: building_unit_type_code **To Entity**: building_unit_type **From cardinality**: 0..* **To Cardinality**: 0..1	
cadastre_object_transaction_id_fk93	**From columns**: transaction_id **To Entity**: transaction **From cardinality**: 0..* **To Cardinality**: 1	

cadastre_object_map_sheet_id_fk129	**From columns**: map_sheet_id **To Entity**: map_sheet **From cardinality**: 0..* **To Cardinality**: 0..1	
cadastre_object_office_code_fk136	**From columns**: office_code **To Entity**: office **From cardinality**: 0..* **To Cardinality**: 0..1	
cadastre_object_parcel_typecode_fk157	**From columns**: parcel_typecode **To Entity**: parcel_type **From cardinality**: 0..* **To Cardinality**: 1	
cadastre_object_land_usecode_fk158	**From columns**: land_usecode **To Entity**: land_use **From cardinality**: 0..* **To Cardinality**: 0..1	
cadastre_object_land_classcode_fk159	**From columns**: land_classcode **To Entity**: land_class **From cardinality**: 0..* **To Cardinality**: 0..1	

Relationships (to)

Name	Information	Description
legal_space_utility_network_id_fk71	**From columns**: id **From Entity**: legal_space_utility_network **From cardinality**: 1 **To Cardinality**: 1	
cadastre_object_target_cadastre_object_id_fk94	**From columns**: cadastre_object_id **From Entity**: cadastre_object_target **From cardinality**: 0..* **To Cardinality**: 1	
segments_id_fk115	**From columns**: id **From Entity**: segments **From cardinality**: 0..* **To Cardinality**: 1	
verticalParcel_id_fk116	**From columns**: id **From Entity**: verticalParcel **From cardinality**: 0..* **To Cardinality**: 1	
construction_id_fk117	**From columns**: id **From Entity**: construction **From cardinality**: 0..* **To Cardinality**: 1	
ba_unit_cadastre_object_id_fk150	**From columns**: cadastre_object_id **From Entity**: ba_unit **From cardinality**: 0..* **To Cardinality**: 0..1	

spatial_unit

Single area (or multiple areas) of land or water, or a single volume (or multiple volumes) of spaceLADM Reference Object LA_SpatialUnitLADM DefinitionNot Defined

Columns

Name	Type	Optional	Default	Description
id	varchar(40)	False		**LADM Definition** - Spatial unit identifier
dimension_code	varchar(20)	False	'2D'	**LADM Definition** - Code for dimension
label	varchar(255)	True		**LADM Definition** -Label for the spatial unit
surface_relation_code	varchar(20)	False	'onSurface'	**LADM Definition** - Code given to the surface relation to indicate whether a spatial unit is above or below the surface
level_id	varchar(40)	True		**LADM Definition** - Level identifier
reference_point	GEOMETRY	True		**LADM Definition** -The coordinates of a point inside the spatial unit
geom	GEOMETRY	True		**SOLA Extension** -The geometry type of the spatial unit

Constraints

Name	Type	Explanation
spatial_unit_pkey	PRIMARY KEY	Combination of (id) is the primary key

Relationships (from)

Name	Information	Description
spatial_unit_surface_relation_code_fk19	**From columns**: surface_relation_code **To Entity**: surface_relation_type **From cardinality**: 0..* **To Cardinality**: 1	LADM relationship - no refinement
spatial_unit_level_id_fk20	**From columns**: level_id **To Entity**: level **From cardinality**: 0..* **To Cardinality**: 0..1	LADM relationship - no refinement
spatial_unit_dimension_code_fk37	**From columns**: dimension_code **To Entity**: dimension_type **From cardinality**: 0..* **To Cardinality**: 1	LADM relationship - no refinement

Relationships (to)

Name	Information	Description
spatial_value_area_spatial_unit_id_fk16	**From columns**: spatial_unit_id **From Entity**: spatial_value_area **From cardinality**: 0..* **To Cardinality**: 1	LADM relationship - no refinement

spatial_unit_address_spatial_unit_id_fk18	**From columns**: spatial_unit_id **From Entity**: spatial_unit_address **From cardinality**: 0..* **To Cardinality**: 1	FLOSS SOLA relationship - no refinement
spatial_unit_in_group_spatial_unit_id_fk26	**From columns**: spatial_unit_id **From Entity**: spatial_unit_in_group **From cardinality**: 0..* **To Cardinality**: 1	LADM relationship - no refinement
cadastre_object_id_fk68	**From columns**: id **From Entity**: cadastre_object **From cardinality**: 1 **To Cardinality**: 1	

dimension_type

Reference Table / Code list to identify the number of dimensions used to define a spatial unit

LADM Reference Object
LA_DimensionType

LADM Definition
Not Defined

Columns

Name	Type	Optional	Default	Description
code	varchar(20)	False		**LADM Definition** - the code value to identify different dimension types
display_value	varchar(250)	False		**LADM Definition** - the displayed value for a dimension type
description	varchar(555)	True		**LADM Definition** - the description of a dimension type
status	char(1)	False	't'	

Constraints

Name	Type	Explanation
dimension_type_display_value_unique	UNIQUE	Combination of (display_value) is unique
dimension_type_pkey	PRIMARY KEY	Combination of (code) is the primary key

Relationships (to)

Name	Information	Description
spatial_unit_dimension_code_fk37	**From columns**: dimension_code **From Entity**: spatial_unit **From cardinality**: 0..* **To Cardinality**: 1	LADM relationship - no refinement

Data

Nr	code	display_value	description	status
1	0D	0D::::0D		c
2	1D	1D::::1D		c
3	2D	2D::::sD		c
4	3D	3D::::3D		c
5	liminal	Liminal		x

surface_relation_type

Refer to LADM Definition

LADM Reference Object
LA_SurfaceRelationType

LADM Definition
The type of relation that exists between spatial objects and space (surface)

Columns

Name	Type	Optional	Default	Description
code	varchar(20)	False		**LADM Definition** - the code identifying a surface relation type
display_value	varchar(250)	False		**LADM Definition** - the displayed value for a surface relation type
description	varchar(555)	True		**LADM Definition** - the description of a surface relation type
status	char(1)	False	't'	**SOLA Extension** - the status of an instance of surface relation type

Constraints

Name	Type	Explanation
surface_relation_type_display_value_unique	UNIQUE	Combination of (display_value) is unique
surface_relation_type_pkey	PRIMARY KEY	Combination of (code) is the primary key

Relationships (to)

Name	Information	Description
spatial_unit_surface_relation_code_fk19	**From columns**: surface_relation_code **From Entity**: spatial_unit **From cardinality**: 0..* **To Cardinality**: 1	LADM relationship - no refinement

Data

Nr	code	display_value	description	status
1	above	Above::::Sopra		x
2	below	Below::::Sotto		x
3	mixed	Mixed::::Misto		x
4	onSurface	On Surface::::Sulla Superficie		c

level

Refer to LADM Definition

LADM Reference Object
LA_Level

LADM Definition
A set of spatial units, with a geometric, and/or topologic, and/or thematic coherence EXAMPLE 1 One level for an urban cadastre and another level for a rural cadastre.
EXAMPLE 2 One level with rights and another level with restrictions.
EXAMPLE 3 One level with formal rights, a second level with informal rights and a third level with customary rights.
EXAMPLE 4 One level with point based spatial units, a second level with line based spatial units, and a third level with polygon based spatial units..

Columns

Name	Type	Optional	Default	Description
id	varchar(40)	False		**LADM Definition** - Level identifier
name	varchar(50)	True		**LADM Definition** - The name of the level
register_type_code	varchar(20)	False		**LADM Definition** - The register type of the content of the level
structure_code	varchar(20)	True		**LADM Definition** - Code for the structure of the level geometry
type_code	varchar(20)	True		**LADM Definition** - The type of the content the level

Constraints

Name	Type	Explanation
level_pkey	PRIMARY KEY	Combination of (id) is the primary key

Relationships (from)

Name	Information	Description
level_structure_code_fk21	**From columns**: structure_code **To Entity**: structure_type **From cardinality**: 0..* **To Cardinality**: 0..1	LADM relationship - no refinement
level_register_type_code_fk22	**From columns**: register_type_code **To Entity**: register_type **From cardinality**: 0..* **To Cardinality**: 1	LADM relationship - no refinement
level_type_code_fk23	**From columns**: type_code **To Entity**: level_content_type **From cardinality**: 0..* **To Cardinality**: 0..1	LADM relationship - no refinement

Relationships (to)

Name	Information	Description
spatial_unit_level_id_fk20	**From columns**: level_id **From Entity**: spatial_unit **From cardinality**: 0..* **To Cardinality**: 0..1	LADM relationship - no refinement

register_type

Reference Table / Code list for register types

LADM Reference Object
LA_

LADM Definition
The register type of the content of the [map] level

Columns

Name	Type	Optional	Default	Description
code	varchar(20)	False		**LADM Definition** - the code identifying a register type
display_value	varchar(250)	False		**LADM Definition** - the displayed value of a register type
description	varchar(555)	True		**LADM Definition** - the description of a register type
status	char(1)	False		**SOLA Extension** - the status of an instance of register type

Constraints

Name	Type	Explanation
register_type_display_value_unique	UNIQUE	Combination of (display_value) is unique
register_type_pkey	PRIMARY KEY	Combination of (code) is the primary key

Relationships (to)

Name	Information	Description
level_register_type_code_fk22	**From columns**: register_type_code **From Entity**: level **From cardinality**: 0..* **To Cardinality**: 1	LADM relationship - no refinement

Data

Nr	code	display_value	description	status
1	all	All::::Tutti		c
2	forest	Forest::::Forestale		c
3	mining	Mining::::Minerario		c
4	publicSpace	Public Space::::Spazio Pubblico		c
5	rural	Rural::::Rurale		c
6	urban	Urban::::Urbano		c

structure_type

Reference Table / Code list of different forms of spatial unit definitions (within a level)

LADM Reference Object
LA_StructureType

LADM Definition
Not Defined

Columns

Name	Type	Optional	Default	Description
code	varchar(20)	False		**LADM Definition** - the code identifying a structure type
display_value	varchar(250)	False		**LADM Definition** - the displayed value for a structure type
description	varchar(555)	True		**LADM Definition** - the description of a structure type
status	char(1)	False	't'	**SOLA Extension** - the status of an instance of structure type

Constraints

Name	Type	Explanation
structure_type_display_value_unique	UNIQUE	Combination of (display_value) is unique
structure_type_pkey	PRIMARY KEY	Combination of (code) is the primary key

Relationships (to)

Name	Information	Description
level_structure_code_fk21	**From columns**: structure_code **From Entity**: level **From cardinality**: 0..* **To Cardinality**: 0..1	LADM relationship - no refinement

Data

Nr	code	display_value	description	status
1	point	Point::::Punto		c
2	polygon	Polygon::::Poligono		c
3	sketch	Sketch::::Schizzo		c
4	text	Text::::Testo		c
5	topological	Topological::::Topologico		c
6	unStructuredLine	UnstructuredLine::::LineanonDefinita		

level_content_type

Reference Table / Code list for the content type of a level

LADM Reference Object
LA_

LADM Definition
The type of the content of the level;

Columns

Name	Type	Optional	Default	Description
code	varchar(20)	False		**LADM Definition** - the code identifying a level content type
display_value	varchar(250)	False		**LADM Definition** - the displayed value of a level content type
description	varchar(555)	True		**LADM Definition** - a description for a level content type
status	char(1)	False	't'	**SOLA Extension** - the status of an instance of level content type

Constraints

Name	Type	Explanation
level_content_type_display_value_unique	UNIQUE	Combination of (display_value) is unique
level_content_type_pkey	PRIMARY KEY	Combination of (code) is the primary key

Relationships (to)

Name	Information	Description
level_type_code_fk23	**From columns**: type_code **From Entity**: level **From cardinality**: 0..* **To Cardinality**: 0..1	LADM relationship - no refinement

Data

Nr	code	display_value	description	status
1	building	Building::::Costruzione		x
2	customary	Customary::::Consueto		x
3	informal	Informal::::Informale		x
4	mixed	Mixed::::Misto		x
5	network	Network::::Rete		x
6	primaryRight	Primary Right::::Diritto Primario		c
7	responsibility	Responsibility::::Responsabilita		x
8	restriction	Restriction::::Restrizione		c

9	geographicLocator	Geographic Locators::::Locatori Geografici	Extension to LADM	c

cadastre_object_type

The type of spatial object. This defines the specialisation of the spatial unit. It can be a parcel, building_unit or backgroup data like a road etc.

Columns

Name	Type	Optional	Default	Description
code	varchar(20)	False		The code
display_value	varchar(250)	False		The value that will be displayed to the user
description	varchar(555)	True		Description
status	char(1)	False		The status of this code itself.

Constraints

Name	Type	Explanation
cadastre_object_type_display_value_unique	UNIQUE	Combination of (display_value) is unique
cadastre_object_type_pkey	PRIMARY KEY	Combination of (code) is the primary key

Relationships (to)

Name	Information	Description
cadastre_object_type_code_fk70	**From columns**: type_code **From Entity**: cadastre_object **From cardinality**: 0..* **To Cardinality**: 1	

Data

Nr	code	display_value	description	status
1	parcel	Parcel::::ITALIANO		c
2	buildingUnit	Building Unit::::ITALIANO		c
3	utilityNetwork	Utility Network::::ITALIANO		c
4	segment	Segment::::Segment		c
5	construction	Construction::Construction		c

building_unit_type

Reference Table / Code list for types of building units

LADM Reference Object
LA_BuildingUnitType

LADM Definition
Not Defined

Columns

Name	Type	Optional	Default	Description
code	varchar(20)	False		**LADM Definition** - the code identifying different building unit types
display_value	varchar(250)	False		**LADM Definition** - the displayed value of building unit type
description	varchar(555)	True		**LADM Definition** - the description of building unit type
status	char(1)	False	't'	**SOLA Extension** - the status of the code value for building unit type

Constraints

Name	Type	Explanation
building_unit_type_display_value_unique	UNIQUE	Combination of (display_value) is unique
building_unit_type_pkey	PRIMARY KEY	Combination of (code) is the primary key

Relationships (to)

Name	Information	Description
cadastre_object_building_unit_type_code_fk22	**From columns**: building_unit_type_code **From Entity**: cadastre_object **From cardinality**: 0..* **To Cardinality**: 0..1	

Data

Nr	code	display_value	description	status
1	individual	Individual::::Individuale		c
2	shared	Shared::::Condiviso		c

map_sheet

Introduced in Nepal project.List of paper map references.

Columns

Name	Type	Optional	Default	Description
id	varchar(40)	False	uuid_generate_v1()	
map_number	varchar(10)	False		
sheet_type	integer	True		
office_code	varchar(20)	True		
srid	integer	False		

Constraints

Name	Type	Explanation
map_sheet_pkey	PRIMARY KEY	Combination of (id) is the primary key

Relationships (from)

Name	Information	Description
map_sheet_office_code_fk142	**From columns**: office_code **To Entity**: office **From cardinality**: 0..* **To Cardinality**: 0..1	

Relationships (to)

Name	Information	Description
cadastre_object_map_sheet_id_fk129	**From columns**: map_sheet_id **From Entity**: cadastre_object **From cardinality**: 0..* **To Cardinality**: 0..1	

Data

Nr	id	map_number	sheet_type	office_code	srid
1	1	010	0	7-25-003-001	97260

parcel_type

Introduced in Nepal project.List of parcel types.

Columns

Name	Type	Optional	Default	Description
code	varchar(20)	False		
display_value	varchar(250)	False		
description	varchar(555)	True		
status	char(1)	False		

Constraints

Name	Type	Explanation
parcel_type_pkey	PRIMARY KEY	Combination of (code) is the primary key

Relationships (to)

Name	Information	Description
cadastre_object_parcel_typecode_fk157	**From columns**: parcel_typecode **From Entity**: cadastre_object **From cardinality**: 0..* **To Cardinality**: 1	

Data

Nr	code	display_value	description	status
1	0	Private::::Private	Private::::Private	c
2	20	River::::River	River::::River	c
3	30	Forest::::Forest	Forest::::Forest	c
4	60	Government::::Government	Government::::Government	c
5	70	Institutional::::Institutional	Institutional::::Institutional	c
6	10	Public::::Public	Public::::Public	c
7	40	Cultivatable::::Cultivatable	Cultivatable::::Cultivatable	c
8	50	Not Cultivatable::::Not Cultivatable	Not Cultivatable::::Not Cultivatable	c

land_use

Introduced in Nepal project.List of land use types.

Columns

Name	Type	Optional	Default	Description
code	varchar(20)	False		
display_value	varchar(250)	False		
description	varchar(555)	True		
status	char(1)	False		

Constraints

Name	Type	Explanation
land_use_pkey	PRIMARY KEY	Combination of (code) is the primary key

Relationships (to)

Name	Information	Description
cadastre_object_land_usecode_fk158	**From columns**: land_usecode **From Entity**: cadastre_object **From cardinality**: 0..* **To Cardinality**: 0..1	

land_class

Introduced in Nepal project.List of land class types.

Columns

Name	Type	Optional	Default	Description
code	varchar(20)	False		
display_value	varchar(250)	False		
description	varchar(555)	True		
status	char(1)	False		

Constraints

Name	Type	Explanation
land_class_pkey	PRIMARY KEY	Combination of (code) is the primary key

Relationships (to)

Name	Information	Description
cadastre_object_land_classcode_fk159	**From columns**: land_classcode **From Entity**: cadastre_object **From cardinality**: 0..* **To Cardinality**: 0..1	

spatial_value_area

Refer to LADM Definition

LADM Reference Object
LA_AreaValue

LADM Definition
The area (size) of 2 dimension spatial unit

Columns

Name	Type	Optional	Default	Description
spatial_unit_id	varchar(40)	False		**LADM Definition** - Spatial unit identifier
type_code	varchar(20)	False		**LADM Definition** - Type of the spatial value area
size	numeric(29, 2)	False		**LADM Definition** - The area of the spatial unit

Constraints

Name	Type	Explanation
spatial_value_area_pkey	PRIMARY KEY	Combination of (spatial_unit_id,type_code) is the primary key

Relationships (from)

Name	Information	Description
spatial_value_area_spatial_unit_id_fk16	**From columns**: spatial_unit_id **To Entity**: spatial_unit **From cardinality**: 0..* **To Cardinality**: 1	LADM relationship - no refinement
spatial_value_area_type_code_fk17	**From columns**: type_code **To Entity**: area_type **From cardinality**: 0..* **To Cardinality**: 1	LADM relationship - no refinement

area_type

Reference Table / Code list of the different versions or means of calculated area

LADM Reference Object
LA_AreaType

LADM Definition
Not Defined

Columns

Name	Type	Optional	Default	Description
code	varchar(20)	False		**LADM Definition** - code for area type
display_value	varchar(250)	False		**LADM Definition** - displayed value of area type
description	varchar(555)	True		**LADM Definition** - description of area type
status	char(1)	False	'c'	**SOLA Extension** - status of area type values

Constraints

Name	Type	Explanation
area_type_display_value_unique	UNIQUE	Combination of (display_value) is unique
area_type_pkey	PRIMARY KEY	Combination of (code) is the primary key

Relationships (to)

Name	Information	Description
spatial_value_area_type_code_fk17	**From columns**: type_code **From Entity**: spatial_value_area **From cardinality**: 0..* **To Cardinality**: 1	LADM relationship - no refinement

Data

Nr	code	display_value	description	status
1	calculatedArea	Calculated Area::::Area calcolata		c
2	nonOfficialArea	Non-official Area::::Area Non ufficiale		c
3	officialArea	Official Area::::Area Ufficiale		c
4	surveyedArea	Surveyed Area::::Area Sorvegliata		c

spatial_unit_address

Implements the many-to-many relationship between address and spatial_unit

LADM Reference Object
FLOSS SOLA Extension

LADM Definition
Not Applicable

Columns

Name	Type	Optional	Default	Description
spatial_unit_id	varchar(40)	False		**LADM Definition** - Spatial unit identifier
address_id	varchar(40)	False		**LADM Definition** - Address identifier

Constraints

Name	Type	Explanation
spatial_unit_address_pkey	PRIMARY KEY	Combination of (spatial_unit_id,address_id) is the primary key

Relationships (from)

Name	Information	Description
spatial_unit_address_spatial_unit_id_fk18	**From columns**: spatial_unit_id **To Entity**: spatial_unit **From cardinality**: 0..* **To Cardinality**: 1	FLOSS SOLA relationship - no refinement
spatial_unit_address_address_id_fk36	**From columns**: address_id **To Entity**: address **From cardinality**: 0..* **To Cardinality**: 1	FLOSS SOLA relationship - no refinement

spatial_unit_group

Refer to LADM Definition

LADM Reference Object
LA_SpatialUnitGroup

LADM Definition
Any number of spatial units, considered as a single entity

Columns

Name	Type	Optional	Default	Description
id	varchar(40)	False		**LADM Definition** - The identifier of the spatial unit group
hierarchy_level	integer	False		**LADM Definition** - The level in the hierarchy of the (administrative or zoning) subdivision
label	varchar(50)	True		**LADM Definition** - Short textual description of the spatial unit group
name	varchar(50)	True		**LADM Definition** - The name of the spatial unit group
reference_point	GEOMETRY	True		**LADM Definition** - The coordinates of a point within the spatial unit group
geom	GEOMETRY	True		**SOLA Extension** - the spatial geometry for a spatial unit group
found_in_spatial_unit_group_id	varchar(40)	True		**LADM Definition** - the identifier of the spatial unit group where the spatial unit is found

Constraints

Name	Type	Explanation
spatial_unit_group_pkey	PRIMARY KEY	Combination of (id) is the primary key

Relationships (from)

Name	Information	Description
spatial_unit_group_found_in_spatial_unit_group_id_fk24	**From columns**: found_in_spatial_unit_group_id **To Entity**: spatial_unit_group **From cardinality**: 0..* **To Cardinality**: 1	LADM relationship - no refinement

Relationships (to)

Name	Information	Description
spatial_unit_in_group_spatial_unit_group_id_fk25	**From columns**: spatial_unit_group_id **From Entity**: spatial_unit_in_group **From cardinality**: 0..* **To Cardinality**: 1	LADM relationship - no refinement

spatial_unit_in_group

Implements the many-to-may relationship between spatial_unit_group and spatial_unit

LADM Reference Object
Relationship LA_SpatialUnitGroup - LA_SpatialUnit

LADM Definition
Not defined

Columns

Name	Type	Optional	Default	Description
spatial_unit_group_id	varchar(40)	False		**LADM Definition** - Identifier of the spatial unit group
spatial_unit_id	varchar(40)	False		**LADM Definition** - Spatial unit identifier

Constraints

Name	Type	Explanation
spatial_unit_in_group_pkey	PRIMARY KEY	Combination of (spatial_unit_group_id,spatial_unit_id) is the primary key

Relationships (from)

Name	Information	Description
spatial_unit_in_group_spatial_unit_group_id_fk25	**From columns**: spatial_unit_group_id **To Entity**: spatial_unit_group **From cardinality**: 0..* **To Cardinality**: 1	LADM relationship - no refinement
spatial_unit_in_group_spatial_unit_id_fk26	**From columns**: spatial_unit_id **To Entity**: spatial_unit **From cardinality**: 0..* **To Cardinality**: 1	LADM relationship - no refinement

legal_space_utility_network

Refer to LADM Definition

LADM Reference Object
LA_LegalSpaceUtilityNetwork

LADM Definition
A utility network concerns legal space, which does not necessarily coincide with the physical space of a utility network..

Columns

Name	Type	Optional	Default	Description
id	varchar(40)	False		**LADM Definition** - Legal space utility network identifier
ext_physical_network_id	varchar(40)	True		**LADM Definition** - External Identifier for a physical utility network
status_code	varchar(20)	True		**LADM Definition** - Code for the legal space utility network
type_code	varchar(20)	False		**LADM Definition** - Type code for the legal space utility network
geom	GEOMETRY	True		

Constraints

Name	Type	Explanation
legal_space_utility_network_pkey	PRIMARY KEY	Combination of (id) is the primary key

Relationships (from)

Name	Information	Description
legal_space_utility_network_status_code_fk27	**From columns**: status_code **To Entity**: utility_network_status_type **From cardinality**: 0..* **To Cardinality**: 0..1	LADM relationship - no refinement
legal_space_utility_network_type_code_fk28	**From columns**: type_code **To Entity**: utility_network_type **From cardinality**: 0..* **To Cardinality**: 1	LADM relationship - no refinement
legal_space_utility_network_id_fk71	**From columns**: id **To Entity**: cadastre_object **From cardinality**: 1 **To Cardinality**: 1	

utility_network_status_type

Reference Table / Code list for the status of utility networks

LADM Reference Object
LA_UtilityNetworkStatusType

LADM Definition
Status of the type of utility network

Columns

Name	Type	Optional	Default	Description
code	varchar(20)	False		**LADM Definition** - a code identifying a utility network status type
display_value	varchar(250)	False		**LADM Definition** - the displayed value of a utility network status type
description	varchar(555)	True		**LADM Definition** - a description of a utility network status type
status	char(1)	False	't'	**SOLA Extension** - the status of an instance of utility network status type

Constraints

Name	Type	Explanation
utility_network_status_type_display_value_unique	UNIQUE	Combination of (display_value) is unique
utility_network_status_type_pkey	PRIMARY KEY	Combination of (code) is the primary key

Relationships (to)

Name	Information	Description
legal_space_utility_network_status_code_fk27	**From columns**: status_code **From Entity**: legal_space_utility_network **From cardinality**: 0..* **To Cardinality**: 0..1	LADM relationship - no refinement

Data

Nr	code	display_value	description	status
1	inUse	In Use::::In uso		c
2	outOfUse	Out of Use::::Fuori uso		c
3	planned	Planned::::Pianificato		c

utility_network_type

Reference Table / Code list of utility network types

LADM Reference Object
LA_

LADM Definition
Not Defined

Columns

Name	Type	Optional	Default	Description
code	varchar(20)	False		**LADM Definition** - a code identifying a utility network type
display_value	varchar(250)	False		**LADM Definition** - the displayed value for a utility network type
description	varchar(555)	True		**LADM Definition** - the description of a utility network type
status	char(1)	False		**SOLA Extension** - the status of an instance of utility network type

Constraints

Name	Type	Explanation
utility_network_type_display_value_unique	UNIQUE	Combination of (display_value) is unique
utility_network_type_pkey	PRIMARY KEY	Combination of (code) is the primary key

Relationships (to)

Name	Information	Description
legal_space_utility_network_type_code_fk2	**From columns**: type_code **From Entity**: legal_space_utility_network **From cardinality**: 0..* **To Cardinality**: 1	LADM relationship - no refinement

Data

Nr	code	display_value	description	status
1	chemical	Chemicals::::Cimica		c
2	electricity	Electricity::::Elettricita		c
3	gas	Gas::::Gas		c
4	heating	Heating::::Riscaldamento		c
5	oil	Oil::::Carburante		c
6	telecommunication	Telecommunication::::Telecomunicazione		c
7	water	Water::::Acqua		c

cadastre_object_target

This is a cadastre object that is a target of a cadastre related transaction. If the transaction is not yet approved or cancelled, the cadastre object gets a pending status.

Columns

Name	Type	Optional	Default	Description
transaction_id	varchar(40)	False		The id of the transaction that is doing changes to the cadastre object.
cadastre_object_id	varchar(40)	False		The id of the cadastre object being target of transaction.
geom_polygon	GEOMETRY	True		The new geometry of the target cadastre object. It is used only when the transaction involves changes of the existing cadastre object geometry. Example of a transaction that changes an existing cadastre object is cadastre redefinition.
office_code	varchar(20)	False		

Constraints

Name	Type	Explanation
cadastre_object_target_pkey	PRIMARY KEY	Combination of (transaction_id,cadastre_object_id) is the primary key

Relationships (from)

Name	Information	Description
cadastre_object_target_cadastre_object_id_fk94	**From columns**: cadastre_object_id **To Entity**: cadastre_object **From cardinality**: 0..* **To Cardinality**: 1	
cadastre_object_target_transaction_id_fk97	**From columns**: transaction_id **To Entity**: transaction **From cardinality**: 0..* **To Cardinality**: 1	
cadastre_object_target_office_code_fk149	**From columns**: office_code **To Entity**: office **From cardinality**: 0..* **To Cardinality**: 1	

survey_point

Columns

Name	Type	Optional	Default	Description
transaction_id	varchar(40)	False		
id	varchar(40)	False		
boundary	bool	False	true	
geom	GEOMETRY	False		
original_geom	GEOMETRY	False		

Constraints

Name	Type	Explanation
survey_point_pkey	PRIMARY KEY	Combination of (transaction_id,id) is the primary key

Relationships (from)

Name	Information	Description
survey_point_transaction_id_fk96	**From columns**: transaction_id **To Entity**: transaction **From cardinality**: 0..* **To Cardinality**: 1	

cadastre_object_node_target

The nodes that have been changed or added from the transaction.

Columns

Name	Type	Optional	Default	Description
transaction_id	varchar(40)	False		The id of the transaction that is changing or inserting a new node.
node_id	varchar(40)	False		The node id.
geom	GEOMETRY	False		The geometry of the node.

Constraints

Name	Type	Explanation
cadastre_object_node_target_pkey	PRIMARY KEY	Combination of (transaction_id,node_id) is the primary key

Relationships (from)

Name	Information	Description
cadastre_object_node_target_transaction_fk1	**From columns**: transaction_id **To Entity**: transaction **From cardinality**: 0..* **To Cardinality**: 1	

verticalParcel

Used for the parcel having apartment

Columns

Name	Type	Optional	Default	Description
vid	integer	False		Vertical Parcel ID
geom_polygon	GEOMETRY	True		
id	varchar(40)	False		Parcel ID
height	numeric(19, 3)	True		Height of the level at which apartment exists
ownerId	integer	True		
area	numeric(29, 3)	True		

Constraints

Name	Type	Explanation
verticalParcel_pkey	PRIMARY KEY	Combination of (vid,id) is the primary key

Relationships (from)

Name	Information	Description
verticalParcel_id_fk116	**From columns**: id **To Entity**: cadastre_object **From cardinality**: 0..* **To Cardinality**: 1	

construction

Building Constructed in the Parcel

Columns

Name	Type	Optional	Default	Description
cid	integer	False		Construction ID
geom_polygon	GEOMETRY	True		
id	varchar(40)	False		Respective Parcel ID
constype	integer	False		Construction Type
area	numeric(29, 3)	True		

Constraints

Name	Type	Explanation
construction_pkey	PRIMARY KEY	Combination of (cid,id) is the primary key

Relationships (from)

Name	Information	Description
construction_id_fk117	**From columns**: id **To Entity**: cadastre_object **From cardinality**: 0..* **To Cardinality**: 1	
construction_constype_fk118	**From columns**: constype **To Entity**: construction_type **From cardinality**: 0..* **To Cardinality**: 1	

construction_type

Columns

Name	Type	Optional	Default	Description
code	integer	False		
description	varchar(255)	True		

Constraints

Name	Type	Explanation
construction_type_pkey	PRIMARY KEY	Combination of (code) is the primary key

Relationships (to)

Name	Information	Description
construction_constype_fk118	**From columns**: constype **From Entity**: construction **From cardinality**: 0..* **To Cardinality**: 1	

Data

Nr	code	description
1	0	Permanent Building::::Permanent Building
2	10	Temporary Building::::Temporary Building
3	20	Damaged Building::::Damaged Building
4	30	Wall::::Wall
5	40	Pond::::Pond
6	50	Gate/Entrance::::Gate/Entrance
7	60	Temple::::Temple
8	150	Stupa::::Stupa

boundary_type

Columns

Name	Type	Optional	Default	Description
code	integer	False		Unique ID
description	varchar(255)	True		

Constraints

Name	Type	Explanation
boundary_type_pkey	PRIMARY KEY	Combination of (code) is the primary key

Relationships (to)

Name	Information	Description
segments_bound_type_fk121	**From columns**: bound_type **From Entity**: segments **From cardinality**: 0..* **To Cardinality**: 1	

Data

Nr	code	description
1	0	None::::None
2	10	Building Foot Print::::Building Foot Print
3	20	Wall::::Wall
4	25	Shared Wall::::Shared Wall
5	30	Fence::::Fence
6	35	Shared Fence::::Shared Fence
7	40	Gate::::Gate
8	50	Line Canal::::Line Canal
9	52	Line Canal and Wall::::Line Canal and Wall
10	54	Line Canal and Fence::::Line Canal and Fence
11	58	Line Canal and Gate::::Line Canal and Gate

adminstrative_boundary_type

Columns

Name	Type	Optional	Default	Description
code	integer	False		
description	varchar(255)	True		

Constraints

Name	Type	Explanation
adminstrative_boundary_type_pkey	PRIMARY KEY	Combination of (code) is the primary key

Relationships (to)

Name	Information	Description
segments_abound_type_fk120	**From columns**: abound_type **From Entity**: segments **From cardinality**: 0..* **To Cardinality**: 1	

Data

Nr	code	description
1	0	None::::None
2	10	Ward::::Ward
3	20	VDC/Municipality::::VDC/Municipality
4	30	District::::District
5	40	Zone::::Zone
6	50	National::::National

map_boundary_type

Columns

Name	Type	Optional	Default	Description
code	integer	False		
description	varchar(255)	True		

Constraints

Name	Type	Explanation
map_boundary_type_pkey	PRIMARY KEY	Combination of (code) is the primary key

Relationships (to)

Name	Information	Description
segments_mbound_type_fk119	**From columns**: mbound_type **From Entity**: segments **From cardinality**: 0..* **To Cardinality**: 1	

Data

Nr	code	description
1	0	None::::None
2	10	Grid Sheet::::Grid Sheet
3	20	Free Sheet::::Free Sheet

segments

Columns

Name	Type	Optional	Default	Description
sid	integer	False		Segment ID
segno	integer	True		
the_geom	GEOMETRY	True		the geometry for the segment
bound_type	integer	False		Construction type of boundary
id	varchar(40)	False		Parcel Id
mbound_type	integer	False		Boundary Type in Map
abound_type	integer	False		Boundary Type for Administrative Unit
shape_length	numeric(19, 3)	True		Length of the segment

Constraints

Name	Type	Explanation
segments_pkey	PRIMARY KEY	Combination of (sid,id) is the primary key

Relationships (from)

Name	Information	Description
segments_id_fk115	**From columns**: id **To Entity**: cadastre_object **From cardinality**: 0..* **To Cardinality**: 1	
segments_mbound_type_fk119	**From columns**: mbound_type **To Entity**: map_boundary_type **From cardinality**: 0..* **To Cardinality**: 1	
segments_abound_type_fk120	**From columns**: abound_type **To Entity**: adminstrative_boundary_type **From cardinality**: 0..* **To Cardinality**: 1	
segments_bound_type_fk121	**From columns**: bound_type **To Entity**: boundary_type **From cardinality**: 0..* **To Cardinality**: 1	

road

A map feature (used in the Samoa implementation) that identifies the centrelines of roads in SamoaLADM Reference ObjectFLOSS SOLA ExtensionLADM DefinitionNot Applicable

Columns

Name	Type	Optional	Default	Description
id	varchar(40)	True		Road identifier
label	varchar(255)	True		Name of each of road
geom	GEOMETRY	True		Geometry type

survey_control

This is a view which is used to retrieve the survey points from the spatial units. It is used from the gis component.

Columns

Name	Type	Optional	Default	Description
id	varchar(40)	True		identifier
label	varchar(255)	True		Label of island
geom	GEOMETRY	True		geometry type of island

place_name

View for retrieving place names to be used in the gis component.

Columns

Name	Type	Optional	Default	Description
id	varchar(40)	True		Identifier of village
label	varchar(255)	True		Labels and description of village
geom	GEOMETRY	True		Description of the geometry type