# FLOSS Solutions for Open Land Administration (SOLA)

## Data Dictionary

FAO NRC Land Tenure Team
version: 1.0
10/09/2012

# Contents

Introduction . . . 6
document . . . 7
- document . . . 7

system . . . 9
- office . . . 9
- appuser . . . 12
- department . . . 14
- financial_year . . . 15
- setting . . . 16
- appuser_setting . . . 18
- language . . . 19
- config_map_layer . . . 20
- config_map_layer_type . . . 23
- query . . . 24
- br . . . 28
- br_technical_type . . . 30
- br_validation . . . 31
- br_severity_type . . . 33
- br_validation_target_type . . . 34
- br_definition . . . 35
- approle . . . 36
- approle_appgroup . . . 39
- appgroup . . . 40
- appuser_appgroup . . . 41
- query_field . . . 42
- np_calendar . . . 45
- vdc_appuser . . . 46
- user_roles . . . 47
- br_current . . . 48
- br_report . . . 49

address . . . 50
- district . . . 50
- address . . . 52
- vdc . . . 53

source . . . 54
- source . . . 54
- archive . . . 58
- presentation_form_type . . . 59
- availability_status_type . . . 61
- administrative_source_type . . . 62
- spatial_source . . . 64
- spatial_source_type . . . 65

spatial_source_measurement . . . 67
transaction . . . 68
reg_status_type . . . 68
transaction . . . 70
transaction_status_type . . . 72
transaction_source . . . 73
application . . . 74
service . . . 74
application . . . 77
application_action_type . . . 80
application_status_type . . . 83
request_type . . . 85
request_category_type . . . 90
type_action . . . 91
service_status_type . . . 92
service_action_type . . . 93
application_property . . . 95
application_uses_source . . . 96
request_type_requires_source_type . . . 97
party . . . 99
party . . . 99
party_type . . . 103
communication_type . . . 104
id_type . . . 105
gender_type . . . 106
id_office_type . . . 107
grandfather_type . . . 108
group_party . . . 109
group_party_type . . . 110
party_member . . . 111
party_role . . . 112
party_role_type . . . 113
administrative . . . 115
rrr_type . . . 115
rrr_group_type . . . 119
ba_unit . . . 120
ba_unit_type . . . 123
rrr . . . 124
mortgage_type . . . 128
loc . . . 129
moth . . . 130
restriction_reason . . . 131
owner_type . . . 132
ownership_type . . . 133

restriction_release_reason . . . 134
tenancy_type . . . 135
source_describes_rrr . . . 136
source_describes_ba_unit . . . 137
required_relationship_baunit . . . 138
ba_unit_rel_type . . . 139
ba_unit_as_party . . . 140
notation . . . 141
rrr_share . . . 142
party_for_rrr . . . 143
ba_unit_target . . . 144
discount_type . . . 145
cadastre . . . 146
cadastre_object . . . 146
spatial_unit . . . 150
dimension_type . . . 152
surface_relation_type . . . 153
level . . . 154
register_type . . . 156
structure_type . . . 157
level_content_type . . . 158
cadastre_object_type . . . 160
building_unit_type . . . 161
map_sheet . . . 162
land_type . . . 164
land_use . . . 165
land_class . . . 166
area_unit_type . . . 167
spatial_value_area . . . 168
area_type . . . 169
spatial_unit_group . . . 170
spatial_unit_in_group . . . 171
legal_space_utility_network . . . 172
utility_network_type . . . 173
cadastre_object_target . . . 174
survey_point . . . 175
cadastre_object_node_target . . . 176
verticalParcel . . . 177
construction . . . 178
construction_type . . . 179
boundary_type . . . 180
adminstrative_boundary_type . . . 181
map_boundary_type . . . 182
segments . . . 183

road . . . . . 184
survey_control . . . . . 185
place_name . . . . . 186

# Introduction

The SOLA database has been created as part of a project undertaken by the UN Food and Agriculture Organization (with funding from the Government of Finland) to develop open source software that supports cadastre and registration functions in land administration agencies. It has a particular goal of making computerized systems supporting open land administration more affordable and sustainable in developing countries.

The SOLA database is implemented in a Postgre SQL database and is a relational database implementation of an extended version of the Land Administration Data Model (LADM) which is currently a Draft International Standard (DIS 19152). It has been necessary to extend DIS 19152 because of the operational needs of land administration agencies to incorporate case management and other features into any system that supports the processing of client service requests (for land information, registration and cadastre change requests and others) and the maintaining and updating of the record of rights and restrictions, ownership and property boundaries. The FLOSS SOLA software supports this range of land administration business processes and the SOLA database is an integral part of the FLOSS SOLA database.

The SOLA Data Dictionary is organized according to the database schemas defined in the SOLA database. Within each section for a schema there is a definition of all tables including their description, column, constraints and relationship details.

The SOLA database should be considered a work in progress over the period 2011 - 2013 while the initial FLOSS SOLA software is under development and pilot implementation are being undertaken. For this reason those referring to this document should check www.flossola.org to ensure they have the latest version.

# document

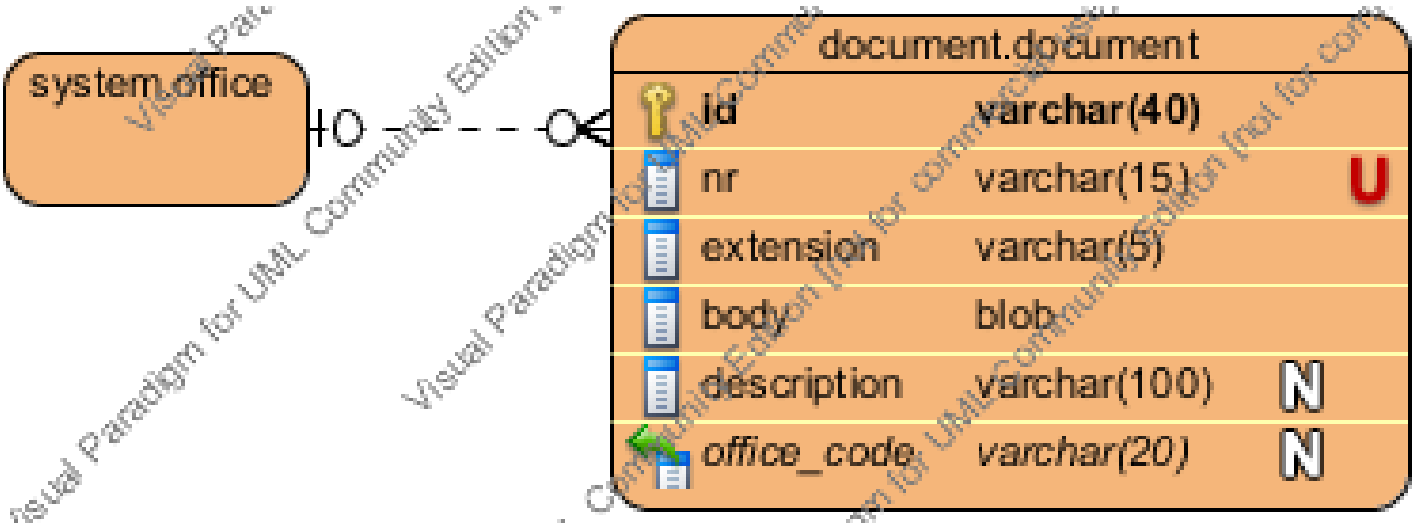


## document

An extension of the source table to contain the image files of scanned documents forming part of the land office archive including the paper documents presented or created through cadastre or registration processesLADM Reference ObjectFLOSS SOLA ExtensionLADM DefinitionNot Applicable

### *Columns*

| Name | Type | Optional | Default | Description |
|---|---|---|---|---|
| id | varchar(40) | False | | **LADM Definition** - The identifier of the source document |
| nr | varchar(15) | False | | **SOLA Extension** - A unique number to identify the document |
| extension | varchar(5) | False | | **SOLA Extension** - The extension of the original file. |
| body | bytea | False | | **SOLA Extension** - The content of the document |
| description | varchar(100) | True | | **SOLA Extension** - A name to recognize the document |
| office_code | varchar(20) | True | | |

### *Constraints*

| Name | Type | Explanation |
|---|---|---|
| document_nr_unique | UNIQUE | Combination of (nr) is unique |
| document_pkey | PRIMARY KEY | Combination of (id) is the primary key |

### *Relationships (from)*

| Name | Information | Description |
|---|---|---|

| | | |
|---|---|---|
| document_office_code_fk127 | **From columns**: office_code<br>**To Entity**: office<br>**From cardinality**: 0..*<br>**To Cardinality**: 0..1 | |

### *Relationships (to)*

| Name | Information | Description |
|---|---|---|
| party_photo_id_fk141 | **From columns**: photo_id<br>**From Entity**: party<br>**From cardinality**: 0..*<br>**To Cardinality**: 0..1 | |
| party_left_finger_id_fk142 | **From columns**: left_finger_id<br>**From Entity**: party<br>**From cardinality**: 0..*<br>**To Cardinality**: 0..1 | |
| party_right_finger_id_fk143 | **From columns**: right_finger_id<br>**From Entity**: party<br>**From cardinality**: 0..*<br>**To Cardinality**: 0..1 | |
| party_signature_id_fk144 | **From columns**: signature_id<br>**From Entity**: party<br>**From cardinality**: 0..*<br>**To Cardinality**: 0..1 | |

# system

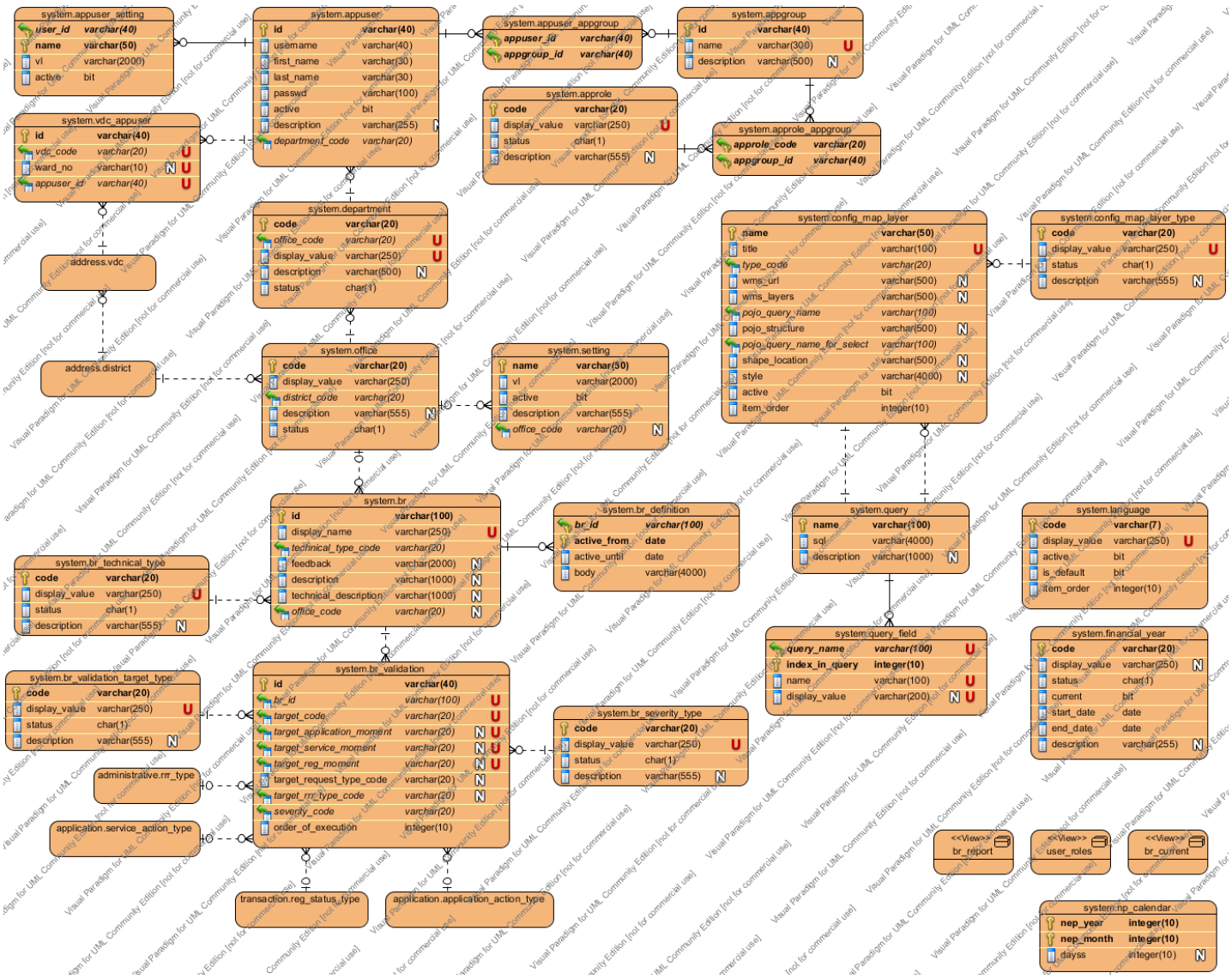


## office

Introduced in Nepal project.List of offices.

### *Columns*

| Name | Type | Optional | Default | Description |
|---|---|---|---|---|
| code | varchar(20) | False | | |
| display_value | varchar(250) | False | | |
| district_code | varchar(20) | False | | |
| description | varchar(555) | True | | |
| status | char(1) | False | 'c' | |

### *Constraints*

| Name | Type | Explanation |
|---|---|---|

| | | |
|---|---|---|
| office_pkey | PRIMARY KEY | Combination of (code) is the primary key |

### *Relationships (from)*

| Name | Information | Description |
|---|---|---|
| office_district_code_fk119 | **From columns**: district_code<br>**To Entity**: district<br>**From cardinality**: 0..*<br>**To Cardinality**: 1 | |

### *Relationships (to)*

| Name | Information | Description |
|---|---|---|
| department_office_code_fk121 | **From columns**: office_code<br>**From Entity**: department<br>**From cardinality**: 0..*<br>**To Cardinality**: 1 | |
| department_office_code_fk123 | **From columns**: office_code<br>**From Entity**: department<br>**From cardinality**: 0..*<br>**To Cardinality**: 1 | |
| source_office_code_fk126 | **From columns**: office_code<br>**From Entity**: source<br>**From cardinality**: 0..*<br>**To Cardinality**: 0..1 | |
| document_office_code_fk127 | **From columns**: office_code<br>**From Entity**: document<br>**From cardinality**: 0..*<br>**To Cardinality**: 0..1 | |
| party_office_code_fk130 | **From columns**: office_code<br>**From Entity**: party<br>**From cardinality**: 0..*<br>**To Cardinality**: 0..1 | |
| ba_unit_office_code_fk131 | **From columns**: office_code<br>**From Entity**: ba_unit<br>**From cardinality**: 0..*<br>**To Cardinality**: 1 | |
| cadastre_object_office_code_fk132 | **From columns**: office_code<br>**From Entity**: cadastre_object<br>**From cardinality**: 0..*<br>**To Cardinality**: 1 | |
| application_office_code_fk133 | **From columns**: office_code<br>**From Entity**: application<br>**From cardinality**: 0..*<br>**To Cardinality**: 0..1 | |
| br_office_code_fk134 | **From columns**: office_code<br>**From Entity**: br<br>**From cardinality**: 0..*<br>**To Cardinality**: 0..1 | |

| | | |
|---|---|---|
| setting_office_code_fk135 | **From columns**: office_code<br>**From Entity**: setting<br>**From cardinality**: 0..*<br>**To Cardinality**: 0..1 | |
| moth_office_code_fk136 | **From columns**: office_code<br>**From Entity**: moth<br>**From cardinality**: 0..*<br>**To Cardinality**: 1 | |
| loc_office_code_fk137 | **From columns**: office_code<br>**From Entity**: loc<br>**From cardinality**: 0..*<br>**To Cardinality**: 1 | |
| map_sheet_office_code_fk138 | **From columns**: office_code<br>**From Entity**: map_sheet<br>**From cardinality**: 0..*<br>**To Cardinality**: 1 | |
| transaction_office_code_fk139 | **From columns**: office_code<br>**From Entity**: transaction<br>**From cardinality**: 0..*<br>**To Cardinality**: 0..1 | |
| cadastre_object_target_office_code_fk145 | **From columns**: office_code<br>**From Entity**: cadastre_object_target<br>**From cardinality**: 0..*<br>**To Cardinality**: 1 | |
| rrr_office_code_fk149 | **From columns**: office_code<br>**From Entity**: rrr<br>**From cardinality**: 0..*<br>**To Cardinality**: 1 | |

### *Data*

| Nr | code | display_value | district_code | description | status |
|---|---|---|---|---|---|
| 1 | 7-25-003-001 | Lalitpur - LMO first section | 25 | | |

# appuser

This table contains list of users, who has an access to the application, can login and do certain actions.

## *Columns*

| Name | Type | Optional | Default | Description |
|---|---|---|---|---|
| id | varchar(40) | False | | **SOLA Extension** - the SOLA user id |
| username | varchar(40) | False | | **SOLA Extension** - User name of a SOLA user |
| first_name | varchar(30) | False | | **SOLA Extension** - First name of SOLA user |
| last_name | varchar(30) | False | | **SOLA Extension** - Last name of SOLA user |
| passwd | varchar(100) | False | uuid_generate_v1() | **SOLA Extension** - Password of the SOLA user |
| active | bool | False | true | **SOLA Extension** - the flag for whether a SOLA user is considered active (or not) |
| description | varchar(255) | True | | **SOLA Extension** - a description of the SOLA user |
| department_code | varchar(20) | False | | Introduced in Nepal project. Department ID. |

## *Constraints*

| Name | Type | Explanation |
|---|---|---|
| appuser_username_unique | UNIQUE | Combination of (username) is unique |
| appuser_pkey | PRIMARY KEY | Combination of (id) is the primary key |

## *Relationships (from)*

| Name | Information | Description |
|---|---|---|
| appuser_department_code_fk122 | **From columns**: department_code<br>**To Entity**: department<br>**From cardinality**: 0..*<br>**To Cardinality**: 1 | |

## *Relationships (to)*

| Name | Information | Description |
|---|---|---|
| application_assignee_id_fk47 | **From columns**: assignee_id<br>**From Entity**: application<br>**From cardinality**: 0..*<br>**To Cardinality**: 0..1 | FLOSS SOLA relationship - no refinement |
| appuser_setting_user_id_fk49 | **From columns**: user_id<br>**From Entity**: appuser_setting<br>**From cardinality**: 0..*<br>**To Cardinality**: 1 | FLOSS SOLA relationship - no refinement |
| appuser_appgroup_appuser_id_fk96 | **From columns**: appuser_id<br>**From Entity**: appuser_appgroup<br>**From cardinality**: 0..*<br>**To Cardinality**: 1 | |

| | | |
|---|---|---|
| vdc_appuser_appuser_id_fk173 | **From columns**: appuser_id<br>**From Entity**: vdc_appuser<br>**From cardinality**: 0..*<br>**To Cardinality**: 1 | |

### *Data*

| Nr | id | username | first_name |
|---|---|---|---|
| 1 | test-id | test | Test |

| Nr | last_name | passwd | active |
|---|---|---|---|
| 1 | The BOSS | 9f86d081884c7d659a2feaa0c55ad015a3bf4f1b2b0b822cd15d6c15b0f00a08 | true |

| Nr | description | department_code |
|---|---|---|
| 1 | | Lalitpur-001 |

# department

Introduced in Nepal project.List of departments, related to the office.

## *Columns*

| Name | Type | Optional | Default | Description |
|---|---|---|---|---|
| code | varchar(20) | False | | Primary key |
| office_code | varchar(20) | False | | Code of office the department relates to. |
| display_value | varchar(250) | False | | Department name |
| description | varchar(500) | True | | |
| status | char(1) | False | 'c' | |

## *Constraints*

| Name | Type | Explanation |
|---|---|---|
| department_unique_department_name | UNIQUE | Combination of (office_code, display_value) is unique |
| department_pkey | PRIMARY KEY | Combination of (code) is the primary key |

## *Relationships (from)*

| Name | Information | Description |
|---|---|---|
| department_office_code_fk121 | **From columns**: office_code<br>**To Entity**: office<br>**From cardinality**: 0..*<br>**To Cardinality**: 1 | |
| department_office_code_fk123 | **From columns**: office_code<br>**To Entity**: office<br>**From cardinality**: 0..*<br>**To Cardinality**: 1 | |

## *Relationships (to)*

| Name | Information | Description |
|---|---|---|
| appuser_department_code_fk122 | **From columns**: department_code<br>**From Entity**: appuser<br>**From cardinality**: 0..*<br>**To Cardinality**: 1 | |

## *Data*

| Nr | code | office_code | display_value | description | status |
|---|---|---|---|---|---|
| 1 | Lalitpur-001 | 7-25-003-001 | Section-001, Lalitpur LMO | | |

# financial_year

Introduced in Nepal project.List of fiscal years, used to bind different actions in the system to the particular fiscal year. It is exploited in reporting.

## *Columns*

| Name | Type | Optional | Default | Description |
|---|---|---|---|---|
| code | varchar(20) | False | | Fiscal year code |
| display_value | varchar(250) | True | | Display value for fiscal year. |
| status | char(1) | False | 'c' | Status code |
| current | bool | False | 'f' | If current year, the value will be true or 1 |
| start_date | date | False | | Fiscal year start date |
| end_date | date | False | | Fiscal year end date |
| description | varchar(255) | True | | Description |

## *Constraints*

| Name | Type | Explanation |
|---|---|---|
| financial_year_pkey | PRIMARY KEY | Combination of (code) is the primary key |

## *Relationships (to)*

| Name | Information | Description |
|---|---|---|
| cadastre_object_fy_code_fk167 | **From columns**: fy_code<br>**From Entity**: cadastre_object<br>**From cardinality**: 0..*<br>**To Cardinality**: 1 | |
| ba_unit_fy_code_fk168 | **From columns**: fy_code<br>**From Entity**: ba_unit<br>**From cardinality**: 0..*<br>**To Cardinality**: 1 | |
| rrr_fy_code_fk169 | **From columns**: fy_code<br>**From Entity**: rrr<br>**From cardinality**: 0..*<br>**To Cardinality**: 1 | |
| application_fy_code_fk171 | **From columns**: fy_code<br>**From Entity**: application<br>**From cardinality**: 0..*<br>**To Cardinality**: 1 | |

# setting

Global settings for the FLOSS SOLA applicationLADM Reference ObjectFLOSS SOLA ExtensionLADM DefinitionNot Applicable

## *Columns*

| Name | Type | Optional | Default | Description |
|---|---|---|---|---|
| name | varchar(50) | False | | **SOLA Extension** - name of the setting |
| vl | varchar(2000) | False | | **SOLA Extension** - Value of the setting |
| active | bool | False | true | **SOLA Extension** - if the setting is active or not. |
| description | varchar(555) | False | | |
| office_code | varchar(20) | True | | |

## *Constraints*

| Name | Type | Explanation |
|---|---|---|
| setting_pkey | PRIMARY KEY | Combination of (name) is the primary key |

## *Relationships (from)*

| Name | Information | Description |
|---|---|---|
| setting_office_code_fk135 | **From columns**: office_code<br>**To Entity**: office<br>**From cardinality**: 0..*<br>**To Cardinality**: 0..1 | |

## *Data*

| Nr | name | vl | active | description | office_code |
|---|---|---|---|---|---|
| 1 | map-srid | 2193 | true | The srid of the geographic data that are administered in the system. | |
| 2 | map-west | 1776400 | true | The most west coordinate. It is used in the map control. | |
| 3 | map-south | 5919888 | true | The most south coordinate. It is used in the map control. | |

| | | | | | |
|---|---|---|---|---|---|
| 4 | map-east | 1795771 | true | The most east coordinate. It is used in the map control. | |
| 5 | map-north | 5932259 | true | The most north coordinate. It is used in the map control. | |
| 6 | map-tolerance | 0.001 | true | The tolerance that is used while snapping geometries to each other. If two points are within this distance are considered being in the same location. | |
| 7 | map-shift-tolerance-rural | 20 | true | The shift tolerance of boundary points used in cadastre change in rural areas. | |
| 8 | map-shift-tolerance-urban | 5 | true | The shift tolerance of boundary points used in cadastre change in urban areas. | |

# appuser_setting

Software settings specific for a user within the FLOSS SOLA application

**LADM Reference Object**
FLOSS SOLA Extension

**LADM Definition**
Not Applicable

## *Columns*

| Name | Type | Optional | Default | Description |
|---|---|---|---|---|
| user_id | varchar(40) | False | | **SOLA Extension** - SOLA user id |
| name | varchar(50) | False | | **SOLA Extension** - name of the setting |
| vl | varchar(2000) | False | | **SOLA Extension** - value of the setting |
| active | bool | False | true | **SOLA Extension** - if the setting is active |

## *Constraints*

| Name | Type | Explanation |
|---|---|---|
| appuser_setting_pkey | PRIMARY KEY | Combination of (user_id,name) is the primary key |

## *Relationships (from)*

| Name | Information | Description |
|---|---|---|
| appuser_setting_user_id_fk49 | **From columns**: user_id<br>**To Entity**: appuser<br>**From cardinality**: 0..*<br>**To Cardinality**: 1 | FLOSS SOLA relationship - no refinement |

# language

Thelanguages that can be used within the FLOSS SOLA application.

**LADM Reference Object**
FLOSS SOLA Extension

**LADM Definition**
Not Applicable

## *Columns*

| Name | Type | Optional | Default | Description |
|---|---|---|---|---|
| code | varchar(7) | False | | **SOLA Extension** - A unique code of the localization. |
| display_value | varchar(250) | False | | **SOLA Extension** - displayed value of localisation setting |
| active | bool | False | true | **SOLA Extension** -status of the instance of language |
| is_default | bool | False | false | **SOLA Extension** - If it is the default. One of the records in this table can have this value true. |
| item_order | integer | False | 1 | |

## *Constraints*

| Name | Type | Explanation |
|---|---|---|
| language_display_value_unique | UNIQUE | Combination of (display_value) is unique |
| language_pkey | PRIMARY KEY | Combination of (code) is the primary key |

## *Data*

| Nr | code | display_value | active | is_default | item_order |
|---|---|---|---|---|---|
| 1 | en | English:::: | true | true | 1 |
| 2 | np | Nepali:::: | true | false | 2 |

# config_map_layer

Parameters for defining map layers in FLOSS SOLA gis componentLADM Reference ObjectFLOSS SOLA ExtensionLADM DefinitionNot Applicable

## *Columns*

| Name | Type | Optional | Default | Description |
|---|---|---|---|---|
| name | varchar(50) | False | | **SOLA Extension** - name of map layer |
| title | varchar(100) | False | | |
| type_code | varchar(20) | False | | **SOLA Extension** - map layer type |
| wms_url | varchar(500) | True | | **SOLA Extension** - wms url of map layer |
| wms_layers | varchar(500) | True | | **SOLA Extension** - wms layer id (or name) |
| pojo_query_name | varchar(100) | False | | **SOLA Extension** - plain old java object query name |
| pojo_structure | varchar(500) | True | | **SOLA Extension** - plain old java object structure |
| pojo_query_name_for_select | varchar(100) | False | | **SOLA Extension** - plain old java object query name for select |
| shape_location | varchar(500) | True | | **SOLA Extension** - location of map layer shape definitions |
| style | varchar(4000) | True | | Map layer style given in SLD. |
| active | bool | False | true | **SOLA Extension** - flag to indicate whether instance of config map layer is active (or not) |
| item_order | integer | False | 0 | **SOLA Extension** - map layer order of display |

## *Constraints*

| Name | Type | Explanation |
|---|---|---|
| config_map_layer_style_required | CHECK | Rule (case when type_code = 'wms' then wms_url is not null and wms_layers is not null when type_code = 'pojo' then pojo_query_name is not null and pojo_structure is not null and style is not null when type_code = 'shape' then shape_location is not null and style is not null end) must be true It checks if the information is filled properly for each of type of the layer supported. |
| config_map_layer_title_unique | UNIQUE | Combination of (title) is unique |
| config_map_layer_pkey | PRIMARY KEY | Combination of (name) is the primary key |

## *Relationships (from)*

| Name | Information | Description |
|---|---|---|
| config_map_layer_type_code_fk53 | **From columns**: type_code<br>**To Entity**: config_map_layer_type<br>**From cardinality**: 0..*<br>**To Cardinality**: 1 | FLOSS SOLA relationship - no refinement |

| | | |
|---|---|---|
| config_map_layer_pojo_query_name_fk106 | **From columns**: pojo_query_name<br>**To Entity**: query<br>**From cardinality**: 1<br>**To Cardinality**: 1 | |
| config_map_layer_pojo_query_name_for_select_fk107 | **From columns**: pojo_query_name_for_select<br>**To Entity**: query<br>**From cardinality**: 0..*<br>**To Cardinality**: 1 | |

### *Data*

| Nr | name | title | type_code | wms_url |
|---|---|---|---|---|
| 1 | parcels | Parcels::::ITALIANO | pojo | |
| 2 | pending-parcels | Pending parcels::::ITALIANO | pojo | |
| 3 | roads | Roads::::ITALIANO | pojo | |
| 4 | survey-controls | Survey controls::::ITALIANO | pojo | |
| 5 | place-names | Places names::::ITALIANO | pojo | |
| 6 | applications | Applications::::ITALIANO | pojo | |
| 7 | constructions | constructions::::ITALIANO | pojo | |
| 8 | segments | segments::::segments | pojo | |

| Nr | wms_layers | pojo_query_name |
|---|---|---|
| 1 | | SpatialResult.getParcels |
| 2 | | SpatialResult.getParcelsPending |
| 3 | | SpatialResult.getRoads |
| 4 | | SpatialResult.getSurveyControls |
| 5 | | SpatialResult.getPlaceNames |
| 6 | | SpatialResult.getApplications |
| 7 | | SpatialResult.getconstructions |
| 8 | | SpatialResult.getsegments |

| pojo_structure | pojo_query_name_for_select | shape_location | style |
|---|---|---|---|
| theGeom:Polygon,label:"" | dynamic.informationtool.get_parcel | | parcel.xml |
| theGeom:Polygon,label:"" | dynamic.informationtool.get_parcel_pending | | pending_parcels.x |
| theGeom:MultiPolygon,label:"" | dynamic.informationtool.get_road | | road.xml |
| theGeom:Point,label:"" | dynamic.informationtool.get_survey_control | | survey_control.xm |
| theGeom:Point,label:"" | dynamic.informationtool.get_place_name | | place_name.xml |
| theGeom:MultiPoint,label:"" | dynamic.informationtool.get_application | | application.xml |
| theGeom:Polygon,label:"" | dynamic.informationtool.get_construction | | construction.xml |
| theGeom:LineString,label:"" | dynamic.informationtool.get_segment | | segment.xml |

| Nr | active | item_order |
|---|---|---|
| 1 | true | 1 |
| 2 | true | 2 |

| | | |
|---|---|---|
| 3 | true | 7 |
| 4 | true | 8 |
| 5 | true | 5 |
| 6 | true | 6 |
| 7 | true | 3 |
| 8 | true | 4 |

# config_map_layer_type

Parameters for defining categories/types of map layers in FLOSS SOLA gis component

**LADM Reference Object**
FLOSS SOLA Extension

**LADM Definition**
Not Applicable

## *Columns*

| Name | Type | Optional | Default | Description |
|---|---|---|---|---|
| code | varchar(20) | False | | **SOLA Extension** - code identifying a config map layer type |
| display_value | varchar(250) | False | | **SOLA Extension** - displayed value of config map layer type |
| status | char(1) | False | | **SOLA Extension** - status of an instance of config map layer type |
| description | varchar(555) | True | | **SOLA Extension** - description of config map layer type |

## *Constraints*

| Name | Type | Explanation |
|---|---|---|
| config_map_layer_type_display_value_unique | UNIQUE | Combination of (display_value) is unique |
| config_map_layer_type_pkey | PRIMARY KEY | Combination of (code) is the primary key |

## *Relationships (to)*

| Name | Information | Description |
|---|---|---|
| config_map_layer_type_code_fk53 | **From columns**: type_code<br>**From Entity**: config_map_layer<br>**From cardinality**: 0..*<br>**To Cardinality**: 1 | FLOSS SOLA relationship - no refinement |

## *Data*

| Nr | code | display_value | status | description |
|---|---|---|---|---|
| 1 | wms | WMS server with layers::::Server WMS con layer | c | |
| 2 | shape | Shapefile::::Shapefile | c | |
| 3 | pojo | Pojo layer::::Pojo layer | c | |

# query

It defines a query that can be executed by the search ejb.

## *Columns*

| Name | Type | Optional | Default | Description |
|---|---|---|---|---|
| name | varchar(100) | False | | Unique identifier for the query |
| sql | varchar(4000) | False | | Query definition |
| description | varchar(1000) | True | | Technical description about the query. |

## *Constraints*

| Name | Type | Explanation |
|---|---|---|
| query_pkey | PRIMARY KEY | Combination of (name) is the primary key |

## *Relationships (to)*

| Name | Information | Description |
|---|---|---|
| query_field_query_name_fk105 | **From columns**: query_name<br>**From Entity**: query_field<br>**From cardinality**: 0..*<br>**To Cardinality**: 1 | |
| config_map_layer_pojo_query_name_fk106 | **From columns**: pojo_query_name<br>**From Entity**: config_map_layer<br>**From cardinality**: 1<br>**To Cardinality**: 1 | |
| config_map_layer_pojo_query_name_for_select_fk107 | **From columns**: pojo_query_name_for_select<br>**From Entity**: config_map_layer<br>**From cardinality**: 0..*<br>**To Cardinality**: 1 | |

## *Data*

| Nr | name |
|---|---|
| 1 | SpatialResult.getParcels |
| 2 | SpatialResult.getParcelsPending |
| 3 | SpatialResult.getSurveyControls |
| 4 | SpatialResult.getRoads |
| 5 | SpatialResult.getPlaceNames |
| 6 | SpatialResult.getApplications |
| 7 | dynamic.informationtool.get_parcel |
| 8 | dynamic.informationtool.get_parcel_pending |
| 9 | dynamic.informationtool.get_place_name |
| 10 | dynamic.informationtool.get_road |
| 11 | dynamic.informationtool.get_application |

| | |
|---|---|
| 12 | dynamic.informationtool.get_survey_control |
| 13 | SpatialResult.getconstructions |
| 14 | dynamic.informationtool.get_construction |
| 15 | SpatialResult.getsegments |
| 16 | dynamic.informationtool.get_segment |

| Nr | sql | description |
|---|---|---|
| 1 | select co.id, co.name_firstpart \|\| '/' \|\| co.name_lastpart as label, st_asewkb(co.geom_polygon) as the_geom from cadastre.cadastre_object co where type_code= 'parcel' and status_code= 'current' and ST_Intersects(co.geom_polygon, SetSRID(ST_MakeBox3D(ST_Point(#{minx}, #{miny}),ST_Point(#{maxx}, #{maxy})), #{srid})) | |
| 2 | select co.id, co.name_firstpart \|\| '/' \|\| co.name_lastpart as label, st_asewkb(co.geom_polygon) as the_geom,co.map_sheet_id,co.parcel_type from cadastre.cadastre_object co where type_code= 'parcel' and status_code= 'pending' and ST_Intersects(co.geom_polygon, SetSRID(ST_MakeBox3D(ST_Point(#{minx}, #{miny}),ST_Point(#{maxx}, #{maxy})), #{srid})) union select co.id, co.name_firstpart \|\| '/' \|\| co.name_lastpart as label, st_asewkb(co_t.geom_polygon) as the_geom,co.map_sheet_id,co.parcel_type from cadastre.cadastre_object co inner join cadastre.cadastre_object_target co_t on co.id = co_t.cadastre_object_id and co_t.geom_polygon is not null where ST_Intersects(co_t.geom_polygon, SetSRID(ST_MakeBox3D(ST_Point(#{minx}, #{miny}),ST_Point(#{maxx}, #{maxy})), #{srid})) and co_t.transaction_id in (select id from transaction.transaction where status_code not in ('approved')) | |
| 3 | select id, label, st_asewkb(geom) as the_geom from cadastre.survey_control where ST_Intersects(geom, SetSRID(ST_MakeBox3D(ST_Point(#{minx}, #{miny}),ST_Point(#{maxx}, #{maxy})), #{srid})) | |
| 4 | select id, label, st_asewkb(geom) as the_geom from cadastre.road where ST_Intersects(geom, SetSRID(ST_MakeBox3D(ST_Point(#{minx}, #{miny}),ST_Point(#{maxx}, #{maxy})), #{srid})) | |
| 5 | select id, label, st_asewkb(geom) as the_geom from cadastre.place_name where ST_Intersects(geom, SetSRID(ST_MakeBox3D(ST_Point(#{minx}, #{miny}),ST_Point(#{maxx}, #{maxy})), #{srid})) | |
| 6 | select id, nr as label, st_asewkb(location) as the_geom from application.application where ST_Intersects(location, SetSRID(ST_MakeBox3D(ST_Point(#{minx}, #{miny}),ST_Point(#{maxx}, #{maxy})), #{srid})) | |

| | | |
|---|---|---|
| 7 | select co.id, co.name_firstpart \|\| '/' \|\| co.name_lastpart as parcel_nr, (select string_agg(ba.name_firstpart \|\| '/' \|\| ba.name_lastpart, ',') from administrative.ba_unit_contains_spatial_unit bas, administrative.ba_unit ba where spatial_unit_id= co.id and bas.ba_unit_id= ba.id) as ba_units, ( SELECT spatial_value_area.size FROM cadastre.spatial_value_area WHERE spatial_value_area.type_code='officialArea' and spatial_value_area.spatial_unit_id = co.id) AS area_official_sqm, st_asewkb(co.geom_polygon) as the_geom from cadastre.cadastre_object co where type_code= 'parcel' and status_code= 'current' and ST_Intersects(co.geom_polygon, ST_SetSRID(ST_GeomFromWKB(#{wkb_geom}), #{srid})) | |
| 8 | select co.id, co.name_firstpart \|\| '/' \|\| co.name_lastpart as parcel_nr, ( SELECT spatial_value_area.size FROM cadastre.spatial_value_area WHERE spatial_value_area.type_code='officialArea' and spatial_value_area.spatial_unit_id = co.id) AS area_official_sqm, st_asewkb(co.geom_polygon) as the_geom from cadastre.cadastre_object co where type_code= 'parcel' and ((status_code= 'pending' and ST_Intersects(co.geom_polygon, ST_SetSRID(ST_GeomFromWKB(#{wkb_geom}), #{srid}))) or (co.id in (select cadastre_object_id from cadastre.cadastre_object_target co_t inner join transaction.transaction t on co_t.transaction_id=t.id where ST_Intersects(co_t.geom_polygon, ST_SetSRID(ST_GeomFromWKB(#{wkb_geom}), #{srid})) and t.status_code not in ('approved')))) | |
| 9 | select id, label, st_asewkb(geom) as the_geom from cadastre.place_name where ST_Intersects(geom, ST_SetSRID(ST_GeomFromWKB(#{wkb_geom}), #{srid})) | |
| 10 | select id, label, st_asewkb(geom) as the_geom from cadastre.road where ST_Intersects(geom, ST_SetSRID(ST_GeomFromWKB(#{wkb_geom}), #{srid})) | |
| 11 | select id, nr, st_asewkb(location) as the_geom from application.application where ST_Intersects(location, ST_SetSRID(ST_GeomFromWKB(#{wkb_geom}), #{srid})) | |
| 12 | select id, label, st_asewkb(geom) as the_geom from cadastre.survey_control where ST_Intersects(geom, ST_SetSRID(ST_GeomFromWKB(#{wkb_geom}), #{srid})) | |
| 13 | select cid, id,constype, st_asewkb(geom_polygon) as the_geom from cadastre.construction where ST_Intersects(geom_polygon, SetSRID(ST_MakeBox3D(ST_Point(#{minx}, #{miny}),ST_Point(#{maxx}, #{maxy})), #{srid})) | |
| 14 | select cid, id,constype, st_asewkb(geom_polygon) as the_geom from cadastre.construction where ST_Intersects(geom_polygon, ST_SetSRID(ST_GeomFromWKB(#{wkb_geom}), #{srid})) | |

| | | |
|---|---|---|
| 15 | select sid,id,bound_type,segno,shape_length, st_asewkb(the_geom) as the_geom from cadastre.segments where ST_Intersects(the_geom, SetSRID(ST_MakeBox3D(ST_Point(#{minx}, #{miny}),ST_Point(#{maxx}, #{maxy})), #{srid})) | |
| 16 | select sid, id,bound_type,segno,shape_length, st_asewkb(the_geom) as the_geom from cadastre.segments where ST_Intersects(the_geom, ST_SetSRID(ST_GeomFromWKB(#{wkb_geom}), #{srid})) | |

# br

In this table there are defined the business rules that are used in the system.

## *Columns*

| Name | Type | Optional | Default | Description |
|---|---|---|---|---|
| id | varchar(100) | False | | The name of the business rule |
| display_name | varchar(250) | False | uuid_generate_v1() | This is a compact identifier for the business rule. |
| technical_type_code | varchar(20) | False | | The implementation type of the rule. This defines also which engine must interpret the rule. |
| feedback | varchar(2000) | True | | A message that will be sent to the user if the rule is broken. It is not always relevant. |
| description | varchar(1000) | True | | Here it comes description about the rule for the end-user. |
| technical_description | varchar(1000) | True | | This is a description aimed for developers. Here it should come also description about parameters used for the rule. |
| office_code | varchar(20) | True | | |

## *Constraints*

| Name | Type | Explanation |
|---|---|---|
| br_display_name_unique | UNIQUE | Combination of (display_name) is unique |
| br_pkey | PRIMARY KEY | Combination of (id) is the primary key |

## *Relationships (from)*

| Name | Information | Description |
|---|---|---|
| br_technical_type_code_fk56 | **From columns**: technical_type_code<br>**To Entity**: br_technical_type<br>**From cardinality**: 0..*<br>**To Cardinality**: 1 | |
| br_office_code_fk134 | **From columns**: office_code<br>**To Entity**: office<br>**From cardinality**: 0..*<br>**To Cardinality**: 0..1 | |

## *Relationships (to)*

| Name | Information | Description |
|---|---|---|
| br_validation_br_id_fk57 | **From columns**: br_id<br>**From Entity**: br_validation<br>**From cardinality**: 0..*<br>**To Cardinality**: 1 | |

| | | |
|---|---|---|
| br_definition_br_id_fk58 | **From columns**: br_id<br>**From Entity**: br_definition<br>**From cardinality**: 0..*<br>**To Cardinality**: 1 | |

# br_technical_type

Here are specified the types of techincal implementations of the business rule.

## *Columns*

| Name | Type | Optional | Default | Description |
|---|---|---|---|---|
| code | varchar(20) | False | | The code |
| display_value | varchar(250) | False | | The value that will be displayed to the user |
| status | char(1) | False | | The status of this code itself. |
| description | varchar(555) | True | | Description |

## *Constraints*

| Name | Type | Explanation |
|---|---|---|
| br_technical_type_display_value_unique | UNIQUE | Combination of (display_value) is unique |
| br_technical_type_pkey | PRIMARY KEY | Combination of (code) is the primary key |

## *Relationships (to)*

| Name | Information | Description |
|---|---|---|
| br_technical_type_code_fk56 | **From columns**: technical_type_code<br>**From Entity**: br<br>**From cardinality**: 0..*<br>**To Cardinality**: 1 | |

## *Data*

| Nr | code | display_value | status | description |
|---|---|---|---|---|
| 1 | sql | SQL::::SQL | c | The rule definition is based in sql and it is executed by the database engine. |
| 2 | drools | Drools::::Drools | c | The rule definition is based on Drools engine. |

# br_validation

In this table are defined the sets of rules that has to be executed.If for a rule there is not target moment specified, then the rule will not be part of the set.

## *Columns*

| Name | Type | Optional | Default | Description |
|---|---|---|---|---|
| id | varchar(40) | False | uuid_generate_v1() | This is a meaningless identifier for the rule. |
| br_id | varchar(100) | False | | Name of the business rule |
| target_code | varchar(20) | False | | The type of the target of the the validation. |
| target_application_moment | varchar(20) | True | | The moment of execution of the rule if the target is the application. |
| target_service_moment | varchar(20) | True | | The moment of execution of the rule if the target is the service. |
| target_reg_moment | varchar(20) | True | | The moment of execution of the rule if the target is the ba_unit, rrr or cadastre_object. |
| target_request_type_code | varchar(20) | True | | If the target is a request type then here is given which is the request type. If this is null the business rule will be relevant for all services. |
| target_rrr_type_code | varchar(20) | True | | If the target is a registration on RRR then here is given the rrr type. If this is null the business rule validation will be valid for all rrr-s. |
| severity_code | varchar(20) | False | | Severity of the failure of the business rule. |
| order_of_execution | integer | False | 0 | The order of the execution of the rule. |

## *Constraints*

| Name | Type | Explanation |
|---|---|---|
| br_validation_service_request_type_valid | CHECK | Rule (target_request_type_code is null or (target_request_type_code is not null and target_code != 'application')) must be true It checks if the target_request_type_code is provided then the target_code must not be of value 'application'. |
| br_validation_rrr_rrr_type_valid | CHECK | Rule (target_rrr_type_code is null or (target_rrr_type_code is not null and target_code = 'rrr')) must be true It checks if the target_rrr_type_code is provided then the target_code must be of value 'rrr'. |
| br_validation_app_moment_unique | UNIQUE | Combination of (br_id, target_code, target_application_moment) is unique |
| br_validation_service_moment_unique | UNIQUE | Combination of (br_id, target_code, target_service_moment) is unique |
| br_validation_reg_moment_unique | UNIQUE | Combination of (br_id, target_code, target_reg_moment) is unique |
| br_validation_service_moment_valid | CHECK | Rule (target_code!= 'service' or (target_code = 'service' and target_application_moment is null and target_reg_moment is null)) must be true |
| br_validation_application_moment_valid | CHECK | Rule (target_code!= 'application' or (target_code = 'application' and target_service_moment is null and target_reg_moment is null)) must be true |

| | | |
|---|---|---|
| br_validation_reg_moment_valid | CHECK | Rule (target_code in ( 'application', 'service') or (target_code not in ( 'application', 'service') and target_service_moment is null and target_application_moment is null)) must be true |
| br_validation_pkey | PRIMARY KEY | Combination of (id) is the primary key |

### *Relationships (from)*

| Name | Information | Description |
|---|---|---|
| br_validation_br_id_fk57 | **From columns**: br_id<br>**To Entity**: br<br>**From cardinality**: 0..*<br>**To Cardinality**: 1 | |
| br_validation_severity_code_fk59 | **From columns**: severity_code<br>**To Entity**: br_severity_type<br>**From cardinality**: 0..*<br>**To Cardinality**: 1 | |
| br_validation_target_code_fk60 | **From columns**: target_code<br>**To Entity**: br_validation_target_type<br>**From cardinality**: 0..*<br>**To Cardinality**: 1 | |
| br_validation_target_rrr_type_code_fk61 | **From columns**: target_rrr_type_code<br>**To Entity**: rrr_type<br>**From cardinality**: 0..*<br>**To Cardinality**: 0..1 | |
| br_validation_target_application_moment_fk102 | **From columns**: target_application_moment<br>**To Entity**: application_action_type<br>**From cardinality**: 0..*<br>**To Cardinality**: 0..1 | |
| br_validation_target_service_moment_fk103 | **From columns**: target_service_moment<br>**To Entity**: service_action_type<br>**From cardinality**: 0..*<br>**To Cardinality**: 0..1 | |
| br_validation_target_reg_moment_fk104 | **From columns**: target_reg_moment<br>**To Entity**: reg_status_type<br>**From cardinality**: 0..*<br>**To Cardinality**: 0..1 | |

# br_severity_type

These are the types of severity of the business rules within the context of there use.

## *Columns*

| Name | Type | Optional | Default | Description |
|---|---|---|---|---|
| code | varchar(20) | False | | The code |
| display_value | varchar(250) | False | | The value that will be displayed to the user |
| status | char(1) | False | | The status of this code itself. |
| description | varchar(555) | True | | Description |

## *Constraints*

| Name | Type | Explanation |
|---|---|---|
| br_severity_type_display_value_unique | UNIQUE | Combination of (display_value) is unique |
| br_severity_type_pkey | PRIMARY KEY | Combination of (code) is the primary key |

## *Relationships (to)*

| Name | Information | Description |
|---|---|---|
| br_validation_severity_code_fk59 | **From columns**: severity_code<br>**From Entity**: br_validation<br>**From cardinality**: 0..*<br>**To Cardinality**: 1 | |

## *Data*

| Nr | code | display_value | status | description |
|---|---|---|---|---|
| 1 | critical | Critical | c | |
| 2 | medium | Medium | c | |
| 3 | warning | Warning | c | |

# br_validation_target_type

The potential targets of the validation rules.

## *Columns*

| Name | Type | Optional | Default | Description |
|---|---|---|---|---|
| code | varchar(20) | False | | The code |
| display_value | varchar(250) | False | | The value that will be displayed to the user |
| status | char(1) | False | | The status of this code itself. |
| description | varchar(555) | True | | Description |

## *Constraints*

| Name | Type | Explanation |
|---|---|---|
| br_validation_target_type_display_value_unique | UNIQUE | Combination of (display_value) is unique |
| br_validation_target_type_pkey | PRIMARY KEY | Combination of (code) is the primary key |

## *Relationships (to)*

| Name | Information | Description |
|---|---|---|
| br_validation_target_code_fk60 | **From columns**: target_code<br>**From Entity**: br_validation<br>**From cardinality**: 0..*<br>**To Cardinality**: 1 | |

## *Data*

| Nr | code | display_value | status | description |
|---|---|---|---|---|
| 1 | application | Application::::ITALIANO | c | The target of the validation is the application. It accepts one parameter {id} which is the application id. |
| 2 | service | Service::::ITALIANO | c | The target of the validation is the service. It accepts one parameter {id} which is the service id. |
| 3 | rrr | Right or Restriction::::ITALIANO | c | The target of the validation is the rrr. It accepts one parameter {id} which is the rrr id. |
| 4 | ba_unit | Administrative Unit::::ITALIANO | c | The target of the validation is the ba_unit. It accepts one parameter {id} which is the ba_unit id. |
| 5 | source | Source::::ITALIANO | c | The target of the validation is the source. It accepts one parameter {id} which is the source id. |
| 6 | cadastre_object | Cadastre Object::::ITALIANO | c | The target of the validation is the transaction related with the cadastre change. It accepts one parameter {id} which is the transaction id. |

# br_definition

## *Columns*

| Name | Type | Optional | Default | Description |
|---|---|---|---|---|
| br_id | varchar(100) | False | | |
| active_from | date | False | | |
| active_until | date | False | 'infinity' | The date until this rule is active. |
| body | varchar(4000) | False | | The definition of the rule. The interpretation of the definition is done from the rule engine in use. |

## *Constraints*

| Name | Type | Explanation |
|---|---|---|
| br_definition_pkey | PRIMARY KEY | Combination of (br_id,active_from) is the primary key |

## *Relationships (from)*

| Name | Information | Description |
|---|---|---|
| br_definition_br_id_fk58 | **From columns**: br_id<br>**To Entity**: br<br>**From cardinality**: 0..*<br>**To Cardinality**: 1 | |

# approle

This table contains list of security roles, used to restrict access to the different parts of application, both on server and client side.

## *Columns*

| Name | Type | Optional | Default | Description |
|---|---|---|---|---|
| code | varchar(20) | False | | The code |
| display_value | varchar(250) | False | | The value that will be displayed to the user |
| status | char(1) | False | | The status of this code itself. |
| description | varchar(555) | True | | Description |

## *Constraints*

| Name | Type | Explanation |
|---|---|---|
| approle_display_value_unique | UNIQUE | Combination of (display_value) is unique |
| approle_pkey | PRIMARY KEY | Combination of (code) is the primary key |

## *Relationships (to)*

| Name | Information | Description |
|---|---|---|
| approle_appgroup_approle_code_fk98 | **From columns**: approle_code<br>**From Entity**: approle_appgroup<br>**From cardinality**: 0..*<br>**To Cardinality**: 1 | |

## *Data*

| Nr | code | display_value | status | description |
|---|---|---|---|---|
| 1 | DashbrdViewAssign | View Assigned Applications | c | View Assigned Applications in Dashboard |
| 2 | DashbrdViewUnassign | View Unassigned Applications | c | View Unassigned Applications in Dashboard |
| 3 | DashbrdViewOwn | View Own Applications | c | View Applications assigned to user in Dashboard |
| 4 | ApplnView | Search and View Applications | c | Search and view applications |
| 5 | ApplnCreate | Lodge new Applications | c | Lodge new Applications |
| 6 | ApplnStatus | Generate and View Status Report | c | Generate and View Status Report |
| 7 | ApplnAssignDeprt | Assign Applications to Department staff | c | Able to assign (unassigned) applications to department staff |

| | | | | |
|---|---|---|---|---|
| 8 | ApplnUnassignSelf | Unassign Applications to Self | c | Able to unassign (assigned) applications from yourself |
| 9 | ApplnAssignAll | Assign Applications to all users in office | c | Able to assign (unassigned) applications to any user in office |
| 10 | ApplnUnassignOthers | Unassign Applications to Others | c | Able to unassign (assigned) applications to other users |
| 11 | StartService | Start Service | c | Start Service |
| 12 | CompleteService | Complete Service | c | Complete Service (prior to approval) |
| 13 | CancelService | Cancel Service | c | Cancel Service |
| 14 | RevertService | Revert Service | c | Revert previously Complete Service |
| 15 | ApplnRequisition | Requisition application and request | c | Request further information from applicant |
| 16 | ApplnResubmit | Resubmit Application | c | Resubmit (requisitioned) application |
| 17 | ApplnApprove | Approve Application | c | Approve Application |
| 18 | ApplnWithdraw | Withdraw Application | c | Applicant withdraws their application |
| 19 | ApplnReject | Reject Application | c | Land Office rejects an application |
| 20 | ApplnValidate | Validate Application | c | User manually runs validation rules for application |
| 21 | ApplnDespatch | Despatch Application | c | Despatch any documents to be returned to applicant and any certificates/reports/map prints requested by applicant |
| 22 | ApplnArchive | Archive Application | c | Paper Application File is stored in Land Office Archive |
| 23 | BaunitSave | Create or Modify BA Unit | c | Create or Modify BA Unit (Property) |
| 24 | BauunitrrrSave | Create or Modify Rights or Restrictions | c | Create or Modify Rights or Restrictions |
| 25 | BaunitParcelSave | Create or Modify (BA Unit) Parcels | c | Create or Modify (BA Unit) Parcels |
| 26 | BaunitNotatSave | Create or Modify (BA Unit) Notations | c | Create or Modify (BA Unit) Notations |
| 27 | BaunitCertificate | Generate and Print (BA Unit) Certificate | c | Generate and Print (BA Unit) Certificate |
| 28 | BaunitSearch | Search BA Unit | c | Search BA Unit |

| | | | | |
|---|---|---|---|---|
| 29 | TransactionCommit | Approve (and Cancel) Transaction | c | Approve (and Cancel) Transaction |
| 30 | ViewMap | View Cadastral Map | c | View Cadastral Map |
| 31 | PrintMap | Print Map | c | Print Map |
| 32 | ParcelSave | Create or modify (Cadastre) Parcel | c | Create or modify (Cadastre) Parcel |
| 33 | PartySave | Create or modify Party | c | Create or modify Party |
| 34 | SourceSave | Create or modify Source | c | Create or modify Source |
| 35 | SourceSearch | Search Sources | c | Search sources |
| 36 | SourcePrint | Print Sources | c | Print Source |
| 37 | ReportGenerate | Generate and View Reports | c | Generate and View reports |
| 38 | ArchiveApps | Archive applications | c | Archive applications |
| 39 | ManageSecurity | Manage users, groups and roles | c | Manage users, groups and roles |
| 40 | ManageRefdata | Manage reference data | c | Manage reference data |
| 41 | ManageSettings | Manage system settings | c | Manage system settings |
| 42 | ApplnEdit | Application Edit | c | Allows editing of Applications |
| 43 | ManageBR | Manage business rules | c | Allows to manage business rules |
| 44 | MapSheetSave | Manage office map sheets | c | Manage map sheets in the current office |
| 45 | ParcelDetailsSave | Change parcel details | c | Change parcel details, except spatial data |

# approle_appgroup

This many-to-many table contains groups, related to security roles. Allows to have multiple roles for one group.

## *Columns*

| Name | Type | Optional | Default | Description |
|---|---|---|---|---|
| approle_code | varchar(20) | False | | |
| appgroup_id | varchar(40) | False | | |

## *Constraints*

| Name | Type | Explanation |
|---|---|---|
| approle_appgroup_pkey | PRIMARY KEY | Combination of (approle_code,appgroup_id) is the primary key |

## *Relationships (from)*

| Name | Information | Description |
|---|---|---|
| approle_appgroup_approle_code_fk98 | **From columns**: approle_code<br>**To Entity**: approle<br>**From cardinality**: 0..*<br>**To Cardinality**: 1 | |
| approle_appgroup_appgroup_id_fk99 | **From columns**: appgroup_id<br>**To Entity**: appgroup<br>**From cardinality**: 0..*<br>**To Cardinality**: 1 | |

## *Data*

| Nr | approle_code | appgroup_id |
|---|---|---|
| 1 | DashbrdViewAssign | super-group-id |
| 2 | DashbrdViewUnassign | super-group-id |
| 3 | DashbrdViewOwn | super-group-id |
| 4 | ApplnView | super-group-id |
| 5 | ApplnCreate | super-group-id |
| 6 | ApplnStatus | super-group-id |
| 7 | ApplnAssignDeprt | super-group-id |
| 8 | ApplnUnassignSelf | super-group-id |
| 9 | ApplnAssignAll | super-group-id |
| 10 | ApplnUnassignOthers | super-group-id |
| 11 | MapSheetSave | super-group-id |
| 12 | ParcelDetailsSave | super-group-id |

# appgroup

This table contains list of groups, which are used to group users with similar rights in the system.

## *Columns*

| Name | Type | Optional | Default | Description |
|---|---|---|---|---|
| id | varchar(40) | False | | |
| name | varchar(300) | False | | |
| description | varchar(500) | True | | |

## *Constraints*

| Name | Type | Explanation |
|---|---|---|
| appgroup_name_unique | UNIQUE | Combination of (name) is unique |
| appgroup_pkey | PRIMARY KEY | Combination of (id) is the primary key |

## *Relationships (to)*

| Name | Information | Description |
|---|---|---|
| appuser_appgroup_appgroup_id_fk97 | **From columns**: appgroup_id<br>**From Entity**: appuser_appgroup<br>**From cardinality**: 0..*<br>**To Cardinality**: 1 | |
| approle_appgroup_appgroup_id_fk99 | **From columns**: appgroup_id<br>**From Entity**: approle_appgroup<br>**From cardinality**: 0..*<br>**To Cardinality**: 1 | |

## *Data*

| Nr | id | name | description |
|---|---|---|---|
| 1 | super-group-id | Super group | This is a group of users that has right in anything. It is used in developement. In production must be removed. |

# appuser_appgroup

This many-to-many table contains users, related to groups. Allows to have multiple groups for one user.

## *Columns*

| Name | Type | Optional | Default | Description |
|---|---|---|---|---|
| appuser_id | varchar(40) | False | | |
| appgroup_id | varchar(40) | False | | |

## *Constraints*

| Name | Type | Explanation |
|---|---|---|
| appuser_appgroup_pkey | PRIMARY KEY | Combination of (appuser_id,appgroup_id) is the primary key |

## *Relationships (from)*

| Name | Information | Description |
|---|---|---|
| appuser_appgroup_appuser_id_fk96 | **From columns**: appuser_id<br>**To Entity**: appuser<br>**From cardinality**: 0..*<br>**To Cardinality**: 1 | |
| appuser_appgroup_appgroup_id_fk97 | **From columns**: appgroup_id<br>**To Entity**: appgroup<br>**From cardinality**: 0..*<br>**To Cardinality**: 1 | |

## *Data*

| Nr | appuser_id | appgroup_id |
|---|---|---|
| 1 | test-id | super-group-id |

# query_field

It defines a field in the query. The field is returned by the select part.Not for all queries is needed to define the fields. It becomes important only for queries that will need to have fields that has to be localized.

## *Columns*

| Name | Type | Optional | Default | Description |
|---|---|---|---|---|
| query_name | varchar(100) | False | | Query identifier |
| index_in_query | integer | False | | |
| name | varchar(100) | False | | The index of the field in the query. The index is zero based. It should not exeed the number of fields in the select part of the query. |
| display_value | varchar(200) | True | | The title of the field to be used in the query. It can be localized. |

## *Constraints*

| Name | Type | Explanation |
|---|---|---|
| query_field_display_value | UNIQUE | Combination of (query_name, display_value) is unique |
| query_field_name | UNIQUE | Combination of (query_name, name) is unique |
| query_field_pkey | PRIMARY KEY | Combination of (query_name,index_in_query) is the primary key |

## *Relationships (from)*

| Name | Information | Description |
|---|---|---|
| query_field_query_name_fk105 | **From columns**: query_name<br>**To Entity**: query<br>**From cardinality**: 0..*<br>**To Cardinality**: 1 | |

## *Data*

| Nr | query_name | index_in_query |
|---|---|---|
| 1 | dynamic.informationtool.get_parcel | 1 |
| 2 | dynamic.informationtool.get_parcel | 2 |
| 3 | dynamic.informationtool.get_parcel | 3 |
| 4 | dynamic.informationtool.get_parcel | 0 |
| 5 | dynamic.informationtool.get_parcel | 4 |
| 6 | dynamic.informationtool.get_parcel_pending | 0 |
| 7 | dynamic.informationtool.get_parcel_pending | 1 |
| 8 | dynamic.informationtool.get_parcel_pending | 2 |
| 9 | dynamic.informationtool.get_parcel_pending | 3 |
| 10 | dynamic.informationtool.get_place_name | 0 |
| 11 | dynamic.informationtool.get_place_name | 1 |
| 12 | dynamic.informationtool.get_place_name | 2 |

| | | |
|---|---|---|
| 13 | dynamic.informationtool.get_road | 0 |
| 14 | dynamic.informationtool.get_road | 1 |
| 15 | dynamic.informationtool.get_road | 2 |
| 16 | dynamic.informationtool.get_application | 0 |
| 17 | dynamic.informationtool.get_application | 1 |
| 18 | dynamic.informationtool.get_application | 2 |
| 19 | dynamic.informationtool.get_survey_control | 0 |
| 20 | dynamic.informationtool.get_survey_control | 1 |
| 21 | dynamic.informationtool.get_survey_control | 2 |
| 22 | dynamic.informationtool.get_construction | 0 |
| 23 | dynamic.informationtool.get_construction | 1 |
| 24 | dynamic.informationtool.get_construction | 2 |
| 25 | dynamic.informationtool.get_construction | 3 |
| 26 | dynamic.informationtool.get_segment | 0 |
| 27 | dynamic.informationtool.get_segment | 1 |
| 28 | dynamic.informationtool.get_segment | 2 |
| 29 | dynamic.informationtool.get_segment | 3 |
| 30 | dynamic.informationtool.get_segment | 4 |

| Nr | name | display_value |
|---|---|---|
| 1 | parcel_nr | Parcel number::::ITALIANO |
| 2 | ba_units | Properties::::ITALIANO |
| 3 | area_official_sqm | Official area (m2)::::ITALIANO |
| 4 | id | |
| 5 | the_geom | |
| 6 | id | |
| 7 | parcel_nr | Parcel number::::ITALIANO |
| 8 | area_official_sqm | Official area (m2)::::ITALIANO |
| 9 | the_geom | |
| 10 | id | |
| 11 | label | Name::::Nome |
| 12 | the_geom | |
| 13 | id | |
| 14 | label | Name::::Nome |
| 15 | the_geom | |
| 16 | id | |
| 17 | nr | Number::::Numero |
| 18 | the_geom | |
| 19 | id | |
| 20 | label | Label::::ITALIANO |
| 21 | the_geom | |

| | | |
|---|---|---|
| 22 | cid | Const. ID::::Const.ID |
| 23 | id | Parcel ID::::Parcel ID |
| 24 | constype | Construction type::::Construction type |
| 25 | the_geom | |
| 26 | sid | Seg ID::::Seg ID |
| 27 | id | Parcel ID::::Parcel ID |
| 28 | bound_type | Boundary type::::Boundary type |
| 29 | shape_length | Shape Length::::Shape Length |
| 30 | the_geom | |

# np_calendar

Introduced in Nepal project.Used to reference Nepali year and month to do transformation between Nepali and Gregorian calendars

## *Columns*

| Name | Type | Optional | Default | Description |
|---|---|---|---|---|
| nep_year | integer | False | | |
| nep_month | integer | False | | |
| dayss | integer | True | | |

## *Constraints*

| Name | Type | Explanation |
|---|---|---|
| np_calendar_pkey | PRIMARY KEY | Combination of (nep_year,nep_month) is the primary key |

## *Data*

| Nr | nep_year | nep_month | dayss |
|---|---|---|---|
| 1 | 2064 | 1 | 31 |
| 2 | 2065 | 1 | 31 |
| 3 | 2066 | 1 | 31 |
| 4 | 2067 | 1 | 31 |
| 5 | 2068 | 1 | 31 |
| 6 | 2069 | 1 | 31 |
| 7 | 2070 | 1 | 31 |

# vdc_appuser

Introduced in Nepal project.Contains relations between user and VDC/Ward. Defines user access to these VDCs/Wards.

## *Columns*

| Name | Type | Optional | Default | Description |
|---|---|---|---|---|
| id | varchar(40) | False | | Primary key |
| vdc_code | varchar(20) | False | | VDC code |
| ward_no | varchar(10) | True | | Ward number |
| appuser_id | varchar(40) | False | | User ID. |

## *Constraints*

| Name | Type | Explanation |
|---|---|---|
| vdc_appuser_unique_vdc_ward_user | UNIQUE | Combination of (vdc_code, ward_no, appuser_id) is unique |
| vdc_appuser_pkey | PRIMARY KEY | Combination of (id) is the primary key |

## *Relationships (from)*

| Name | Information | Description |
|---|---|---|
| vdc_appuser_vdc_code_fk172 | **From columns**: vdc_code<br>**To Entity**: vdc<br>**From cardinality**: 0..*<br>**To Cardinality**: 1 | |
| vdc_appuser_appuser_id_fk173 | **From columns**: appuser_id<br>**To Entity**: appuser<br>**From cardinality**: 0..*<br>**To Cardinality**: 1 | |

# user_roles

This view is used to retrieve the roles of a user.

## *Columns*

| Name | Type | Optional | Default | Description |
|---|---|---|---|---|

# br_current

It retrieves the active business rules.

## *Columns*

| Name | Type | Optional | Default | Description |
|---|---|---|---|---|

# br_report

This view is used in a report to document the business rules.

## *Columns*

| Name | Type | Optional | Default | Description |
|---|---|---|---|---|

# address

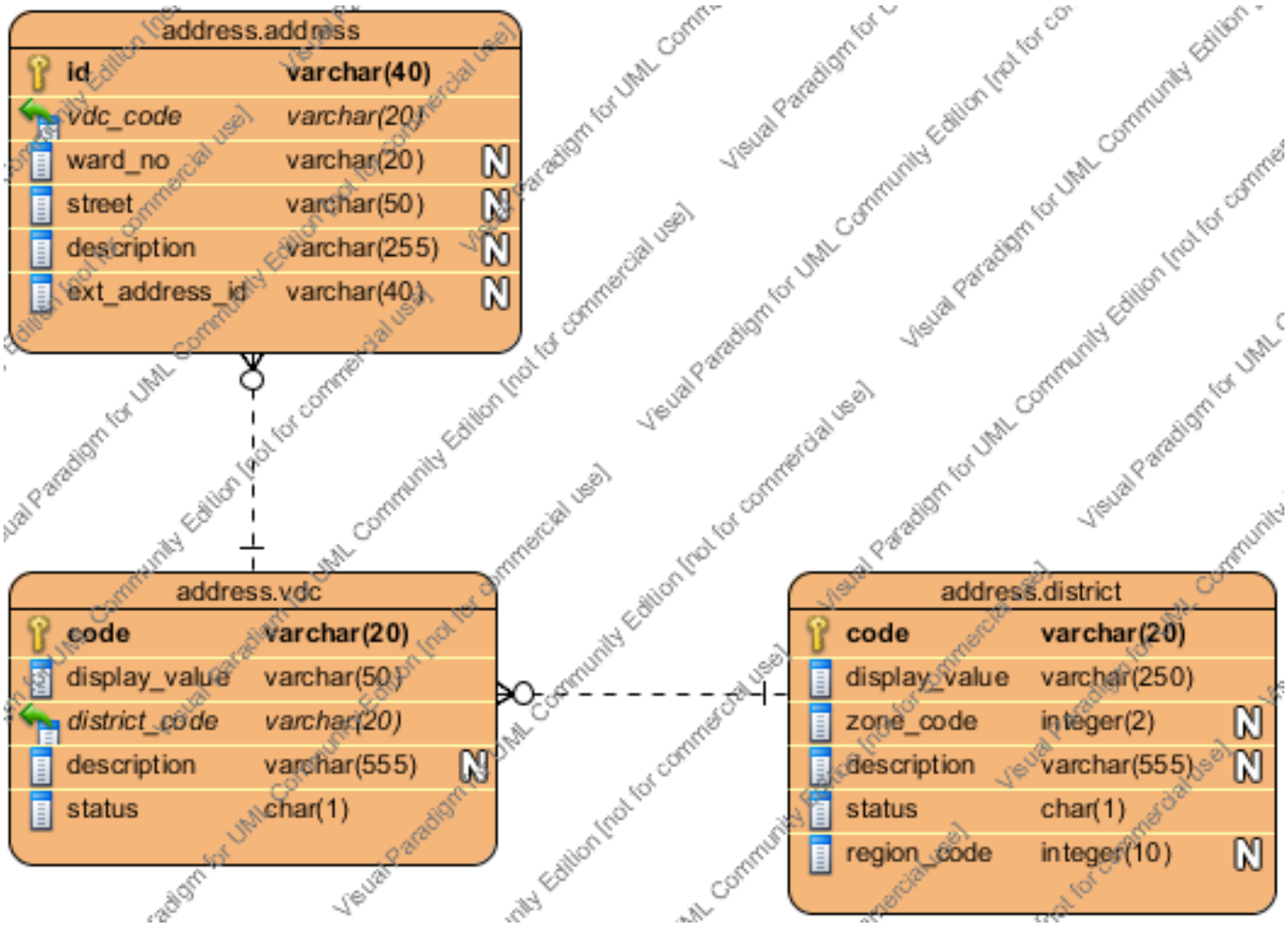


## district

Introduced in Nepal project.List of districts

### *Columns*

| Name | Type | Optional | Default | Description |
|---|---|---|---|---|
| code | varchar(20) | False | | |
| display_value | varchar(250) | False | | |
| zone_code | integer | True | | |
| description | varchar(555) | True | | |
| status | char(1) | False | 'c' | |
| region_code | integer | True | | Region code |

### *Constraints*

| Name | Type | Explanation |
|---|---|---|

| | | |
|---|---|---|
| district_pkey | PRIMARY KEY | Combination of (code) is the primary key |

### *Relationships (to)*

| Name | Information | Description |
|---|---|---|
| office_district_code_fk119 | **From columns**: district_code<br>**From Entity**: office<br>**From cardinality**: 0..*<br>**To Cardinality**: 1 | |
| vdc_district_code_fk120 | **From columns**: district_code<br>**From Entity**: vdc<br>**From cardinality**: 0..*<br>**To Cardinality**: 1 | |
| party_id_office_district_code_fk159 | **From columns**: id_office_district_code<br>**From Entity**: party<br>**From cardinality**: 0..*<br>**To Cardinality**: 0..1 | |

### *Data*

| Nr | code | display_value | zone_code | description | status | region_code |
|---|---|---|---|---|---|---|
| 1 | 25 | Lalitpur | 7 | | | |
| 2 | 27 | Bhaktpur | 7 | | | |

# address

Describes a postal or location addressLADM Reference ObjectFLOSS SOLA ExtensionLADM DefinitionNot Applicable

## *Columns*

| Name | Type | Optional | Default | Description |
|---|---|---|---|---|
| id | varchar(40) | False | | **SOLA Extension** - Address identifier |
| vdc_code | varchar(20) | False | | |
| ward_no | varchar(20) | True | | |
| street | varchar(50) | True | | |
| description | varchar(255) | True | | **SOLA Extension** - Description of an address |
| ext_address_id | varchar(40) | True | | **SOLA Extension** Identifier of an address referencing an external system. |

## *Constraints*

| Name | Type | Explanation |
|---|---|---|
| address_pkey | PRIMARY KEY | Combination of (id) is the primary key |

## *Relationships (from)*

| Name | Information | Description |
|---|---|---|
| address_vdc_code_fk140 | **From columns**: vdc_code<br>**To Entity**: vdc<br>**From cardinality**: 0..*<br>**To Cardinality**: 1 | |

## *Relationships (to)*

| Name | Information | Description |
|---|---|---|
| party_address_id_fk34 | **From columns**: address_id<br>**From Entity**: party<br>**From cardinality**: 0..*<br>**To Cardinality**: 0..1 | FLOSS SOLA relationship - no refinement |
| cadastre_object_address_id_fk155 | **From columns**: address_id<br>**From Entity**: cadastre_object<br>**From cardinality**: 1<br>**To Cardinality**: 0..1 | |

# vdc

Introduced in Nepal project.List of VDCs (village development commission)

## *Columns*

| Name | Type | Optional | Default | Description |
|---|---|---|---|---|
| code | varchar(20) | False | | |
| display_value | varchar(50) | False | | |
| district_code | varchar(20) | False | | |
| description | varchar(555) | True | | |
| status | char(1) | False | 'c' | |

## *Constraints*

| Name | Type | Explanation |
|---|---|---|
| vdc_pkey | PRIMARY KEY | Combination of (code) is the primary key |

## *Relationships (from)*

| Name | Information | Description |
|---|---|---|
| vdc_district_code_fk120 | **From columns**: district_code<br>**To Entity**: district<br>**From cardinality**: 0..*<br>**To Cardinality**: 1 | |

## *Relationships (to)*

| Name | Information | Description |
|---|---|---|
| moth_vdc_code_fk124 | **From columns**: vdc_code<br>**From Entity**: moth<br>**From cardinality**: 0..*<br>**To Cardinality**: 1 | |
| address_vdc_code_fk140 | **From columns**: vdc_code<br>**From Entity**: address<br>**From cardinality**: 0..*<br>**To Cardinality**: 1 | |
| vdc_appuser_vdc_code_fk172 | **From columns**: vdc_code<br>**From Entity**: vdc_appuser<br>**From cardinality**: 0..*<br>**To Cardinality**: 1 | |

## *Data*

| Nr | code | display_value | district_code | description | status |
|---|---|---|---|---|---|
| 1 | 43055 | Singana | 25 | Test VDC | c |
| 2 | 27009 | Mulpani | 27 | Mulpani | c |

# source

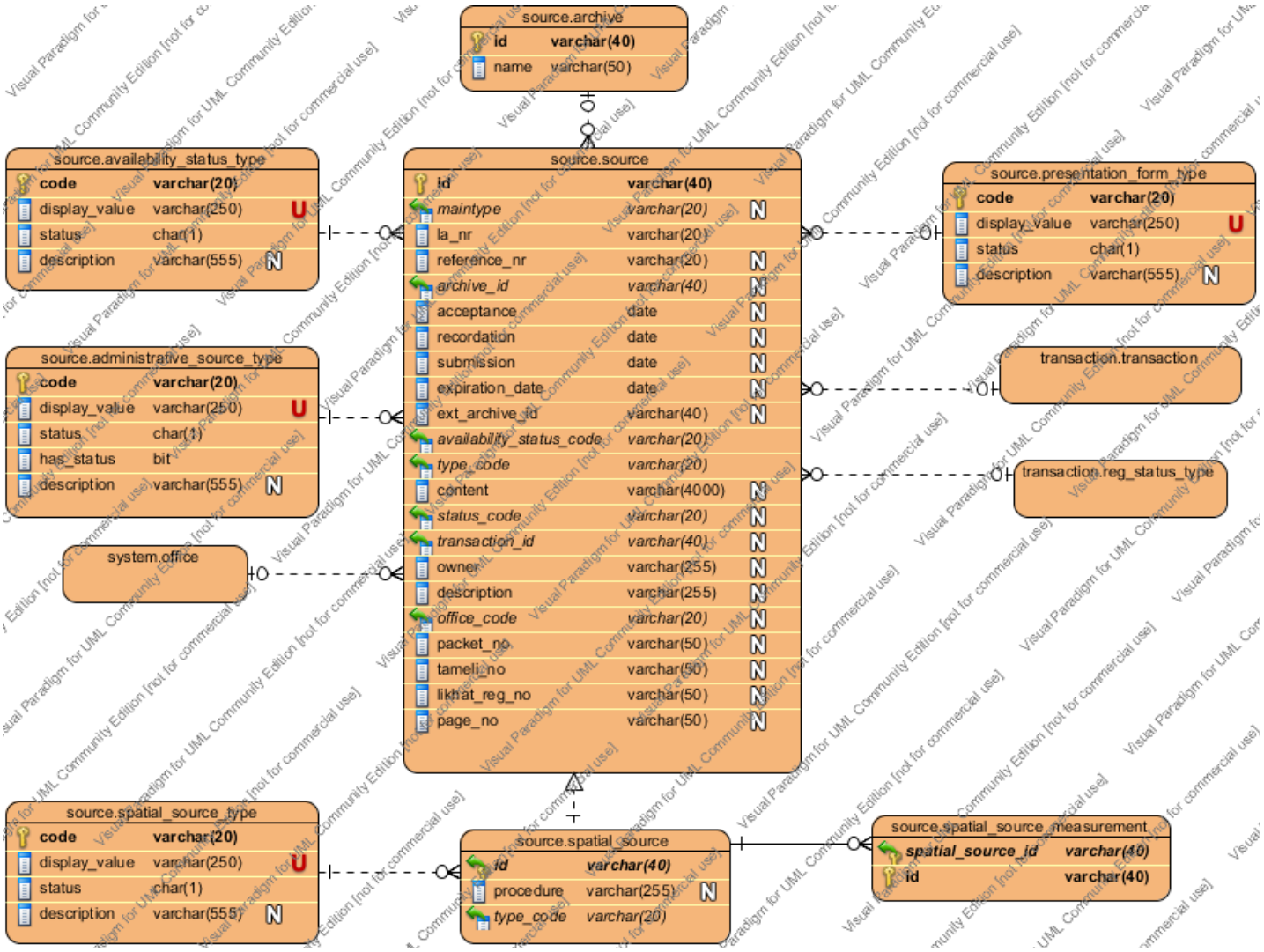


## source

Documents or recognised facts providing the basis for the recording of a registration, cadastre change, right, responsibility or administrative action performed by the land officeLADM Reference Object LA_SourceLADM DefinitionNot defined

### *Columns*

| Name | Type | Optional | Default | Description |
|---|---|---|---|---|
| id | varchar(40) | False | | **LADM Definition** - Source identifier |
| maintype | varchar(20) | True | | **LADM Definition** - The type of the representation of the content of the source. |
| la_nr | varchar(20) | False | | **SOLA Extension** - This number is given by the land administration office for their own administration. |
| reference_nr | varchar(20) | True | | **SOLA Extension** -This is the number as given by the external agency. |
| archive_id | varchar(40) | True | | **SOLA Extension** - The archive identifier of the source |

| | | | | |
|---|---|---|---|---|
| acceptance | date | True | | **LADM Definition** -The date of force of law of the source by an authority |
| recordation | date | True | | **LADM Definition** - The date of formalization by the source agency. |
| submission | date | True | now() | **LADM Definition** - The date of submission of the source by a party |
| expiration_date | date | True | | |
| ext_archive_id | varchar(40) | True | | **LADM Definition** -The identifier of a source in an external registration. This attribute is used to link the source with the document management system. |
| availability_status_code | varchar(20) | False | 'available' | **LADM Definition** - the code describing how available this source (document) is |
| type_code | varchar(20) | False | | **LADM Definition** - Type of the document (administrative_source) |
| content | varchar(4000) | True | | **LADM Definition** -Content of the source (administrative_source) |
| status_code | varchar(20) | True | | The status of the document. For some documents is important to know if the document is valid or not. |
| transaction_id | varchar(40) | True | | The transaction that brought the document in the system. This is not valid for all documents but for some of them. There are request types that bring only documents in the system without involving a ba unit. In this case is important to know which transaction brought this document in order to handle it within transaction (approve, reject) life cycle. |
| owner | varchar(255) | True | | The name of organization, issued document |
| description | varchar(255) | True | | Brief description of document. |
| office_code | varchar(20) | True | | |
| packet_no | varchar(50) | True | | Introduced in Nepal project. Used for arhive purposes. Packet number, where phisically document is stored. |
| tameli_no | varchar(50) | True | | Introduced in Nepal project. Used for arhive purposes. Section\devision number where document is located. |
| likhat_reg_no | varchar(50) | True | | Introduced in Nepal project. Used for arhive purposes. Manual transaction number. |
| page_no | varchar(50) | True | | Introduced in Nepal project. Used for arhive purposes. |

### *Constraints*

| Name | Type | Explanation |
|---|---|---|
| source_pkey | PRIMARY KEY | Combination of (id) is the primary key |

### *Relationships (from)*

| Name | Information | Description |
|---|---|---|
| source_availability_status_code_fk50 | **From columns**: availability_status_code<br>**To Entity**: availability_status_type<br>**From cardinality**: 0..*<br>**To Cardinality**: 1 | LADM relationship - no refinement |
| source_type_code_fk51 | **From columns**: type_code<br>**To Entity**: administrative_source_type<br>**From cardinality**: 0..*<br>**To Cardinality**: 1 | FLOSS SOLA relationship - no refinement |
| source_transaction_id_fk86 | **From columns**: transaction_id<br>**To Entity**: transaction<br>**From cardinality**: 0..*<br>**To Cardinality**: 0..1 | |
| source_status_code_fk87 | **From columns**: status_code<br>**To Entity**: reg_status_type<br>**From cardinality**: 0..*<br>**To Cardinality**: 0..1 | |
| source_office_code_fk126 | **From columns**: office_code<br>**To Entity**: office<br>**From cardinality**: 0..*<br>**To Cardinality**: 0..1 | |
| source_maintype_fk128 | **From columns**: maintype<br>**To Entity**: presentation_form_type<br>**From cardinality**: 0..*<br>**To Cardinality**: 0..1 | LADM relationship - no refinement |
| source_archive_id_fk129 | **From columns**: archive_id<br>**To Entity**: archive<br>**From cardinality**: 0..*<br>**To Cardinality**: 0..1 | FLOSS SOLA relationship - no refinement |

### *Relationships (to)*

| Name | Information | Description |
|---|---|---|
| spatial_source_id_fk11 | **From columns**: id<br>**From Entity**: spatial_source<br>**From cardinality**: 1<br>**To Cardinality**: 1 | LADM relationship - no refinement |
| application_uses_source_source_id_fk43 | **From columns**: source_id<br>**From Entity**: application_uses_source<br>**From cardinality**: 0..*<br>**To Cardinality**: 1 | FLOSS SOLA relationship - no refinement |
| source_describes_ba_unit_source_id_fk68 | **From columns**: source_id<br>**From Entity**: source_describes_ba_unit<br>**From cardinality**: 0..*<br>**To Cardinality**: 1 | |
| source_describes_rrr_source_id_fk76 | **From columns**: source_id<br>**From Entity**: source_describes_rrr<br>**From cardinality**: 0..*<br>**To Cardinality**: 1 | |

| | | |
|---|---|---|
| transaction_source_source_id_fk95 | **From columns**: source_id<br>**From Entity**: transaction_source<br>**From cardinality**: 0..*<br>**To Cardinality**: 1 | |

# archive

Details about collections of sources (documents) in both paper and digital formats

**LADM Reference Object**
FLOSS SOLA Extension

**LADM Definition**
Not Applicable

## *Columns*

| Name | Type | Optional | Default | Description |
|---|---|---|---|---|
| id | varchar(40) | False | | **SOLA Extension** The archive identifier of the source |
| name | varchar(50) | False | | **SOLA Extension** - The name description of the source |

## *Constraints*

| Name | Type | Explanation |
|---|---|---|
| archive_pkey | PRIMARY KEY | Combination of (id) is the primary key |

## *Relationships (to)*

| Name | Information | Description |
|---|---|---|
| source_archive_id_fk129 | **From columns**: archive_id<br>**From Entity**: source<br>**From cardinality**: 0..*<br>**To Cardinality**: 0..1 | FLOSS SOLA relationship - no refinement |

# presentation_form_type

Reference Table / Code list for the different formats of sources (documents) that are presented to the land office

**LADM Reference Object**
CI_PresentationFormCode

**LADM Definition**
The type of document;

## *Columns*

| Name | Type | Optional | Default | Description |
|---|---|---|---|---|
| code | varchar(20) | False | | **LADM Definition** - Code for the presentation form type |
| display_value | varchar(250) | False | | **LADM Definition** - The display value for presentation form type |
| status | char(1) | False | 't' | **SOLA Extension** - The status of the presentation form type |
| description | varchar(555) | True | | **LADM Definition** - description of the presentation form type |

## *Constraints*

| Name | Type | Explanation |
|---|---|---|
| presentation_form_type_display_value_unique | UNIQUE | Combination of (display_value) is unique |
| presentation_form_type_pkey | PRIMARY KEY | Combination of (code) is the primary key |

## *Relationships (to)*

| Name | Information | Description |
|---|---|---|
| source_maintype_fk128 | **From columns**: maintype<br>**From Entity**: source<br>**From cardinality**: 0..*<br>**To Cardinality**: 0..1 | LADM relationship - no refinement |

## *Data*

| Nr | code | display_value | status | description |
|---|---|---|---|---|
| 1 | documentDigital | Digital Document::::Documento Digitale | c | |
| 2 | documentHardcopy | Hardcopy Document::::Documento in Hardcopy | c | |
| 3 | imageDigital | Digital Image::::Immagine Digitale | c | |
| 4 | imageHardcopy | Hardcopy Image::::Immagine in Hardcopy | c | |

| | | | | |
|---|---|---|---|---|
| 5 | mapDigital | Digital Map::::Mappa Digitale | c | |
| 6 | mapHardcopy | Hardcopy Map::::Mappa in Hardcopy | c | |
| 7 | modelDigital | Digital Model::::Modello Digitale', | c | |
| 8 | modelHarcopy | Hardcopy Model::::Modello in Hardcopy | c | |
| 9 | profileDigital | Digital Profile::::Profilo Digitale | c | |
| 10 | profileHardcopy | Hardcopy Profile::::Profilo in Hardcopy | c | |
| 11 | tableDigital | Digital Table::::Tabella Digitale | c | |
| 12 | tableHardcopy | Hardcopy Table::::Tabella in Hardcopy | c | |
| 13 | videoDigital | Digital Video::::Video Digitale', | c | |
| 14 | videoHardcopy | Hardcopy Video::::Video in Hardcopy | c | |

# availability_status_type

Reference Table / Code list of source (document) availability status type

**LADM Reference Object**
LA_AvailabilityStatusType

**LADM Definition**
Not Defined

## *Columns*

| Name | Type | Optional | Default | Description |
|---|---|---|---|---|
| code | varchar(20) | False | | **LADM Definition** -The code for the availability status type |
| display_value | varchar(250) | False | | **LADM Definition** - The display value assigned to the availability status type |
| status | char(1) | False | 'c' | **SOLA Extension** - The status of the availability status type |
| description | varchar(555) | True | | **LADM Definition** - description of the availability status type |

## *Constraints*

| Name | Type | Explanation |
|---|---|---|
| availability_status_type_display_value_unique | UNIQUE | Combination of (display_value) is unique |
| availability_status_type_pkey | PRIMARY KEY | Combination of (code) is the primary key |

## *Relationships (to)*

| Name | Information | Description |
|---|---|---|
| source_availability_status_code_fk50 | **From columns**: availability_status_code<br>**From Entity**: source<br>**From cardinality**: 0..*<br>**To Cardinality**: 1 | LADM relationship - no refinement |

## *Data*

| Nr | code | display_value | status | description |
|---|---|---|---|---|
| 1 | archiveConverted | Converted::::Convertito | c | |
| 2 | archiveDestroyed | Destroyed::::Distrutto | x | |
| 3 | incomplete | Incomplete::::Incompleto | c | |
| 4 | archiveUnknown | Unknown::::Sconosciuto | c | |
| 5 | available | Available | c | Extension to LADM |

# administrative_source_type

Reference Table / Code list of administrative source types

**LADM Reference Object**
LA_AdministrativeSourceType

**LADM Definition**
Not Defined

## *Columns*

| Name | Type | Optional | Default | Description |
|---|---|---|---|---|
| code | varchar(20) | False | | **LADM Definition** -The code for the administrative source type |
| display_value | varchar(250) | False | | **LADM Definition** - displayed value of the administrative source type |
| status | char(1) | False | | **SOLA Extension** - Status of the administrative source type |
| has_status | bool | False | false | |
| description | varchar(555) | True | | **LADM Definition** - Description of the administrative source type |

## *Constraints*

| Name | Type | Explanation |
|---|---|---|
| administrative_source_type_display_value_unique | UNIQUE | Combination of (display_value) is unique |
| administrative_source_type_pkey | PRIMARY KEY | Combination of (code) is the primary key |

## *Relationships (to)*

| Name | Information | Description |
|---|---|---|
| source_type_code_fk51 | **From columns**: type_code<br>**From Entity**: source<br>**From cardinality**: 0..*<br>**To Cardinality**: 1 | FLOSS SOLA relationship - no refinement |
| request_type_requires_source_type_source_type_code_fk52 | **From columns**: source_type_code<br>**From Entity**: request_type_requires_source_type<br>**From cardinality**: 0..*<br>**To Cardinality**: 1 | FLOSS SOLA relationship - no refinement |

## *Data*

| Nr | code | display_value | status | has_status | description |
|---|---|---|---|---|---|
| 1 | agriConsent | Agricultural Consent::::Permesso Agricolo | x | false | |
| 2 | agriLease | Agricultural Lease::::Contratto Affitto Agricolo | x | false | |

| | | | | | |
|---|---|---|---|---|---|
| 3 | agriNotaryStatement | Agricultural Notary Statement::::Dichiarazione Agricola Notaio | x | false | |
| 4 | deed | Deed | c | false | |
| 5 | lease | Lease::::ITALIANO | c | false | |
| 6 | mortgage | Mortgage::::Ipoteca | c | false | |
| 7 | title | Title::::Titolo | c | false | |
| 8 | proclamation | Proclamation::::Bando | c | false | Extension to LADM |
| 9 | courtOrder | Court Order::::Ordine Tribunale | c | false | Extension to LADM |
| 10 | agreement | Agreement::::Accordo | c | false | Extension to LADM |
| 11 | contractForSale | Contract for Sale::::ITALIANO | c | false | Extension to LADM |
| 12 | will | Will::::ITALIANO | c | false | Extension to LADM |
| 13 | powerOfAttorney | Power of Attorney::::ITALIANO | c | true | Extension to LADM |
| 14 | standardDocument | Standard Document::::ITALIANO | c | false | Extension to LADM |
| 15 | cadastralMap | Cadastral Map::::Mappa Catastale | c | false | Extension to LADM |
| 16 | cadastralSurvey | Cadastral Survey::::Rilevamento Catastale | c | false | Extension to LADM |
| 17 | waiver | Waiver to Caveat or other requirement | c | false | Extension to LADM |
| 18 | idVerification | Form of Identification including Personal ID | c | false | Extension to LADM |

# spatial_source

Refer to LADM Definition

**LADM Reference Object**
LA_Source

**LADM Definition**
A spatial source may be the final (sometimes formal) documents, or all documents related to a survey. Sometimes serveral documents are the result of a single survey. A spatial source may be official or not (ie a registered survey plan or an aerial photograph).

## *Columns*

| Name | Type | Optional | Default | Description |
|---|---|---|---|---|
| id | varchar(40) | False | | **LADM Definition** - Spatial source identifier |
| procedure | varchar(255) | True | | **LADM Definition** - Procedures, steps or method adopted |
| type_code | varchar(20) | False | | **LADM Definition** - Code type assigned to the source |

## *Constraints*

| Name | Type | Explanation |
|---|---|---|
| spatial_source_pkey | PRIMARY KEY | Combination of (id) is the primary key |

## *Relationships (from)*

| Name | Information | Description |
|---|---|---|
| spatial_source_type_code_fk0 | **From columns**: type_code<br>**To Entity**: spatial_source_type<br>**From cardinality**: 0..*<br>**To Cardinality**: 1 | LADM relationship - no refinement |
| spatial_source_id_fk11 | **From columns**: id<br>**To Entity**: source<br>**From cardinality**: 1<br>**To Cardinality**: 1 | LADM relationship - no refinement |

## *Relationships (to)*

| Name | Information | Description |
|---|---|---|
| spatial_source_measurement_spatial_source_id_fk1 | **From columns**: spatial_source_id<br>**From Entity**: spatial_source_measurement<br>**From cardinality**: 0..*<br>**To Cardinality**: 1 | LADM relationship - no refinement |

# spatial_source_type

Reference Table / Code list of spatial source type

**LADM Reference Object**
LA_SpatialSourceType

**LADM Definition**
Type of Spatial Source

## *Columns*

| Name | Type | Optional | Default | Description |
|---|---|---|---|---|
| code | varchar(20) | False | | **LADM Definition** - The code for the spatial source type |
| display_value | varchar(250) | False | | **LADM Definition** - The display value of the spatial source type |
| status | char(1) | False | 't' | **SOLA Extension** The status of the spatial source type |
| description | varchar(555) | True | | **LADM Definition** - description of the spatial source type |

## *Constraints*

| Name | Type | Explanation |
|---|---|---|
| spatial_source_type_display_value_unique | UNIQUE | Combination of (display_value) is unique |
| spatial_source_type_pkey | PRIMARY KEY | Combination of (code) is the primary key |

## *Relationships (to)*

| Name | Information | Description |
|---|---|---|
| spatial_source_type_code_fk0 | **From columns**: type_code<br>**From Entity**: spatial_source<br>**From cardinality**: 0..*<br>**To Cardinality**: 1 | LADM relationship - no refinement |

## *Data*

| Nr | code | display_value | status | description |
|---|---|---|---|---|
| 1 | fieldSketch | Field Sketch::::Schizzo Campo | c | |
| 2 | gnssSurvey | GNSS (GPS) Survey::::Rilevamento GNSS (GPS) | c | |
| 3 | orthoPhoto | Orthophoto::::Foto Ortopanoramica | c | |
| 4 | relativeMeasurement | Relative Measurements::::Misure relativa | c | |

| | | | | |
|---|---|---|---|---|
| 5 | topoMap | Topographical Map::::Mappa Topografica | c | |
| 6 | video | Video::::Video | c | |
| 7 | cadastralSurvey | Cadastral Survey::::Perizia Catastale | c | Extension to LADM |

# spatial_source_measurement

Refer to LADM Definition

**LADM Reference Object**
OM_Observation

**LADM Definition**
The observations, and measurements, as a basis for mapping, and as a basis for historical reconstruction of the location of (parts of) the spatial unit in the field

## *Columns*

| Name | Type | Optional | Default | Description |
|---|---|---|---|---|
| spatial_source_id | varchar(40) | False | | Spatial source identifier |
| id | varchar(40) | False | | **LADM Definition** - This is an identifier of a measurement within a spatial source. |

## *Constraints*

| Name | Type | Explanation |
|---|---|---|
| spatial_source_measurement_pkey | PRIMARY KEY | Combination of (spatial_source_id,id) is the primary key |

## *Relationships (from)*

| Name | Information | Description |
|---|---|---|
| spatial_source_measurement_spatial_source_id_fk1 | **From columns**: spatial_source_id<br>**To Entity**: spatial_source<br>**From cardinality**: 0..*<br>**To Cardinality**: 1 | LADM relationship - no refinement |

# transaction

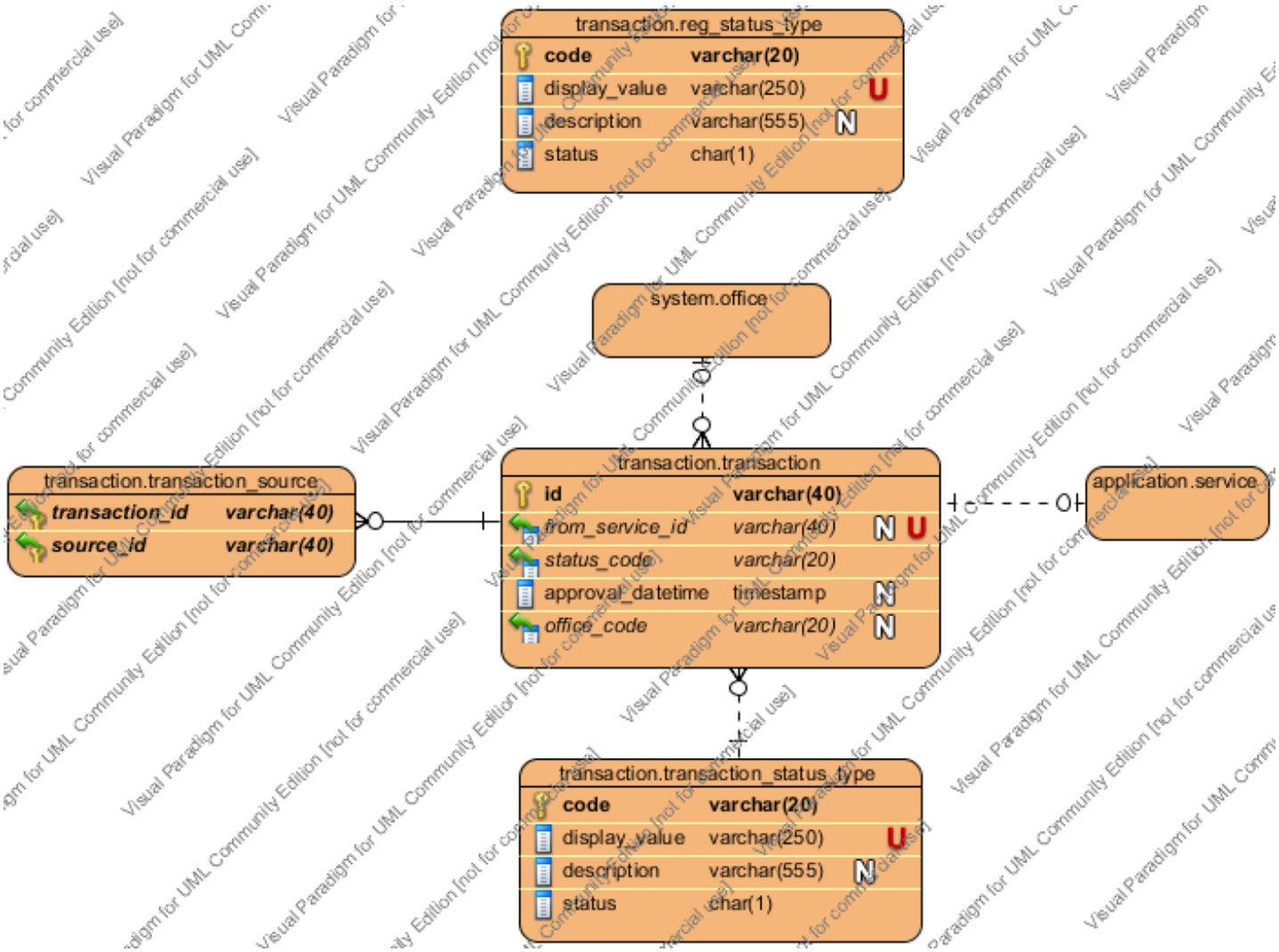


## reg_status_type

This table has the list of statuses that a registration about Rights/Restrictions/ Responsabilities/ Cadastral objects / Sources can have.

### *Columns*

| Name | Type | Optional | Default | Description |
|---|---|---|---|---|
| code | varchar(20) | False | | The code of the status that an rrr can have |
| display_value | varchar(250) | False | | The value that will be displayed to the user |
| description | varchar(555) | True | | Description of the status |
| status | char(1) | False | | The status of this code itself. |

### *Constraints*

| Name | Type | Explanation |
|---|---|---|
| reg_status_type_display_value_unique | UNIQUE | Combination of (display_value) is unique |

| | | |
|---|---|---|
| reg_status_type_pkey | PRIMARY KEY | Combination of (code) is the primary key |

### *Relationships (to)*

| Name | Information | Description |
|---|---|---|
| rrr_status_code_fk62 | **From columns**: status_code<br>**From Entity**: rrr<br>**From cardinality**: 0..*<br>**To Cardinality**: 1 | |
| ba_unit_status_code_fk63 | **From columns**: status_code<br>**From Entity**: ba_unit<br>**From cardinality**: 0..*<br>**To Cardinality**: 1 | |
| cadastre_object_status_code_fk65 | **From columns**: status_code<br>**From Entity**: cadastre_object<br>**From cardinality**: 0..*<br>**To Cardinality**: 1 | |
| notation_status_code_fk70 | **From columns**: status_code<br>**From Entity**: notation<br>**From cardinality**: 0..*<br>**To Cardinality**: 1 | |
| source_status_code_fk87 | **From columns**: status_code<br>**From Entity**: source<br>**From cardinality**: 0..*<br>**To Cardinality**: 0..1 | |
| br_validation_target_reg_moment_fk104 | **From columns**: target_reg_moment<br>**From Entity**: br_validation<br>**From cardinality**: 0..*<br>**To Cardinality**: 0..1 | |

### *Data*

| Nr | code | display_value | description | status |
|---|---|---|---|---|
| 1 | current | Current | | c |
| 2 | pending | Pending | | c |
| 3 | historic | Historic | | c |
| 4 | previous | Previous | | c |

# transaction

Changes in the system come by transactions. A transaction is initiated (optionally) by a service. By introducing the concept of transaction it can be traced how the changes in the administrative schema came. Also by approving the transaction we can approve changes or by rejecting a transaction we can remove the pending changes that came with it and restore the previous state of the administrative schema.

## *Columns*

| Name | Type | Optional | Default | Description |
|---|---|---|---|---|
| id | varchar(40) | False | | Meaningless id. |
| from_service_id | varchar(40) | True | | The service id if the transaction is initiated by a service. |
| status_code | varchar(20) | False | 'pending' | The status of the transaction. |
| approval_datetime | timestamp | True | | The approval datetime of the transaction. |
| office_code | varchar(20) | True | | |

## *Constraints*

| Name | Type | Explanation |
|---|---|---|
| transaction_from_service_id_unique | UNIQUE | Combination of (from_service_id) is unique |
| transaction_pkey | PRIMARY KEY | Combination of (id) is the primary key |

## *Relationships (from)*

| Name | Information | Description |
|---|---|---|
| transaction_from_service_id_fk74 | **From columns**: from_service_id<br>**To Entity**: service<br>**From cardinality**: 1<br>**To Cardinality**: 0..1 | |
| transaction_status_code_fk78 | **From columns**: status_code<br>**To Entity**: transaction_status_type<br>**From cardinality**: 0..*<br>**To Cardinality**: 1 | |
| transaction_office_code_fk139 | **From columns**: office_code<br>**To Entity**: office<br>**From cardinality**: 0..*<br>**To Cardinality**: 0..1 | |

## *Relationships (to)*

| Name | Information | Description |
|---|---|---|
| notation_transaction_id_fk75 | **From columns**: transaction_id<br>**From Entity**: notation<br>**From cardinality**: 0..*<br>**To Cardinality**: 1 | |
| rrr_transaction_id_fk82 | **From columns**: transaction_id<br>**From Entity**: rrr<br>**From cardinality**: 0..*<br>**To Cardinality**: 1 | |

| | | |
|---|---|---|
| ba_unit_transaction_id_fk83 | **From columns**: transaction_id<br>**From Entity**: ba_unit<br>**From cardinality**: 0..*<br>**To Cardinality**: 0..1 | |
| source_transaction_id_fk86 | **From columns**: transaction_id<br>**From Entity**: source<br>**From cardinality**: 0..*<br>**To Cardinality**: 0..1 | |
| cadastre_object_transaction_id_fk89 | **From columns**: transaction_id<br>**From Entity**: cadastre_object<br>**From cardinality**: 0..*<br>**To Cardinality**: 1 | |
| survey_point_transaction_id_fk92 | **From columns**: transaction_id<br>**From Entity**: survey_point<br>**From cardinality**: 0..*<br>**To Cardinality**: 1 | |
| cadastre_object_target_transaction_id_fk93 | **From columns**: transaction_id<br>**From Entity**: cadastre_object_target<br>**From cardinality**: 0..*<br>**To Cardinality**: 1 | |
| transaction_source_transaction_id_fk94 | **From columns**: transaction_id<br>**From Entity**: transaction_source<br>**From cardinality**: 0..*<br>**To Cardinality**: 1 | |
| cadastre_object_node_target_transaction_id_fk108 | **From columns**: transaction_id<br>**From Entity**: cadastre_object_node_target<br>**From cardinality**: 0..*<br>**To Cardinality**: 1 | |
| ba_unit_target_transaction_id_fk110 | **From columns**: transaction_id<br>**From Entity**: ba_unit_target<br>**From cardinality**: 0..*<br>**To Cardinality**: 1 | |
| required_relationship_baunit_transaction_id_fk170 | **From columns**: transaction_id<br>**From Entity**: required_relationship_baunit<br>**From cardinality**: 0..*<br>**To Cardinality**: 1 | |

# transaction_status_type

This table has the list of statuses that a transaction can take.Potential values are current, pending, rejected.

## *Columns*

| Name | Type | Optional | Default | Description |
|---|---|---|---|---|
| code | varchar(20) | False | | The code of the status that an rrr can have |
| display_value | varchar(250) | False | | The value that will be displayed to the user |
| description | varchar(555) | True | | Description of the status |
| status | char(1) | False | | The status of this code itself. |

## *Constraints*

| Name | Type | Explanation |
|---|---|---|
| transaction_status_type_display_value_unique | UNIQUE | Combination of (display_value) is unique |
| transaction_status_type_pkey | PRIMARY KEY | Combination of (code) is the primary key |

## *Relationships (to)*

| Name | Information | Description |
|---|---|---|
| transaction_status_code_fk78 | **From columns**: status_code<br>**From Entity**: transaction<br>**From cardinality**: 0..*<br>**To Cardinality**: 1 | |

## *Data*

| Nr | code | display_value | description | status |
|---|---|---|---|---|
| 1 | approved | Approved::::Approvata | | c |
| 2 | cancelled | CancelledApproved::::Cancellata | | c |
| 3 | pending | Pending::::In Attesa | | c |
| 4 | completed | Completed::::ITALIANO | | c |

# transaction_source

## *Columns*

| Name | Type | Optional | Default | Description |
|---|---|---|---|---|
| transaction_id | varchar(40) | False | | |
| source_id | varchar(40) | False | | |

## *Constraints*

| Name | Type | Explanation |
|---|---|---|
| transaction_source_pkey | PRIMARY KEY | Combination of (transaction_id,source_id) is the primary key |

## *Relationships (from)*

| Name | Information | Description |
|---|---|---|
| transaction_source_transaction_id_fk94 | **From columns**: transaction_id<br>**To Entity**: transaction<br>**From cardinality**: 0..*<br>**To Cardinality**: 1 | |
| transaction_source_source_id_fk95 | **From columns**: source_id<br>**To Entity**: source<br>**From cardinality**: 0..*<br>**To Cardinality**: 1 | |

# application

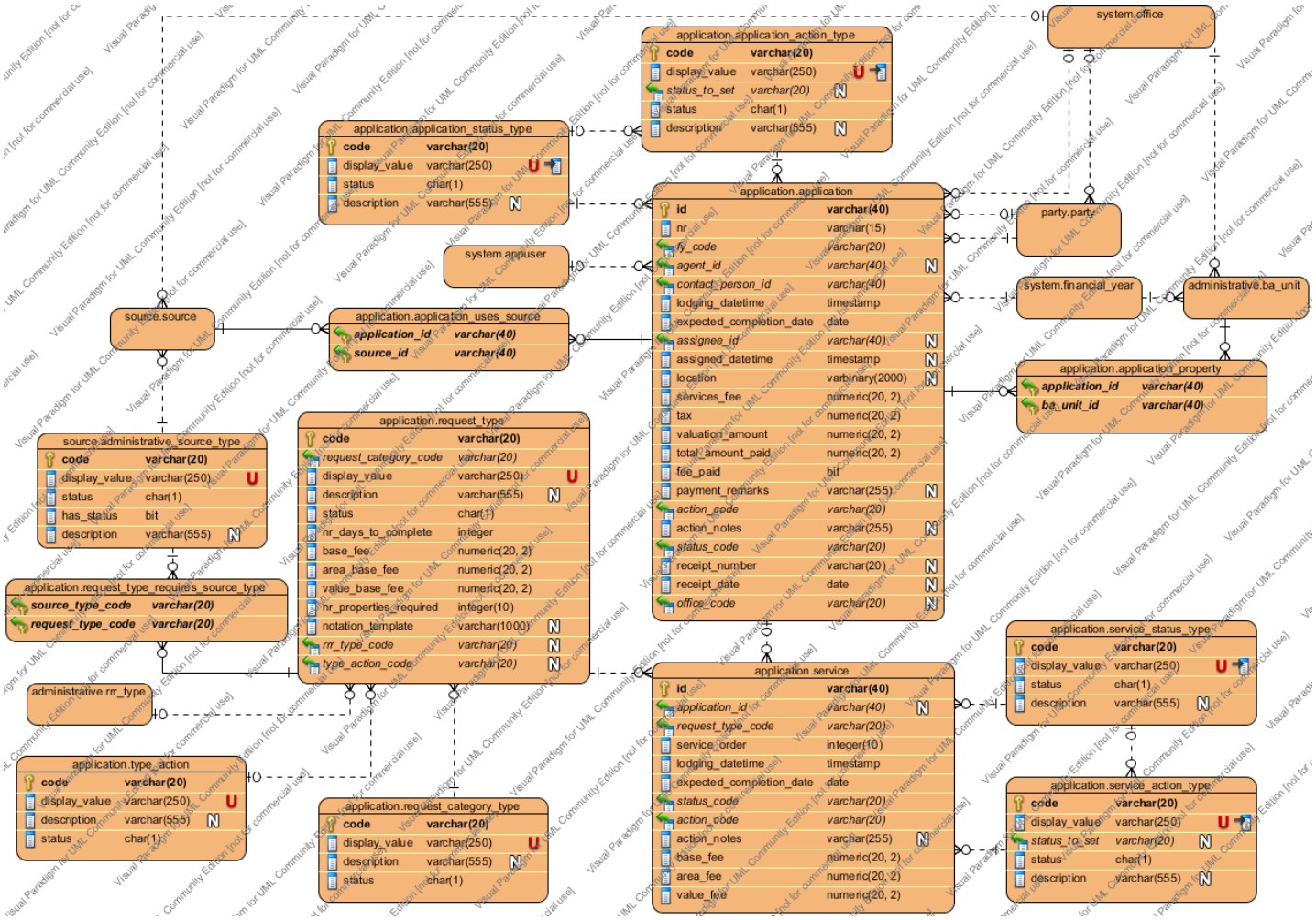


## service

Various forms of services provided by a land officeLADM Reference ObjectFLOSS SOLA ExtensionLADM DefinitionNot Applicable

### *Columns*

| Name | Type | Optional | Default | Description |
|---|---|---|---|---|
| id | varchar(40) | False | | **SOLA Extension** - system generated id for a service |
| application_id | varchar(40) | True | | **SOLA Extension** - Application where this service is found. |
| request_type_code | varchar(20) | False | | **SOLA Extension** -The request typecode |
| service_order | integer | False | 0 | **SOLA Extension** - The order of the service within the application. |
| lodging_datetime | timestamp | False | now() | **SOLA Extension** - The start date a lodgement is made. By default it is assigned from the system. |

| | | | | |
|---|---|---|---|---|
| expected_completion_date | date | False | | **SOLA Extension** - Expected date when the service must be completed. It is calculated based in the lodging_datetime plus the nr_days_to_complete of the selected service type. At the moment, it is done as a simple adding of an interval. |
| status_code | varchar(20) | False | 'lodged' | **SOLA Extension** - service status code |
| action_code | varchar(20) | False | 'lodge' | **SOLA Extension** - action code |
| action_notes | varchar(255) | True | | **SOLA Extension** - Extra description that can be added when the status of service can be changed. |
| base_fee | numeric(20, 2) | False | 0 | **SOLA Extension** - Base fee of this service. It is derived by the base_fee of the request_type. |
| area_fee | numeric(20, 2) | False | 0 | **SOLA Extension** - It is the fee calculated based in the sum of areas of all properties involved in the service. Derived as: request_type.area_base_fee * SUM(application_property.area) |
| value_fee | numeric(20, 2) | False | 0 | **SOLA Extension** - It is the fee calculated based in the sum of values of all properties involved in the service. Derived as: request_type.value_base_fee * SUM(application_property.value) |

### *Constraints*

| Name | Type | Explanation |
|---|---|---|
| service_pkey | PRIMARY KEY | Combination of (id) is the primary key |

### *Relationships (from)*

| Name | Information | Description |
|---|---|---|
| service_application_id_fk29 | **From columns**: application_id<br>**To Entity**: application<br>**From cardinality**: 0..*<br>**To Cardinality**: 0..1 | FLOSS SOLA relationship - no refinement |
| service_request_type_code_fk30 | **From columns**: request_type_code<br>**To Entity**: request_type<br>**From cardinality**: 0..*<br>**To Cardinality**: 1 | FLOSS SOLA relationship - no refinement |
| service_status_code_fk39 | **From columns**: status_code<br>**To Entity**: service_status_type<br>**From cardinality**: 0..*<br>**To Cardinality**: 1 | FLOSS SOLA relationship - no refinement |
| service_action_code_fk41 | **From columns**: action_code<br>**To Entity**: service_action_type<br>**From cardinality**: 0..*<br>**To Cardinality**: 1 | FLOSS SOLA relationship - no refinement |

### *Relationships (to)*

| Name | Information | Description |
|---|---|---|
| transaction_from_service_id_fk74 | **From columns**: from_service_id<br>**From Entity**: transaction<br>**From cardinality**: 1<br>**To Cardinality**: 0..1 | |

# application

An application is a bundle of services that a client or customer wants from the registration office.LADM Reference ObjectFLOSS SOLA ExtensionLADM DefinitionNot Applicable

## *Columns*

| Name | Type | Optional | Default | Description |
|---|---|---|---|---|
| id | varchar(40) | False | | **SOLA Extension** - application identifier |
| nr | varchar(15) | False | | **SOLA Extension** - This is the application number that is exposed to the user. It is generated as the date + the ordinal number within that day. |
| fy_code | varchar(20) | False | | Introduced in Nepal project. Fiscal year reference. |
| agent_id | varchar(40) | True | | **SOLA Extension** - The id of the agent which is filling the application. It is not necessary one of the parties involved in user rights. It can be a firm or individual. |
| contact_person_id | varchar(40) | False | | **SOLA Extension** - This is the contact person and it is always an individual that can be reachable in different ways. |
| lodging_datetime | timestamp | False | now() | **SOLA Extension** - The lodging date and time of the application. This date is important because it marks the time when the application has been officially accepted from the RO. |
| expected_completion_date | date | False | now() | **SOLA Extension** - The date when the application is supposed to be completed or cancelled by then. It is a derived value by picking up the most later expected date from the services that are boundled with the application. |
| assignee_id | varchar(40) | True | | **SOLA Extension** - The person that is assigned to the application. If this value is missing it means that the application is not assigned. |
| assigned_datetime | timestamp | True | | **SOLA Extension** - Date and time the application is assigned. It has a meaning only if the assignee_login_name is present. |
| location | GEOMETRY | True | | **SOLA Extension** - The location of the application given as multi point in the map. |
| services_fee | numeric(20, 2) | False | 0 | **SOLA Extension** - The total amount of services fee. This is derived as the sum of fees of all services bundled in the application. |
| tax | numeric(20, 2) | False | 0 | **SOLA Extension** - Tax or proportionate component of the services_fee. |
| valuation_amount | numeric(20, 2) | False | 0 | Introduced in Nepal project. The total valuation amount of the property. |
| total_amount_paid | numeric(20, 2) | False | 0 | **SOLA Extension** - The amount paid. Normally it must be equal to the total_fee. |
| fee_paid | bool | False | false | **SOLA Extension** - It shows if the fee is paid. |
| payment_remarks | varchar(255) | True | | Introduced in Nepal project. Payment remarks. |

| | | | | |
|---|---|---|---|---|
| action_code | varchar(20) | False | 'lodge' | **SOLA Extension** - The last action that happened to the application. Some values of this attribute are generated by the system. |
| action_notes | varchar(255) | True | | **SOLA Extension** - Extra description about the action. |
| status_code | varchar(20) | False | 'lodged' | The status of the application. |
| receipt_number | varchar(20) | True | | Introduced in Nepal project. Receipt number. |
| receipt_date | date | True | | Introduced in Nepal project. Receipt date. |
| office_code | varchar(20) | True | | |

### *Constraints*

| Name | Type | Explanation |
|---|---|---|
| application_check_assigned | CHECK | Rule ((assignee_id is null and assigned_datetime is null) or (assignee_id is not null and assigned_datetime is not null)) must be true |
| application_pkey | PRIMARY KEY | Combination of (id) is the primary key |

### *Relationships (from)*

| Name | Information | Description |
|---|---|---|
| application_agent_id_fk33 | **From columns**: agent_id<br>**To Entity**: party<br>**From cardinality**: 0..*<br>**To Cardinality**: 0..1 | FLOSS SOLA relationship - no refinement |
| application_contact_person_id_fk37 | **From columns**: contact_person_id<br>**To Entity**: party<br>**From cardinality**: 0..*<br>**To Cardinality**: 1 | FLOSS SOLA relationship - no refinement |
| application_action_code_fk38 | **From columns**: action_code<br>**To Entity**: application_action_type<br>**From cardinality**: 0..*<br>**To Cardinality**: 1 | FLOSS SOLA relationship - no refinement |
| application_assignee_id_fk47 | **From columns**: assignee_id<br>**To Entity**: appuser<br>**From cardinality**: 0..*<br>**To Cardinality**: 0..1 | FLOSS SOLA relationship - no refinement |
| application_status_code_fk48 | **From columns**: status_code<br>**To Entity**: application_status_type<br>**From cardinality**: 0..*<br>**To Cardinality**: 1 | FLOSS SOLA relationship - no refinement |
| application_office_code_fk133 | **From columns**: office_code<br>**To Entity**: office<br>**From cardinality**: 0..*<br>**To Cardinality**: 0..1 | |
| application_fy_code_fk171 | **From columns**: fy_code<br>**To Entity**: financial_year<br>**From cardinality**: 0..*<br>**To Cardinality**: 1 | |

### *Relationships (to)*

| Name | Information | Description |
|---|---|---|
| service_application_id_fk29 | **From columns**: application_id<br>**From Entity**: service<br>**From cardinality**: 0..*<br>**To Cardinality**: 0..1 | FLOSS SOLA relationship - no refinement |
| application_property_application_id_fk42 | **From columns**: application_id<br>**From Entity**: application_property<br>**From cardinality**: 0..*<br>**To Cardinality**: 1 | FLOSS SOLA relationship - no refinement |
| application_uses_source_application_id_fk44 | **From columns**: application_id<br>**From Entity**: application_uses_source<br>**From cardinality**: 0..*<br>**To Cardinality**: 1 | FLOSS SOLA relationship - no refinement |

# application_action_type

Reference Table / Code list of action types that are performed in relation to an (land office) application for servicesLADM Reference Object FLOSS SOLA ExtensionLADM DefinitionNot Applicable

## *Columns*

| Name | Type | Optional | Default | Description |
|---|---|---|---|---|
| code | varchar(20) | False | | **SOLA Extension** - Communication type code |
| display_value | varchar(250) | False | | **SOLA Extension** - Display value for the communication type |
| status_to_set | varchar(20) | True | | |
| status | char(1) | False | 't' | **SOLA Extension** - Status of the communication type |
| description | varchar(555) | True | | **SOLA Extension** - Description of the communication type |

## *Constraints*

| Name | Type | Explanation |
|---|---|---|
| application_action_type_display_value_unique | UNIQUE | Combination of (display_value) is unique |
| application_action_type_pkey | PRIMARY KEY | Combination of (code) is the primary key |

## *Relationships (from)*

| Name | Information | Description |
|---|---|---|
| application_action_type_status_to_set_fk101 | **From columns**: status_to_set<br>**To Entity**: application_status_type<br>**From cardinality**: 0..*<br>**To Cardinality**: 0..1 | |

## *Relationships (to)*

| Name | Information | Description |
|---|---|---|
| application_action_code_fk38 | **From columns**: action_code<br>**From Entity**: application<br>**From cardinality**: 0..*<br>**To Cardinality**: 1 | FLOSS SOLA relationship - no refinement |
| br_validation_target_application_moment_fk102 | **From columns**: target_application_moment<br>**From Entity**: br_validation<br>**From cardinality**: 0..*<br>**To Cardinality**: 0..1 | |

## *Data*

| Nr | code | display_value | status_to_set | status | description |
|---|---|---|---|---|---|

| | | | | | |
|---|---|---|---|---|---|
| 1 | lodge | Lodgement Notice Prepared::::Ricevuta della Registrazione Preparata | lodged | c | Lodgement notice is prepared (action is automatically logged when application details are saved for the first time::::La ricevuta della registrazione pronta |
| 2 | addDocument | Add document::::Documenti scannerizzati allegati alla pratica | | c | Scanned Documents linked to Application (action is automatically logged when a new document is saved)::::Documenti scannerizzati allegati alla pratica |
| 3 | withdraw | Withdraw application::::Pratica Ritirata | anulled | c | Application withdrawn by Applicant (action is manually logged)::::Pratica Ritirata dal Richiedente |
| 4 | cancel | Cancel application::::Pratica cancellata | anulled | c | Application cancelled by Land Office (action is automatically logged when application is cancelled)::::Pratica cancellata da Ufficio Territoriale |
| 5 | requisition | Requisition:::Ulteriori Informazioni domandate dal richiedente | requisitioned | c | Further information requested from applicant (action is manually logged)::::Ulteriori Informazioni domandate dal richiedente |
| 6 | validateFailed | Quality Check Fails::::Controllo Qualita Fallito | | c | Quality check fails (automatically logged when a critical business rule failure occurs)::::Controllo Qualita Fallito |
| 7 | validatePassed | Quality Check Passes::::Controllo Qualita Superato | | c | Quality check passes (automatically logged when business rules are run without any critical failures)::::Controllo Qualita Superato |
| 8 | approve | Approve::::Approvata | approved | c | Application is approved (automatically logged when application is approved successively)::::Pratica approvata |
| 9 | archive | Archive::::Archiviata | completed | c | Paper application records are archived (action is manually logged)::::I fogli della pratica sono stati archiviati |
| 10 | despatch | Despatch::::Inviata | | c | Application documents and new land office products are sent or collected by applicant (action is manually logged)::::I documenti della pratica e i nuovi prodotti da Ufficio Territoriale sono stati spediti o ritirati dal richiedente |
| 11 | lapse | Lapse::::ITALIANO | anulled | c | |
| 12 | assign | Assign::::ITALIANO | | c | |
| 13 | unAssign | Unassign::::ITALIANO | | c | |
| 14 | resubmit | Resubmit::::ITALIANO | lodged | c | |
| 15 | validate | Validate::::ITALIANO | | c | The action validate does not leave a mark, because validateFailed and validateSucceded will be used instead when the validate is completed. |

| | | | | | |
|---|---|---|---|---|---|
| 16 | transfer | Transfer application between departments | | c | Application transfered to the given department |

# application_status_type

Reference Table / Code list for application status type

**LADM Reference Object**
FLOSS SOLA Extension

**LADM Definition**
Not Applicable

## *Columns*

| Name | Type | Optional | Default | Description |
|---|---|---|---|---|
| code | varchar(20) | False | | **SOLA Extension** - status type code |
| display_value | varchar(250) | False | | **SOLA Extension** - Display value for the status type |
| status | char(1) | False | 't' | **SOLA Extension** - Status of an instance of application status |
| description | varchar(555) | True | | **SOLA Extension** - Description of application status |

## *Constraints*

| Name | Type | Explanation |
|---|---|---|
| application_status_type_display_value_unique | UNIQUE | Combination of (display_value) is unique |
| application_status_type_pkey | PRIMARY KEY | Combination of (code) is the primary key |

## *Relationships (to)*

| Name | Information | Description |
|---|---|---|
| application_status_code_fk48 | **From columns**: status_code<br>**From Entity**: application<br>**From cardinality**: 0..*<br>**To Cardinality**: 1 | FLOSS SOLA relationship - no refinement |
| application_action_type_status_to_set_fk10 | **From columns**: status_to_set<br>**From Entity**: application_action_type<br>**From cardinality**: 0..*<br>**To Cardinality**: 0..1 | |

## *Data*

| Nr | code | display_value | status | description |
|---|---|---|---|---|
| 1 | lodged | Lodged::::Registrata | c | Application has been lodged and officially received by land office::::La pratica registrata e formalmente ricevuta da ufficio territoriale |
| 2 | approved | Approved::::ITALIANO | c | |
| 3 | anulled | Anulled::::Anullato | c | |
| 4 | completed | Completed::::ITALIANO | c | |

| | | | | |
|---|---|---|---|---|
| 5 | requisitioned | Requisitioned::::ITALIANO | c | |

# request_type

Reference Table / Code list of the (service) request types received by a land officeLADM Reference Object FLOSS SOLA ExtensionLADM DefinitionNot Applicable

## *Columns*

| Name | Type | Optional | Default | Description |
|---|---|---|---|---|
| code | varchar(20) | False | | **SOLA Extension** - Code for the request type |
| request_category_code | varchar(20) | False | | **SOLA Extension** - The code for the request category type |
| display_value | varchar(250) | False | | **SOLA Extension** - The display value for the request type |
| description | varchar(555) | True | | **SOLA Extension** - The description of the request type |
| status | char(1) | False | 't' | **SOLA Extension** - Status of the request type |
| nr_days_to_complete | integer | False | 0 | **SOLA Extension** - The number of days within the service must be completed. |
| base_fee | numeric(20, 2) | False | 0 | **SOLA Extension** - The base fee that will be asked for this kind of request. |
| area_base_fee | numeric(20, 2) | False | 0 | **SOLA Extension** - The fee that will be asked per m2 of the area of the properties that will be dealt with for this kind of request. |
| value_base_fee | numeric(20, 2) | False | 0 | **SOLA Extension** - The fee that will be asked per value unit of the properties that will be dealt with for this kind of request. |
| nr_properties_required | integer | False | 0 | **SOLA Extension** - The minimum number of properties that is required by this service. |
| notation_template | varchar(1000) | True | | |
| rrr_type_code | varchar(20) | True | | The type of rrr which will be affected from the service of this request type. It is optional because not every request type affects rrr. If this value is filled then also the column rrr_type_action must be filled. |
| type_action_code | varchar(20) | True | | This holds the action that has to happen on the rrr or ba unit if the request type targets rrr or ba unit. |

## *Constraints*

| Name | Type | Explanation |
|---|---|---|
| request_type_display_value_unique | UNIQUE | Combination of (display_value) is unique |
| request_type_pkey | PRIMARY KEY | Combination of (code) is the primary key |

## *Relationships (from)*

| Name | Information | Description |
|---|---|---|

| | | |
|---|---|---|
| request_type_request_category_code_fk28 | **From columns**: request_category_code<br>**To Entity**: request_category_type<br>**From cardinality**: 0..*<br>**To Cardinality**: 1 | FLOSS SOLA relationship - no refinement |
| request_type_rrr_type_code_fk79 | **From columns**: rrr_type_code<br>**To Entity**: rrr_type<br>**From cardinality**: 0..*<br>**To Cardinality**: 0..1 | |
| request_type_type_action_code_fk80 | **From columns**: type_action_code<br>**To Entity**: type_action<br>**From cardinality**: 0..*<br>**To Cardinality**: 0..1 | |

### *Relationships (to)*

| Name | Information | Description |
|---|---|---|
| service_request_type_code_fk30 | **From columns**: request_type_code<br>**From Entity**: service<br>**From cardinality**: 0..*<br>**To Cardinality**: 1 | FLOSS SOLA relationship - no refinement |
| request_type_requires_source_type_request_type_code_fk45 | **From columns**: request_type_code<br>**From Entity**: request_type_requires_source_type<br>**From cardinality**: 0..*<br>**To Cardinality**: 1 | FLOSS SOLA relationship - no refinement |

### *Data*

| Nr | code | request_category_code |
|---|---|---|
| 1 | cadastreChange | registrationServices |
| 2 | redefineCadastre | registrationServices |
| 3 | registrationDismiss | registrationServices |
| 4 | missingLandRegister | registrationServices |
| 5 | ownershipClearance | registrationServices |
| 6 | Guthi | informationServices |
| 7 | regnDeeds | registrationServices |
| 8 | resignation | registrationServices |
| 9 | regnPowerOfAttorney | registrationServices |
| 10 | propertyDivision | registrationServices |
| 11 | exchange | informationServices |
| 12 | leaveNotice | informationServices |
| 13 | multipleOwner | registrationServices |
| 14 | locMerging | registrationServices |
| 15 | oldSurvey | registrationServices |
| 16 | newSurvey | registrationServices |

| | | |
|---|---|---|
| 17 | manuJodiako | registrationServices |
| 18 | newOwnership | registrationServices |
| 19 | removeDuplicate | registrationServices |
| 20 | afterDeathWilling | registrationServices |
| 21 | shresthaAdhyabadhik | registrationServices |
| 22 | guthiRaitani | registrationServices |
| 23 | ownerCancellation | registrationServices |
| 24 | chakalaBandhi | registrationServices |
| 25 | newApartment | registrationServices |
| 26 | stayCurrent | registrationServices |
| 27 | lakhaBandhaki | registrationServices |
| 28 | distriBandhaki | registrationServices |
| 29 | agreement | registrationServices |
| 30 | donationLetter | registrationServices |
| 31 | rightReceived | registrationServices |
| 32 | threeGeneration | registrationServices |
| 33 | decisionBased | registrationServices |
| 34 | memoBased | registrationServices |
| 35 | cancelProperty | registrationServices |

| Nr | display_value | description | status | nr_days_to_complete | base_fee | area_base_fee |
|---|---|---|---|---|---|---|
| 1 | Change to Cadastre::::[redacted] | | c | 30 | 25.00 | 0.10 |
| 2 | Redefine Cadastre::::[redacted] | | c | 30 | 25.00 | 0.10 |
| 3 | Registration Dismissal::::[redacted] | | c | 1 | 0.50 | 0.00 |
| 4 | Missing Land Registration::::[redacted] | | x | 1 | 5.00 | 0.00 |
| 5 | Ownership Clearance::::[redacted] | | c | 5 | 5.00 | 0.00 |
| 6 | Guthi::::[redacted] | | c | 1 | 0.00 | 0.00 |
| 7 | Deed Registration::::[redacted] | | x | 3 | 1.00 | 0.00 |
| 8 | Resignation::::[redacted] | | c | 5 | 5.00 | 0.00 |
| 9 | Willingness Letter::::[redacted] | | c | 3 | 5.00 | 0.00 |
| 10 | Property Division::::[redacted] | | c | 3 | 5.00 | 0.00 |
| 11 | Exchange::::[redacted] | | x | 1 | 5.00 | 0.00 |
| 12 | Leave Notice::::[redacted] | | x | 1 | 1.00 | 0.00 |
| 13 | Multiple Ownership Registration::::[redacted] | | c | 1 | 0.50 | 0.00 |
| 14 | LOC Merging::::[redacted] | | x | 1 | 0.00 | 0.10 |
| 15 | Old Survey::::[redacted] | | x | 5 | 5.00 | 0.10 |
| 16 | New Survey::::[redacted] | | c | 5 | 5.00 | 0.00 |
| 17 | Manu Jodiako::::[redacted] | | x | 5 | 5.00 | 0.00 |
| 18 | Register New Ownership::::[redacted] | | c | 5 | 5.00 | 0.00 |
| 19 | Duplication Registration Removal::::[redacted] | | c | 5 | 5.00 | 0.00 |

| | | | | | | |
|---|---|---|---|---|---|---|
| 20 | After Death Willingness Letter::::[redacted] | | c | 5 | 5.00 | 0.01 |
| 21 | Shresta Adhyabadhik::::[redacted] | | c | 5 | 5.00 | 0.00 |
| 22 | Guthi Raitani Numberi::::[redacted] | | c | 5 | 5.00 | 0.00 |
| 23 | Ownership Registration Cancellation::::[redacted] | | c | 5 | 5.00 | 0.00 |
| 24 | Chakala Bandhi::::[redacted] | | x | 5 | 5.00 | 0.00 |
| 25 | Building Development::::[redacted] | | c | 5 | 5.00 | 0.00 |
| 26 | Validate Current Condition::::[redacted]. [redacted]. | | x | 5 | 0.00 | 0.00 |
| 27 | Lakha Bandhaki::::[redacted] | | c | 5 | 50.00 | 0.00 |
| 28 | Dristi Bandahaki::::[redacted] | | c | 5 | 5.00 | 0.00 |
| 29 | Aggrement::::[redacted] | | c | 5 | 5.00 | 0.00 |
| 30 | Donation Letter:::: [redacted] | | c | 5 | 5.00 | 0.00 |
| 31 | Right Receiving Recipt::::[redacted] | | c | 5 | 5.00 | 0.00 |
| 32 | Three Generation Donation Letter::::[redacted] | | c | 5 | 5.00 | 0.00 |
| 33 | Decision Letter::::[redacted] | | c | 5 | 5.00 | 0.00 |
| 34 | Memo Based::::[redacted] | | c | 5 | 0.00 | 0.00 |
| 35 | Registration Cancellation::::[redacted] | | c | 5 | 5 | 0 |

| Nr | value_base_fee | nr_properties_required | notation_template | rrr_type_code | type_action_code |
|---|---|---|---|---|---|
| 1 | 0 | 1 | | | |
| 2 | 0 | 1 | | | |
| 3 | 0 | 0 | | | |
| 4 | 0 | 1 | | | |
| 5 | 0 | 1 | | | |
| 6 | 0 | 0 | | | |
| 7 | 0 | 0 | | | |
| 8 | 0.01 | 1 | | | |
| 9 | 0 | 0 | | | |
| 10 | 0 | 0 | | | |
| 11 | 0 | 1 | | | |
| 12 | 0 | 0 | | | |
| 13 | 0 | 0 | | | |
| 14 | 0 | 0 | | | |
| 15 | 0 | 0 | | | |
| 16 | 0.01 | 1 | | | |
| 17 | 0.01 | 1 | | | |
| 18 | 0.02 | 1 | | | |
| 19 | 0 | 1 | | | |
| 20 | 0 | 1 | | | |

| | | | | | |
|---|---|---|---|---|---|
| 21 | 0 | 1 | | | |
| 22 | 0 | 1 | | | |
| 23 | 0 | 1 | | | |
| 24 | 0.02 | 1 | | | |
| 25 | 0.02 | 1 | | | |
| 26 | 0 | 1 | | | |
| 27 | 0 | 1 | | | |
| 28 | 0 | 1 | | | |
| 29 | 0 | 1 | | | |
| 30 | 0 | 1 | | | |
| 31 | 0 | 1 | | | |
| 32 | 0 | 1 | | | |
| 33 | 0 | 1 | | | |
| 34 | 0 | 1 | | | |
| 35 | 0 | 1 | | | |

# request_category_type

Reference Table / Code list for categories of (service) requests received by a land office

**LADM Reference Object**
FLOSS SOLA Extension

**LADM Definition**
Not Applicable

## *Columns*

| Name | Type | Optional | Default | Description |
|---|---|---|---|---|
| code | varchar(20) | False | | **SOLA Extension** - The code request category type |
| display_value | varchar(250) | False | | **SOLA Extension** - The display value for the request category type |
| description | varchar(555) | True | | **SOLA Extension** - Description of the request category type |
| status | char(1) | False | 't' | **SOLA Extension** - Status of the request category type |

## *Constraints*

| Name | Type | Explanation |
|---|---|---|
| request_category_type_display_value_unique | UNIQUE | Combination of (display_value) is unique |
| request_category_type_pkey | PRIMARY KEY | Combination of (code) is the primary key |

## *Relationships (to)*

| Name | Information | Description |
|---|---|---|
| request_type_request_category_code_fk28 | **From columns**: request_category_code<br>**From Entity**: request_type<br>**From cardinality**: 0..*<br>**To Cardinality**: 1 | FLOSS SOLA relationship - no refinement |

## *Data*

| Nr | code | display_value | description | status |
|---|---|---|---|---|
| 1 | registrationServices | Registration Services::::Registration Services | | c |
| 2 | informationServices | Information Services::::Information Services | | c |

# type_action

This is the coded list of allowed operations on rrr and ba_unit. Present values are: new, remove, vary.

### *Columns*

| Name | Type | Optional | Default | Description |
|---|---|---|---|---|
| code | varchar(20) | False | | |
| display_value | varchar(250) | False | | |
| description | varchar(555) | True | | |
| status | char(1) | False | 't' | |

### *Constraints*

| Name | Type | Explanation |
|---|---|---|
| type_action_display_value_unique | UNIQUE | Combination of (display_value) is unique |
| type_action_pkey | PRIMARY KEY | Combination of (code) is the primary key |

### *Relationships (to)*

| Name | Information | Description |
|---|---|---|
| request_type_type_action_code_fk80 | **From columns**: type_action_code<br>**From Entity**: request_type<br>**From cardinality**: 0..*<br>**To Cardinality**: 0..1 | |

### *Data*

| Nr | code | display_value | description | status |
|---|---|---|---|---|
| 1 | new | New::::ITALIANO | | c |
| 2 | vary | Vary::::ITALIANO | | c |
| 3 | cancel | Cancel::::ITALIANO | | c |

# service_status_type

It is the status that a service can have.

## *Columns*

| Name | Type | Optional | Default | Description |
|---|---|---|---|---|
| code | varchar(20) | False | | **SOLA Extension** - the code identifying a service status type |
| display_value | varchar(250) | False | | **SOLA Extension** - the displayed value of a service status type |
| status | char(1) | False | 't' | **SOLA Extension** - the status of an instance of service status type |
| description | varchar(555) | True | | **SOLA Extension** - the description of a service status type |

## *Constraints*

| Name | Type | Explanation |
|---|---|---|
| service_status_type_display_value_unique | UNIQUE | Combination of (display_value) is unique |
| service_status_type_pkey | PRIMARY KEY | Combination of (code) is the primary key |

## *Relationships (to)*

| Name | Information | Description |
|---|---|---|
| service_status_code_fk39 | **From columns**: status_code<br>**From Entity**: service<br>**From cardinality**: 0..*<br>**To Cardinality**: 1 | FLOSS SOLA relationship - no refinement |
| service_action_type_status_to_set_fk100 | **From columns**: status_to_set<br>**From Entity**: service_action_type<br>**From cardinality**: 0..*<br>**To Cardinality**: 0..1 | |

## *Data*

| Nr | code | display_value | status | description |
|---|---|---|---|---|
| 1 | lodged | Lodged::::■■■■■■■■■■ | c | Application for a service has been lodged and officially received by land office::::La pratica per un servizio, registrata e formalmente ricevuta da ufficio territoriale |
| 2 | completed | Completed::::■■■■■ | c | |
| 3 | pending | Pending::::■■■■ | c | |
| 4 | cancelled | Cancelled::::■■■■■ | c | |

# service_action_type

Reference Table / Code list of types of action that a land officer can perform to complete a service request

**LADM Reference Object**
FLOSS SOLA Extension

**LADM Definition**
Not Applicable

## *Columns*

| Name | Type | Optional | Default | Description |
|---|---|---|---|---|
| code | varchar(20) | False | | **SOLA Extension** - the code identifying a service action type |
| display_value | varchar(250) | False | | **SOLA Extension** - the displayed value of a service action type |
| status_to_set | varchar(20) | True | | |
| status | char(1) | False | 't' | **SOLA Extension** - the status of an instance of service action type |
| description | varchar(555) | True | | **SOLA Extension** - the description of a service action type |

## *Constraints*

| Name | Type | Explanation |
|---|---|---|
| service_action_type_display_value_unique | UNIQUE | Combination of (display_value) is unique |
| service_action_type_pkey | PRIMARY KEY | Combination of (code) is the primary key |

## *Relationships (from)*

| Name | Information | Description |
|---|---|---|
| service_action_type_status_to_set_fk100 | **From columns**: status_to_set<br>**To Entity**: service_status_type<br>**From cardinality**: 0..*<br>**To Cardinality**: 0..1 | |

## *Relationships (to)*

| Name | Information | Description |
|---|---|---|
| service_action_code_fk41 | **From columns**: action_code<br>**From Entity**: service<br>**From cardinality**: 0..*<br>**To Cardinality**: 1 | FLOSS SOLA relationship - no refinement |
| br_validation_target_service_moment_fk103 | **From columns**: target_service_moment<br>**From Entity**: br_validation<br>**From cardinality**: 0..*<br>**To Cardinality**: 0..1 | |

## *Data*

| Nr | code | display_value | status_to_set | status | description |
|---|---|---|---|---|---|
| 1 | lodge | Lodge::::■■■■■■■■■ | lodged | c | Application for service(s) is officially received by land office (action is automatically logged when application is saved for the first time)::::La pratica per i servizi formalmente ricevuta da ufficio territoriale |
| 2 | start | Start::::■■■■ | pending | c | Provisional RRR Changes Made to Database as a result of application (action is automatically logged when a change is made to a rrr object)::::Apportate Modifiche Provvisorie di tipo RRR al Database come risultato della pratica |
| 3 | cancel | Cancel::::■■■■■ | cancelled | c | Service is cancelled by Land Office (action is automatically logged when a service is cancelled)::::Pratica cancellata da Ufficio Territoriale |
| 4 | complete | Complete::::■■■■■ | completed | c | Application is ready for approval (action is automatically logged when service is marked as complete::::Pratica pronta per approvazione |
| 5 | revert | Revert::::■■■■■■■■ | pending | c | The status of the service has been reverted to pending from being completed (action is automatically logged when a service is reverted back for further work)::::ITALIANO |

# application_property

Details of the property associated with an applicationLADM Reference ObjectFLOSS SOLA ExtensionLADM DefinitionNot Applicable

## *Columns*

| Name | Type | Optional | Default | Description |
|---|---|---|---|---|
| application_id | varchar(40) | False | | **SOLA Extension** - the application id |
| ba_unit_id | varchar(40) | False | | **LADM Definition** - the id for ba_unit |

## *Constraints*

| Name | Type | Explanation |
|---|---|---|
| application_property_pkey | PRIMARY KEY | Combination of (application_id,ba_unit_id) is the primary key |

## *Relationships (from)*

| Name | Information | Description |
|---|---|---|
| application_property_application_id_fk42 | **From columns**: application_id<br>**To Entity**: application<br>**From cardinality**: 0..*<br>**To Cardinality**: 1 | FLOSS SOLA relationship - no refinement |
| application_property_ba_unit_id_fk46 | **From columns**: ba_unit_id<br>**To Entity**: ba_unit<br>**From cardinality**: 0..*<br>**To Cardinality**: 1 | SOLA Extension relationship - no refinement |

# application_uses_source

Sources (documents) submitted with an application, created as a result of the application by land officers or further documents added to assist in the processing of the application

**LADM Reference Object**
FLOSS SOLA Extension

**LADM Definition**
Not Applicable

## *Columns*

| Name | Type | Optional | Default | Description |
|---|---|---|---|---|
| application_id | varchar(40) | False | | **SOLA Extension** - the application id |
| source_id | varchar(40) | False | | **LADM Definition** - the source (document) id |

## *Constraints*

| Name | Type | Explanation |
|---|---|---|
| application_uses_source_pkey | PRIMARY KEY | Combination of (application_id,source_id) is the primary key |

## *Relationships (from)*

| Name | Information | Description |
|---|---|---|
| application_uses_source_source_id_fk43 | **From columns**: source_id<br>**To Entity**: source<br>**From cardinality**: 0..*<br>**To Cardinality**: 1 | FLOSS SOLA relationship - no refinement |
| application_uses_source_application_id_fk44 | **From columns**: application_id<br>**To Entity**: application<br>**From cardinality**: 0..*<br>**To Cardinality**: 1 | FLOSS SOLA relationship - no refinement |

# request_type_requires_source_type

Source (documents) required for a particular (Service) Request received by a land office

**LADM Reference Object**
FLOSS SOLA Extension

**LADM Definition**
Not Applicable

## *Columns*

| Name | Type | Optional | Default | Description |
|---|---|---|---|---|
| source_type_code | varchar(20) | False | | **SOLA Extension** - source type code |
| request_type_code | varchar(20) | False | | **SOLA Extension** - request type code |

## *Constraints*

| Name | Type | Explanation |
|---|---|---|
| request_type_requires_source_type_pkey | PRIMARY KEY | Combination of (source_type_code,request_type_code) is the primary key |

## *Relationships (from)*

| Name | Information | Description |
|---|---|---|
| request_type_requires_source_type_request_type_code_fk45 | **From columns**: request_type_code<br>**To Entity**: request_type<br>**From cardinality**: 0..*<br>**To Cardinality**: 1 | FLOSS SOLA relationship - no refinement |
| request_type_requires_source_type_source_type_code_fk52 | **From columns**: source_type_code<br>**To Entity**: administrative_source_type<br>**From cardinality**: 0..*<br>**To Cardinality**: 1 | FLOSS SOLA relationship - no refinement |

## *Data*

| Nr | source_type_code | request_type_code |
|---|---|---|
| 1 | cadastralSurvey | cadastreChange |
| 2 | cadastralSurvey | redefineCadastre |
| 3 | mortgage | missingLandRegister |
| 4 | title | missingLandRegister |
| 5 | title | resignation |
| 6 | deed | regnDeeds |
| 7 | lease | newSurvey |
| 8 | powerOfAttorney | regnPowerOfAttorney |
| 9 | deed | propertyDivision |
| 10 | title | manuJodiako |

| | | |
|---|---|---|
| 11 | deed | manuJodiako |
| 12 | deed | removeDuplicate |
| 13 | deed | afterDeathWilling |
| 14 | mortgage | shresthaAdhyabadhik |
| 15 | deed | guthiRaitani |
| 16 | deed | ownerCancellation |
| 17 | title | chakalaBandhi |
| 18 | deed | chakalaBandhi |
| 19 | deed | newApartment |
| 20 | deed | stayCurrent |
| 21 | deed | lakhaBandhaki |
| 22 | title | lakhaBandhaki |
| 23 | deed | distriBandhaki |
| 24 | title | distriBandhaki |
| 25 | deed | agreement |
| 26 | deed | donationLetter |
| 27 | lease | rightReceived |
| 28 | deed | rightReceived |
| 29 | title | threeGeneration |
| 30 | deed | threeGeneration |
| 31 | deed | decisionBased |
| 32 | title | decisionBased |

# party

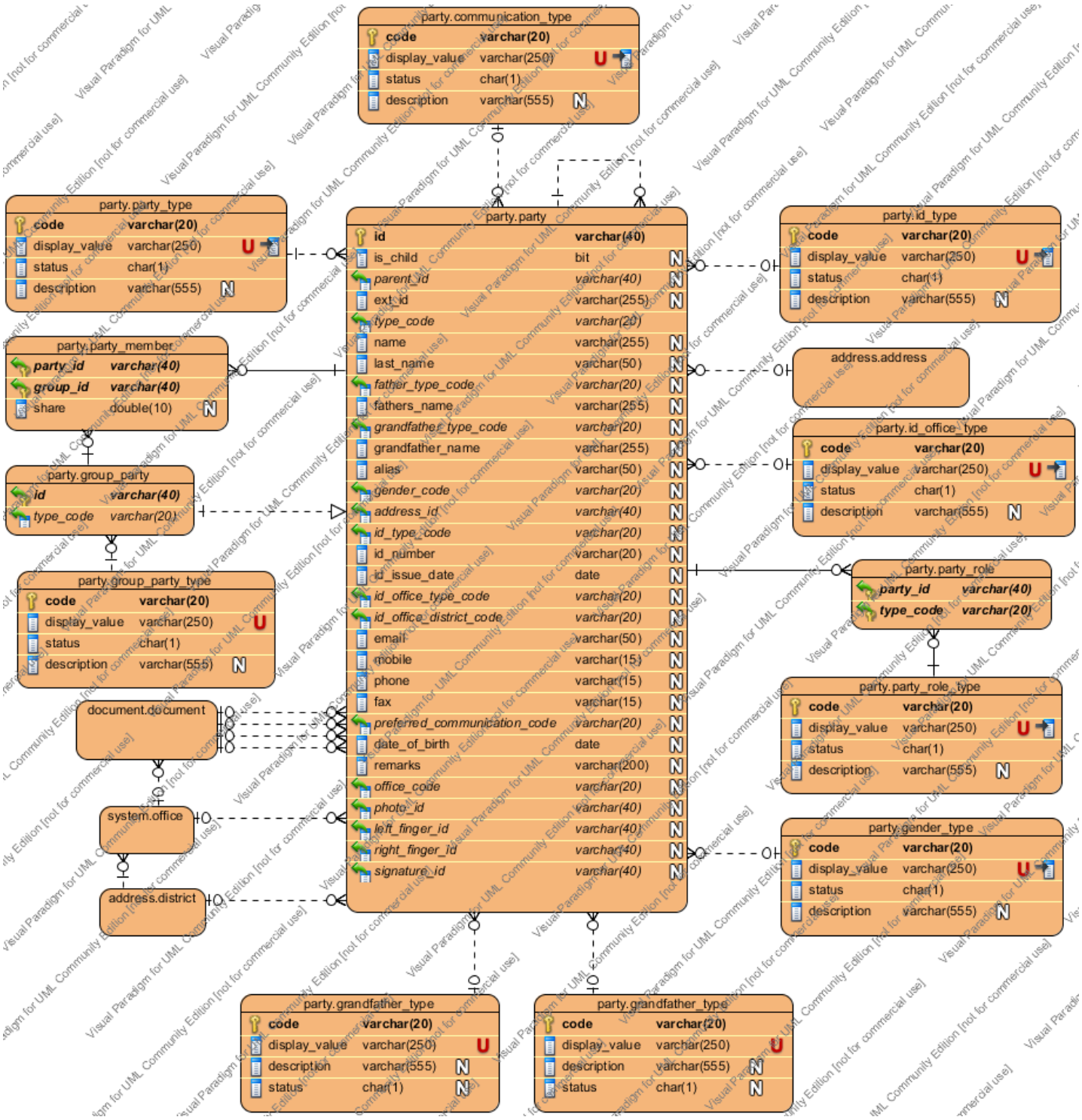


## party

An individual or group of individual people or a non-person organisation that is associated in some way with land office services.Also refer to LADM DefinitionLADM Reference Object LA_PartyLADM DefinitionRegistered and identified as a constituent of a group party.

### *Columns*

| Name | Type | Optional | Default | Description |
|---|---|---|---|---|

| | | | | |
|---|---|---|---|---|
| id | varchar(40) | False | | **LADM Definition** The identifier of the party |
| is_child | bool | True | 'f' | Introduced in Nepal project. Flag, identifying person as a adult or non-adult. |
| parent_id | varchar(40) | True | | Introduced in Nepal project. Reference ID on the parent record in the same table. Used to reference guardians for non-adult persons. |
| ext_id | varchar(255) | True | | **LADM Definition** An identifier for the party from a system external to SOLA |
| type_code | varchar(20) | False | | **LADM Definition** The type code for the party |
| name | varchar(255) | True | | **LADM Definition** Name of party |
| last_name | varchar(50) | True | | **SOLA Extension** - Last name of party |
| father_type_code | varchar(20) | True | | |
| fathers_name | varchar(255) | True | | **SOLA Extension** - First name of father of the party. |
| grandfather_type_code | varchar(20) | True | | |
| grandfather_name | varchar(255) | True | | |
| alias | varchar(50) | True | | **SOLA Extension** - Alias of the party. |
| gender_code | varchar(20) | True | | The gender of the party. If type of the party is naturalPerson then the gender_code must be given. |
| address_id | varchar(40) | True | | **SOLA Extension** - An identifier for the contact address of party |
| id_type_code | varchar(20) | True | | **SOLA Extension** The type of the identification which is used to identify the party. |
| id_number | varchar(20) | True | | **SOLA Extension** The number of the id document. |
| id_issue_date | date | True | | |
| id_office_type_code | varchar(20) | True | | |
| id_office_district_code | varchar(20) | True | | |
| email | varchar(50) | True | | **SOLA Extension** Party's contact email address |
| mobile | varchar(15) | True | | **SOLA Extension** Contact mobile number of party |
| phone | varchar(15) | True | | **SOLA Extension** Landline phone number of party |
| fax | varchar(15) | True | | **SOLA Extension** Fax number of party |
| preferred_communication_code | varchar(20) | True | | **SOLA Extension** Code for mode of preferred communication |
| date_of_birth | date | True | | |
| remarks | varchar(200) | True | | |
| office_code | varchar(20) | True | | |
| photo_id | varchar(40) | True | | |
| left_finger_id | varchar(40) | True | | |
| right_finger_id | varchar(40) | True | | |
| signature_id | varchar(40) | True | | |

### *Constraints*

| Name | Type | Explanation |
|---|---|---|
| party_id_is_present | CHECK | Rule ((id_type_code is null and id_number is null) or ((id_type_code is not null and id_number is not null))) must be true If id_type_code is provided then also the id_number must be provided and the other way around. |
| party_pkey | PRIMARY KEY | Combination of (id) is the primary key |

### *Relationships (from)*

| Name | Information | Description |
|---|---|---|
| party_type_code_fk2 | **From columns**: type_code<br>**To Entity**: party_type<br>**From cardinality**: 0..*<br>**To Cardinality**: 1 | LADM relationship - no refinement |
| party_address_id_fk34 | **From columns**: address_id<br>**To Entity**: address<br>**From cardinality**: 0..*<br>**To Cardinality**: 0..1 | FLOSS SOLA relationship - no refinement |
| party_preferred_communication_code_fk36 | **From columns**: preferred_communication_code<br>**To Entity**: communication_type<br>**From cardinality**: 0..*<br>**To Cardinality**: 0..1 | FLOSS SOLA relationship - no refinement |
| party_id_type_code_fk40 | **From columns**: id_type_code<br>**To Entity**: id_type<br>**From cardinality**: 0..*<br>**To Cardinality**: 0..1 | FLOSS SOLA relationship - no refinement |
| party_gender_code_fk91 | **From columns**: gender_code<br>**To Entity**: gender_type<br>**From cardinality**: 0..*<br>**To Cardinality**: 0..1 | |
| party_office_code_fk130 | **From columns**: office_code<br>**To Entity**: office<br>**From cardinality**: 0..*<br>**To Cardinality**: 0..1 | |
| party_photo_id_fk141 | **From columns**: photo_id<br>**To Entity**: document<br>**From cardinality**: 0..*<br>**To Cardinality**: 0..1 | |
| party_left_finger_id_fk142 | **From columns**: left_finger_id<br>**To Entity**: document<br>**From cardinality**: 0..*<br>**To Cardinality**: 0..1 | |
| party_right_finger_id_fk143 | **From columns**: right_finger_id<br>**To Entity**: document<br>**From cardinality**: 0..*<br>**To Cardinality**: 0..1 | |
| party_signature_id_fk144 | **From columns**: signature_id<br>**To Entity**: document<br>**From cardinality**: 0..*<br>**To Cardinality**: 0..1 | |

| | | |
|---|---|---|
| party_parent_id_fk156 | **From columns**: parent_id<br>**To Entity**: party<br>**From cardinality**: 0..*<br>**To Cardinality**: 1 | |
| party_grandfather_type_code_fk157 | **From columns**: grandfather_type_code<br>**To Entity**: grandfather_type<br>**From cardinality**: 0..*<br>**To Cardinality**: 0..1 | |
| party_father_type_code_fk158 | **From columns**: father_type_code<br>**To Entity**: grandfather_type<br>**From cardinality**: 0..*<br>**To Cardinality**: 0..1 | |
| party_id_office_district_code_fk159 | **From columns**: id_office_district_code<br>**To Entity**: district<br>**From cardinality**: 0..*<br>**To Cardinality**: 0..1 | |
| party_id_office_type_code_fk165 | **From columns**: id_office_type_code<br>**To Entity**: id_office_type<br>**From cardinality**: 0..*<br>**To Cardinality**: 0..1 | |

### *Relationships (to)*

| Name | Information | Description |
|---|---|---|
| party_member_party_id_fk4 | **From columns**: party_id<br>**From Entity**: party_member<br>**From cardinality**: 0..*<br>**To Cardinality**: 1 | LADM relationship - no refinement |
| group_party_id_fk10 | **From columns**: id<br>**From Entity**: group_party<br>**From cardinality**: 1<br>**To Cardinality**: 1 | LADM relationship - no refinement |
| party_role_party_id_fk32 | **From columns**: party_id<br>**From Entity**: party_role<br>**From cardinality**: 0..*<br>**To Cardinality**: 1 | FLOSS SOLA relationship - no refinement |
| application_agent_id_fk33 | **From columns**: agent_id<br>**From Entity**: application<br>**From cardinality**: 0..*<br>**To Cardinality**: 0..1 | FLOSS SOLA relationship - no refinement |
| application_contact_person_id_fk37 | **From columns**: contact_person_id<br>**From Entity**: application<br>**From cardinality**: 0..*<br>**To Cardinality**: 1 | FLOSS SOLA relationship - no refinement |
| ba_unit_as_party_party_id_fk54 | **From columns**: party_id<br>**From Entity**: ba_unit_as_party<br>**From cardinality**: 0..*<br>**To Cardinality**: 1 | |
| party_for_rrr_party_id_fk77 | **From columns**: party_id<br>**From Entity**: party_for_rrr<br>**From cardinality**: 0..*<br>**To Cardinality**: 1 | |

# party_type

Reference Table / Code list of party types

**LADM Reference Object**
LA_

**LADM Definition**
The type of party

## *Columns*

| Name | Type | Optional | Default | Description |
|---|---|---|---|---|
| code | varchar(20) | False | | **LADM Definition** - Code for party type |
| display_value | varchar(250) | False | | **LADM Definition** - displayed value for party type |
| status | char(1) | False | 't' | **SOLA Extension** party type status |
| description | varchar(555) | True | | **LADM Definition** - description of party type |

## *Constraints*

| Name | Type | Explanation |
|---|---|---|
| party_type_display_value_unique | UNIQUE | Combination of (display_value) is unique |
| party_type_pkey | PRIMARY KEY | Combination of (code) is the primary key |

## *Relationships (to)*

| Name | Information | Description |
|---|---|---|
| party_type_code_fk2 | **From columns**: type_code<br>**From Entity**: party<br>**From cardinality**: 0..*<br>**To Cardinality**: 1 | LADM relationship - no refinement |

## *Data*

| Nr | code | display_value | status | description |
|---|---|---|---|---|
| 1 | naturalPerson | Natural Person::::Persona Naturale | c | |
| 2 | nonNaturalPerson | Non-natural Person::::Persona Giuridica | c | |
| 3 | baunit | Basic Administrative Unit::::Unita Amministrativa di Base | c | |
| 4 | group | Group::::Gruppo | | |

# communication_type

Reference Table / Code list for the different means of communication (from land office to their clients)

**LADM Reference Object**
FLOSS SOLA Extension

**LADM Definition**
Not Applicable

## *Columns*

| Name | Type | Optional | Default | Description |
|---|---|---|---|---|
| code | varchar(20) | False | | **SOLA Extension** - Communication type code |
| display_value | varchar(250) | False | | **SOLA Extension** - Display value for the communication type |
| status | char(1) | False | 't' | **SOLA Extension** - Status of the communication type |
| description | varchar(555) | True | | **SOLA Extension** - Description of the communication type |

## *Constraints*

| Name | Type | Explanation |
|---|---|---|
| communication_type_display_value_unique | UNIQUE | Combination of (display_value) is unique |
| communication_type_pkey | PRIMARY KEY | Combination of (code) is the primary key |

## *Relationships (to)*

| Name | Information | Description |
|---|---|---|
| party_preferred_communication_code_fk36 | **From columns**: preferred_communication_code<br>**From Entity**: party<br>**From cardinality**: 0..*<br>**To Cardinality**: 0..1 | FLOSS SOLA relationship - no refinement |

## *Data*

| Nr | code | display_value | status | description |
|---|---|---|---|---|
| 1 | eMail | e-Mail:::E-mail | c | |
| 2 | fax | Fax:::Fax | c | |
| 3 | post | Post:::Posta | c | |
| 4 | phone | Phone:::Telefono | c | |
| 5 | courier | Courier:::Corriere | c | |

# id_type

Reference Table / Code list for the types of the documents that can be used to identify a party.

**LADM Reference Object**
FLOSS SOLA Extension

**LADM Definition**
Not Applicable

## *Columns*

| Name | Type | Optional | Default | Description |
|---|---|---|---|---|
| code | varchar(20) | False | | **SOLA Extension** - identifier for the type of person ID |
| display_value | varchar(250) | False | | **SOLA Extension** - displayed value of type of personal ID |
| status | char(1) | False | 't' | **SOLA Extension** - (personal) ID type status |
| description | varchar(555) | True | | **SOLA Extension** - description of personal ID type |

## *Constraints*

| Name | Type | Explanation |
|---|---|---|
| id_type_display_value_unique | UNIQUE | Combination of (display_value) is unique |
| id_type_pkey | PRIMARY KEY | Combination of (code) is the primary key |

## *Relationships (to)*

| Name | Information | Description |
|---|---|---|
| party_id_type_code_fk40 | **From columns**: id_type_code<br>**From Entity**: party<br>**From cardinality**: 0..*<br>**To Cardinality**: 0..1 | FLOSS SOLA relationship - no refinement |

## *Data*

| Nr | code | display_value | status | description |
|---|---|---|---|---|
| 1 | nationalID | National ID::::Carta Identita Nazionale | c | The main person ID that exists in the country::::Il principale documento identificativo nel paese |
| 2 | nationalPassport | National Passport::::Passaporto Nazionale | c | A passport issued by the country::::Passaporto fornito dal paese |
| 3 | otherPassport | Other Passport::::Altro Passaporto | c | A passport issued by another country::::Passaporto Fornito da un altro paese |
| 4 | citizenship | Citizenship::::Citizenship | c | Citizenship::::Citizenship |

# gender_type

The gender type list a party can have.

## *Columns*

| Name | Type | Optional | Default | Description |
|---|---|---|---|---|
| code | varchar(20) | False | | **SOLA Extension** - code for party role type |
| display_value | varchar(250) | False | | **SOLA Extension** - displayed value of party role type |
| status | char(1) | False | 't' | **SOLA Extension** - Indication of party role type status |
| description | varchar(555) | True | | **SOLA Extension** - description of party role type |

## *Constraints*

| Name | Type | Explanation |
|---|---|---|
| gender_type_display_value_unique | UNIQUE | Combination of (display_value) is unique |
| gender_type_pkey | PRIMARY KEY | Combination of (code) is the primary key |

## *Relationships (to)*

| Name | Information | Description |
|---|---|---|
| party_gender_code_fk91 | **From columns**: gender_code<br>**From Entity**: party<br>**From cardinality**: 0..*<br>**To Cardinality**: 0..1 | |

## *Data*

| Nr | code | display_value | status | description |
|---|---|---|---|---|
| 1 | male | Male | c | |
| 2 | female | Female | c | |

# id_office_type

Introduced in Nepal project.The list of ID certificate issuing offiices.

## *Columns*

| Name | Type | Optional | Default | Description |
|---|---|---|---|---|
| code | varchar(20) | False | | Code of office type |
| display_value | varchar(250) | False | | Displayed value of office type |
| status | char(1) | False | 't' | Indication of office type status |
| description | varchar(555) | True | | Description of office type |

## *Constraints*

| Name | Type | Explanation |
|---|---|---|
| id_office_type_display_value_unique | UNIQUE | Combination of (display_value) is unique |
| id_office_type_pkey | PRIMARY KEY | Combination of (code) is the primary key |

## *Relationships (to)*

| Name | Information | Description |
|---|---|---|
| party_id_office_type_code_fk165 | **From columns**: id_office_type_code<br>**From Entity**: party<br>**From cardinality**: 0..*<br>**To Cardinality**: 0..1 | |

## *Data*

| Nr | code | display_value | status | description |
|---|---|---|---|---|
| 1 | male | Male | c | |
| 2 | female | Female | c | |

# grandfather_type

Introduced in Nepal project.Contains grandfather types. Can be grandfather, grandfather in low or grandfather\grandfather in low.

## *Columns*

| Name | Type | Optional | Default | Description |
|---|---|---|---|---|
| code | varchar(20) | False | | Primary key |
| display_value | varchar(250) | False | | Display value. |
| description | varchar(555) | True | | Value description. |
| status | char(1) | True | 'c' | Status of record. |

## *Constraints*

| Name | Type | Explanation |
|---|---|---|
| grandfather_type_display_value_unique | UNIQUE | Combination of (display_value) is unique |
| grandfather_type_pkey | PRIMARY KEY | Combination of (code) is the primary key |

## *Relationships (to)*

| Name | Information | Description |
|---|---|---|
| party_grandfather_type_code_fk157 | **From columns**: grandfather_type_code<br>**From Entity**: party<br>**From cardinality**: 0..*<br>**To Cardinality**: 0..1 | |
| party_father_type_code_fk158 | **From columns**: father_type_code<br>**From Entity**: party<br>**From cardinality**: 0..*<br>**To Cardinality**: 0..1 | |

# group_party

Refer to LADM Definition

**LADM Reference Object**
LA_GroupParty

**LADM Definition**
Any number of parties, forming together a distinct entity, with each party identified

## *Columns*

| Name | Type | Optional | Default | Description |
|---|---|---|---|---|
| id | varchar(40) | False | | LADM Description - Identifier of a group party |
| type_code | varchar(20) | False | | LADM Description - The type of a group party |

## *Constraints*

| Name | Type | Explanation |
|---|---|---|
| group_party_pkey | PRIMARY KEY | Combination of (id) is the primary key |

## *Relationships (from)*

| Name | Information | Description |
|---|---|---|
| group_party_type_code_fk3 | **From columns**: type_code<br>**To Entity**: group_party_type<br>**From cardinality**: 0..*<br>**To Cardinality**: 1 | LADM relationship - no refinement |
| group_party_id_fk10 | **From columns**: id<br>**To Entity**: party<br>**From cardinality**: 1<br>**To Cardinality**: 1 | LADM relationship - no refinement |

## *Relationships (to)*

| Name | Information | Description |
|---|---|---|
| party_member_group_id_fk5 | **From columns**: group_id<br>**From Entity**: party_member<br>**From cardinality**: 0..*<br>**To Cardinality**: 1 | LADM relationship - no refinement |

# group_party_type

Reference Table / Code list to identify different types of groups being a party to some form of land office transaction

**LADM Reference Object**
LA_

**LADM Definition**
Not Defined

## *Columns*

| Name | Type | Optional | Default | Description |
|---|---|---|---|---|
| code | varchar(20) | False | | **LADM Definition** - Group type code/identifier |
| display_value | varchar(250) | False | | **LADM Definition** - A value assigned for group party type |
| status | char(1) | False | 't' | **SOLA Extension** - Indication of party group type status |
| description | varchar(555) | True | | **LADM Definition** -A brief description of party type |

## *Constraints*

| Name | Type | Explanation |
|---|---|---|
| group_party_type_display_value_unique | UNIQUE | Combination of (display_value) is unique |
| group_party_type_pkey | PRIMARY KEY | Combination of (code) is the primary key |

## *Relationships (to)*

| Name | Information | Description |
|---|---|---|
| group_party_type_code_fk3 | **From columns**: type_code<br>**From Entity**: group_party<br>**From cardinality**: 0..*<br>**To Cardinality**: 1 | LADM relationship - no refinement |

## *Data*

| Nr | code | display_value | status | description |
|---|---|---|---|---|
| 1 | tribe | Tribe::::Tribu | x | |
| 2 | association | Association::::Associazione | c | |
| 3 | family | Family::::Famiglia | c | |
| 4 | baunitGroup | Basic Administrative Unit Group::::Unita Gruppo Amministrativo di Base | x | |

# party_member

Refer to LADM Definition

**LADM Reference Object**
LA_PartyMember

**LADM Definition**
A member belonging to a party.

## *Columns*

| Name | Type | Optional | Default | Description |
|---|---|---|---|---|
| party_id | varchar(40) | False | | **LADM Definition** - The identifier of the party |
| group_id | varchar(40) | False | | **LADM Definition** - The identifier of the party group |
| share | double precision | True | | **LADM Definition** - the share of a right (restriction or responsibility) held by a party member expressed as a fraction with a numerator and denominator |

## *Constraints*

| Name | Type | Explanation |
|---|---|---|
| party_member_pkey | PRIMARY KEY | Combination of (party_id,group_id) is the primary key |

## *Relationships (from)*

| Name | Information | Description |
|---|---|---|
| party_member_party_id_fk4 | **From columns**: party_id<br>**To Entity**: party<br>**From cardinality**: 0..*<br>**To Cardinality**: 1 | LADM relationship - no refinement |
| party_member_group_id_fk5 | **From columns**: group_id<br>**To Entity**: group_party<br>**From cardinality**: 0..*<br>**To Cardinality**: 1 | LADM relationship - no refinement |

# party_role

Records the role(s) a party has in land office processes

**LADM Reference Object**
FLOSS SOLA Extension LA_Party.role

**LADM Definition**
The role of a party in the data update and maintenance process

## *Columns*

| Name | Type | Optional | Default | Description |
|---|---|---|---|---|
| party_id | varchar(40) | False | | **LADM Definition** - The identifier of the party |
| type_code | varchar(20) | False | | **SOLA Extension** - The code for  role type |

## *Constraints*

| Name | Type | Explanation |
|---|---|---|
| party_role_pkey | PRIMARY KEY | Combination of (party_id,type_code) is the primary key |

## *Relationships (from)*

| Name | Information | Description |
|---|---|---|
| party_role_type_code_fk31 | **From columns**: type_code<br>**To Entity**: party_role_type<br>**From cardinality**: 0..*<br>**To Cardinality**: 1 | FLOSS SOLA relationship - no refinement |
| party_role_party_id_fk32 | **From columns**: party_id<br>**To Entity**: party<br>**From cardinality**: 0..*<br>**To Cardinality**: 1 | FLOSS SOLA relationship - no refinement |

# party_role_type

Reference Table / Code list of types of party roles

**LADM Reference Object**
LA_

**LADM Definition**
The role of the party in the data update and maintenance process;

## *Columns*

| Name | Type | Optional | Default | Description |
|---|---|---|---|---|
| code | varchar(20) | False | | **SOLA Extension** - code for party role type |
| display_value | varchar(250) | False | | **SOLA Extension** - displayed value of party role type |
| status | char(1) | False | 't' | **SOLA Extension** - Indication of party role type status |
| description | varchar(555) | True | | **SOLA Extension** - description of party role type |

## *Constraints*

| Name | Type | Explanation |
|---|---|---|
| party_role_type_display_value_unique | UNIQUE | Combination of (display_value) is unique |
| party_role_type_pkey | PRIMARY KEY | Combination of (code) is the primary key |

## *Relationships (to)*

| Name | Information | Description |
|---|---|---|
| party_role_type_code_fk31 | **From columns**: type_code<br>**From Entity**: party_role<br>**From cardinality**: 0..*<br>**To Cardinality**: 1 | FLOSS SOLA relationship - no refinement |

## *Data*

| Nr | code | display_value | status | description |
|---|---|---|---|---|
| 1 | conveyor | Conveyor::::Trasportatore | x | |
| 2 | notary | Notary::::Notaio | c | |
| 3 | writer | Writer::::Autore | x | |
| 4 | surveyor | Surveyor::::Perito | x | |
| 5 | certifiedSurveyor | Licenced Surveyor::::Perito con Licenza | c | |
| 6 | bank | Bank::::Banca | c | |
| 7 | moneyProvider | Money Provider::::Istituto Credito | c | |
| 8 | employee | Employee::::Impiegato | x | |

| | | | | |
|---|---|---|---|---|
| 9 | farmer | Farmer::::Contadino | x | |
| 10 | citizen | Citizen::::Cittadino | c | |
| 11 | stateAdministrator | Registrar / Approving Surveyor::::Cancelleriere/ Perito Approvatore/ | c | |
| 12 | landOfficer | Land Officer::::Ufficiale del Registro Territoriale | c | Extension to LADM |
| 13 | lodgingAgent | Lodging Agent::::Richiedente Registrazione | c | Extension to LADM |
| 14 | powerOfAttorney | Power of Attorney::::Procuratore | c | Extension to LADM |
| 15 | transferee | Transferee (to)::::Avente Causa | c | Extension to LADM |
| 16 | transferor | Transferor (from)::::Dante Causa | c | Extension to LADM |
| 17 | applicant | Applicant | c | Extension to LADM |

# administrative

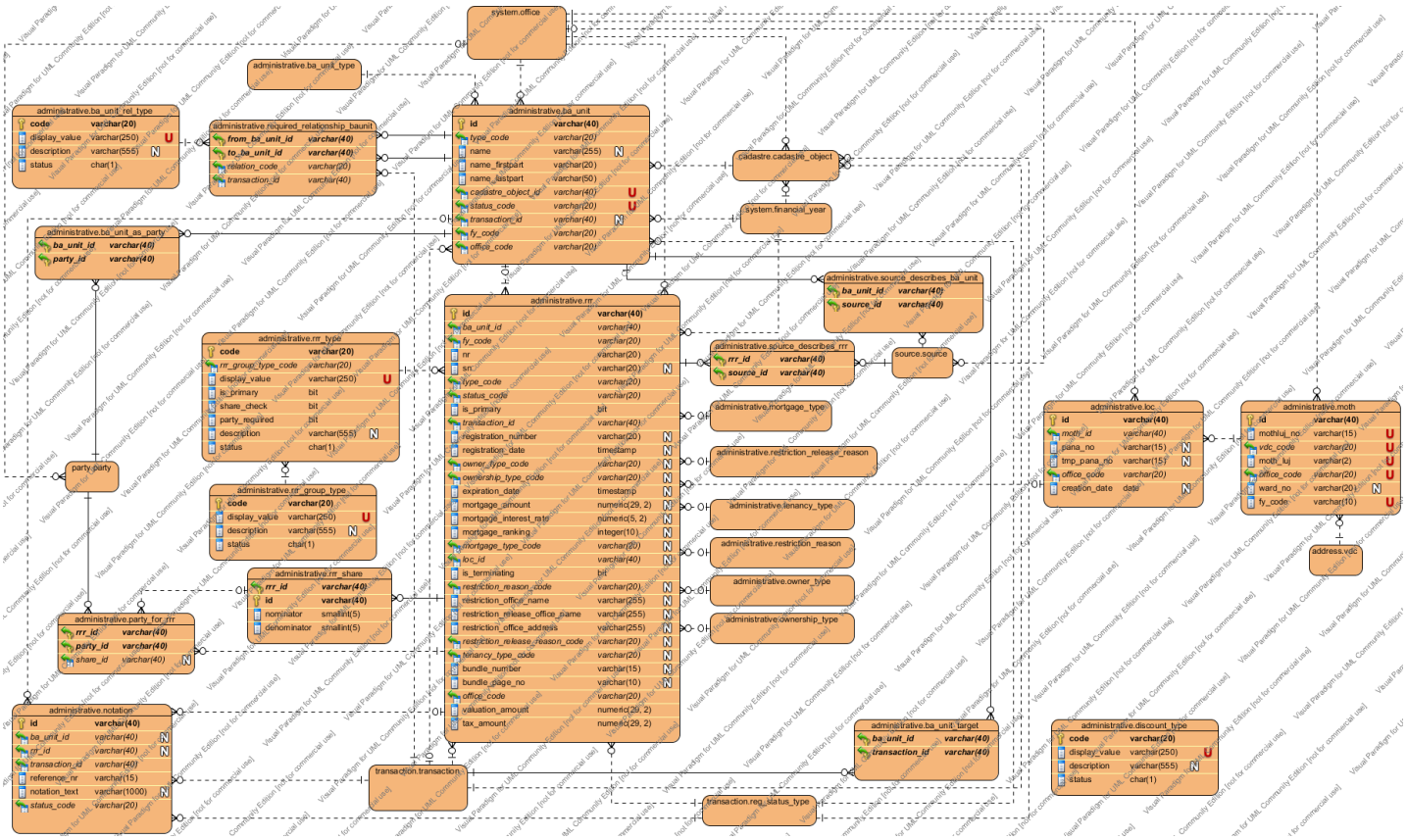


## rrr_type

Reference Table / Code list of rrr typesLADM Reference Object LA_RightType, LA_RestrictionType &LA_ResponsibilityTypeLADM DefinitionThe type of right/restriction/responsibility

### *Columns*

| Name | Type | Optional | Default | Description |
|---|---|---|---|---|
| code | varchar(20) | False | | **LADM Definition** - Code for responsibility and rights type code |
| rrr_group_type_code | varchar(20) | False | | **LADM Definition** - Group restriction, responsibility and rights type code |
| display_value | varchar(250) | False | | **LADM Definition** - displayed value of right (responsibility or restriction) type |
| is_primary | bool | False | false | |
| share_check | bool | False | | **LADM Definition** - the check that totals all shares of a right (restriction or responsibility) to ensure they equal 1 (100%) |
| party_required | bool | False | | **LADM Definition** - A flag to indicate that a party must related to this type of right (restriction or responsibility) |
| description | varchar(555) | True | | **LADM Definition** - Description for restriction, responsibility and rights type |
| status | char(1) | False | 't' | **SOLA Extension** - Status of restriction, responsibility and rights type |

### *Constraints*

| Name | Type | Explanation |
|---|---|---|
| rrr_type_display_value_unique | UNIQUE | Combination of (display_value) is unique |
| rrr_type_pkey | PRIMARY KEY | Combination of (code) is the primary key |

### *Relationships (from)*

| Name | Information | Description |
|---|---|---|
| rrr_type_rrr_group_type_code_fk8 | **From columns**: rrr_group_type_code<br>**To Entity**: rrr_group_type<br>**From cardinality**: 0..*<br>**To Cardinality**: 1 | LADM relationship - no refinement |

### *Relationships (to)*

| Name | Information | Description |
|---|---|---|
| rrr_type_code_fk9 | **From columns**: type_code<br>**From Entity**: rrr<br>**From cardinality**: 0..*<br>**To Cardinality**: 1 | LADM relationship - no refinement |
| br_validation_target_rrr_type_code_fk61 | **From columns**: target_rrr_type_code<br>**From Entity**: br_validation<br>**From cardinality**: 0..*<br>**To Cardinality**: 0..1 | |
| request_type_rrr_type_code_fk79 | **From columns**: rrr_type_code<br>**From Entity**: request_type<br>**From cardinality**: 0..*<br>**To Cardinality**: 0..1 | |

### *Data*

| Nr | code | rrr_group_type_code | display_value | is_primary |
|---|---|---|---|---|
| 1 | agriActivity | rights | Agriculture Activity::::Attivita Agricola | false |
| 2 | commonOwnership | ownership | Common Ownership::::Proprieta Comune | false |
| 3 | customaryType | rights | Customary Right::::Diritto Abituale | false |
| 4 | firewood | rights | Firewood Collection::::Collezione legna da ardere | false |
| 5 | fishing | rights | Fishing Right::::Diritto di Pesca | false |
| 6 | grazing | rights | Grazing Right::::Diritto di Pascolo | false |
| 7 | informalOccupation | rights | Informal Occupation::::Occupazione informale | false |
| 8 | lease | rights | Lease::::Affitto | false |

| | | | | |
|---|---|---|---|---|
| 9 | occupation | rights | Occupation::::Occupazione | false |
| 10 | ownership | ownership | Ownership::::Proprieta | true |
| 11 | ownershipAssumed | rights | Ownership Assumed::::Proprieta Assunta | true |
| 12 | superficies | rights | Superficies::::Superficie | false |
| 13 | tenancy | rights | Tenancy::::Locazione | true |
| 14 | usufruct | rights | Usufruct::::Usufrutto | false |
| 15 | waterrights | rights | Water Right::::Servitu di Acqua | false |
| 16 | adminPublicServitude | restrictions | Administrative Public Servitude::::Servitu Amministrazione Pubblica | false |
| 17 | monument | restrictions | Monument::::Monumento | false |
| 18 | mortgage | restrictions | Mortgage::::Ipoteca | false |
| 19 | noBuilding | restrictions | Building Restriction::::Restrizione di Costruzione | false |
| 20 | servitude | restrictions | Servitude::::Servitu | false |
| 21 | monumentMaintenance | responsibilities | Monument Maintenance::::Mantenimento Monumenti | false |
| 22 | waterwayMaintenance | responsibilities | Waterway Maintenance::::Mantenimento Acqurdotti | false |
| 23 | lifeEstate | rights | Life Estate::::Patrimonio vita | true |
| 24 | apartment | ownership | Apartment Ownership::::Proprieta Appartamento | true |
| 25 | stateOwnership | ownership | State Ownership::::Proprieta di Stato | true |
| 26 | caveat | restrictions | Caveat::::Ammonizione | false |
| 27 | historicPreservation | restrictions | Historic Preservation::::Conservazione Storica | false |
| 28 | limitedAccess | restrictions | Limited Access (to Road)::::Accesso limitato (su strada) | false |

| Nr | share_check | party_required | description | status |
|---|---|---|---|---|
| 1 | true | true | | x |
| 2 | true | true | | x |
| 3 | true | true | | x |
| 4 | true | true | | x |
| 5 | true | true | | x |
| 6 | true | true | | x |
| 7 | false | false | | x |
| 8 | true | true | | c |
| 9 | true | true | | c |
| 10 | true | true | | c |
| 11 | true | true | | x |

| | | | | |
|---|---|---|---|---|
| 12 | true | true | | x |
| 13 | true | true | | c |
| 14 | true | true | | c |
| 15 | true | true | | c |
| 16 | true | true | | x |
| 17 | true | true | | x |
| 18 | true | true | | c |
| 19 | false | false | | c |
| 20 | false | false | | c |
| 21 | false | false | | x |
| 22 | false | false | | x |
| 23 | true | true | Extension to LADM | x |
| 24 | true | true | Extension to LADM | c |
| 25 | false | false | Extension to LADM | c |
| 26 | true | true | Extension to LADM | c |
| 27 | false | false | Extension to LADM | c |
| 28 | false | false | Extension to LADM | c |

# rrr_group_type

Reference Table / Code list for different categories of LA_RRR

**LADM Reference Object**
LA_Responsibility, LA_Right, LA_Restriction as specialisations of LA_RR

**LADM Definition**
Not Defined

## *Columns*

| Name | Type | Optional | Default | Description |
|---|---|---|---|---|
| code | varchar(20) | False | | **LADM Definition** - Identifier of group type of restriction, rights responsibility |
| display_value | varchar(250) | False | | **LADM Definition** - the value to be displayed |
| description | varchar(555) | True | | **LADM Definition** - description of group type of restriction, rights responsibility |
| status | char(1) | False | | **SOLA Extension** Status of group type of restriction, rights responsibility |

## *Constraints*

| Name | Type | Explanation |
|---|---|---|
| rrr_group_type_display_value_unique | UNIQUE | Combination of (display_value) is unique |
| rrr_group_type_pkey | PRIMARY KEY | Combination of (code) is the primary key |

## *Relationships (to)*

| Name | Information | Description |
|---|---|---|
| rrr_type_rrr_group_type_code_fk8 | **From columns**: rrr_group_type_code<br>**From Entity**: rrr_type<br>**From cardinality**: 0..*<br>**To Cardinality**: 1 | LADM relationship - no refinement |

## *Data*

| Nr | code | display_value | description | status |
|---|---|---|---|---|
| 1 | rights | Rights::::Diritti | | c |
| 2 | restrictions | Restrictions::::Restrizioni | | c |
| 3 | responsibilities | Responsibilities::::Responsabilita | | x |
| 4 | ownership | Ownership::::Ownership | | c |

# ba_unit

Refer to LADM DefinitionLADM Reference Object LA_BAUnitLADM DefinitionBasic administrative units (abbreviated as baunits), are needed, among other things, to register ‘basic property units’, which consist of several spatial units, belonging to a party, under the same right (a right must be 'homogeneous' over the whole baunit)..

## *Columns*

| Name | Type | Optional | Default | Description |
|---|---|---|---|---|
| id | varchar(40) | False | | **LADM Definition** - The identifier of the basic administrative unit |
| type_code | varchar(20) | False | | **LADM Definition** - The type of the basic administrative unit |
| name | varchar(255) | True | | **LADM Definition** - The name of the basic administrative unit |
| name_firstpart | varchar(20) | False | | **LADM Definition** - It is the part of the identifier of the property. Together with the name_lastpart is supposed to uniquely identify the property.This constraint it is not enforced, because there will be cases when it is not unique. Combination of name_firstpart and name_lastpart must derive the value of ba_unit. |
| name_lastpart | varchar(50) | False | | **LADM Definition** - It is the last part of the identifier of the property. Together with the name_firstpart is supposed to uniquely identify the property.This constraint it is not enforced, because there will be cases when it is not unique. Combination of name_firstpart and name_lastpart must derive the value of ba_unit. |
| cadastre_object_id | varchar(40) | False | | Introduced in Nepal project. Direct reference on the cadastre object. |
| status_code | varchar(20) | False | 'pending' | The status of the ba unit. |
| transaction_id | varchar(40) | True | | Transaction which creates the baunit. |
| fy_code | varchar(20) | False | | Fiscal year reference code. |
| office_code | varchar(20) | False | | Introduced in Nepal project. The code of office, where the object was created |

## *Constraints*

| Name | Type | Explanation |
|---|---|---|
| ba_unit_unique_cadastre_object | UNIQUE | Combination of (cadastre_object_id, status_code) is unique |
| ba_unit_pkey | PRIMARY KEY | Combination of (id) is the primary key |

## *Relationships (from)*

| Name | Information | Description |
|---|---|---|

| | | |
|---|---|---|
| ba_unit_type_code_fk6 | **From columns**: type_code<br>**To Entity**: ba_unit_type<br>**From cardinality**: 0..*<br>**To Cardinality**: 1 | LADM relationship - no refinement |
| ba_unit_status_code_fk63 | **From columns**: status_code<br>**To Entity**: reg_status_type<br>**From cardinality**: 0..*<br>**To Cardinality**: 1 | |
| ba_unit_transaction_id_fk83 | **From columns**: transaction_id<br>**To Entity**: transaction<br>**From cardinality**: 0..*<br>**To Cardinality**: 0..1 | |
| ba_unit_office_code_fk131 | **From columns**: office_code<br>**To Entity**: office<br>**From cardinality**: 0..*<br>**To Cardinality**: 1 | |
| ba_unit_cadastre_object_id_fk146 | **From columns**: cadastre_object_id<br>**To Entity**: cadastre_object<br>**From cardinality**: 0..*<br>**To Cardinality**: 1 | |
| ba_unit_fy_code_fk168 | **From columns**: fy_code<br>**To Entity**: financial_year<br>**From cardinality**: 0..*<br>**To Cardinality**: 1 | |

### *Relationships (to)*

| Name | Information | Description |
|---|---|---|
| rrr_ba_unit_id_fk7 | **From columns**: ba_unit_id<br>**From Entity**: rrr<br>**From cardinality**: 1..*<br>**To Cardinality**: 0..1 | LADM Definition - no refinement |
| source_describes_ba_unit_ba_unit_id_fk13 | **From columns**: ba_unit_id<br>**From Entity**: source_describes_ba_unit<br>**From cardinality**: 0..*<br>**To Cardinality**: 1 | LADM relationship - no refinement |
| required_relationship_baunit_from_ba_unit_id_fk14 | **From columns**: from_ba_unit_id<br>**From Entity**: required_relationship_baunit<br>**From cardinality**: 0..*<br>**To Cardinality**: 1 | LADM relationship - no refinement |
| required_relationship_baunit_to_ba_unit_id_fk15 | **From columns**: to_ba_unit_id<br>**From Entity**: required_relationship_baunit<br>**From cardinality**: 0..*<br>**To Cardinality**: 1 | LADM relationship - no refinement |
| application_property_ba_unit_id_fk46 | **From columns**: ba_unit_id<br>**From Entity**: application_property<br>**From cardinality**: 0..*<br>**To Cardinality**: 1 | SOLA Extension relationship - no refinement |

| | | |
|---|---|---|
| ba_unit_as_party_ba_unit_id_fk55 | **From columns**: ba_unit_id<br>**From Entity**: ba_unit_as_party<br>**From cardinality**: 0..*<br>**To Cardinality**: 1 | |
| notation_ba_unit_id_fk71 | **From columns**: ba_unit_id<br>**From Entity**: notation<br>**From cardinality**: 0..*<br>**To Cardinality**: 0..1 | |
| ba_unit_target_ba_unit_id_fk109 | **From columns**: ba_unit_id<br>**From Entity**: ba_unit_target<br>**From cardinality**: 0..*<br>**To Cardinality**: 1 | |

# ba_unit_type

Reference Table / Code list for types of BA Units

**LADM Reference Object**
LA_BAUnitType

**LADM Definition**
Not Defined

## *Columns*

| Name | Type | Optional | Default | Description |
|---|---|---|---|---|
| code | varchar(20) | False | | **LADM Definition** Basic unit type code |
| display_value | varchar(250) | False | | **LADM Definition** Display value for the basic unit type |
| description | varchar(555) | True | | **LADM Definition** Description of the unit type |
| status | char(1) | False | 't' | **SOLA Extension** Status of the basic unit type |

## *Constraints*

| Name | Type | Explanation |
|---|---|---|
| ba_unit_type_display_value_unique | UNIQUE | Combination of (display_value) is unique |
| ba_unit_type_pkey | PRIMARY KEY | Combination of (code) is the primary key |

## *Relationships (to)*

| Name | Information | Description |
|---|---|---|
| ba_unit_type_code_fk6 | **From columns**: type_code<br>**From Entity**: ba_unit<br>**From cardinality**: 0..*<br>**To Cardinality**: 1 | LADM relationship - no refinement |

## *Data*

| Nr | code | display_value | description | status |
|---|---|---|---|---|
| 1 | basicPropertyUnit | Basic Property Unit::::Unita base Proprieta | | c |
| 2 | leasedUnit | Leased Unit::::Unita Affitto | | x |
| 3 | propertyRightUnit | Property Right Unit::::Unita Diritto Proprieta | | x |
| 4 | administrativeUnit | Administrative Unit::::Unita Amministrativa | Extension to LADM | c |
| 5 | basicParcel | Basic Parcel::::Particella Base | Extension to LADM | c |

## rrr

Refer to LADM DefinitionLADM Reference Object LA_RRRLADM DefinitionA right, restriction or responsibility.

### *Columns*

| Name | Type | Optional | Default | Description |
|---|---|---|---|---|
| id | varchar(40) | False | | **LADM Definition** - Identifier for the right, responsibility and restrictions |
| ba_unit_id | varchar(40) | False | | **LADM Definition** - basic administrative unit identifier |
| fy_code | varchar(20) | False | | Fiscal year reference code. |
| nr | varchar(20) | False | | This is a unique number of rrr within a baunit to identify it in baunit. |
| sn | varchar(20) | True | | Introduced in Nepal project. Serial number of the right. |
| type_code | varchar(20) | False | | **LADM Definition** - code for type of right, responsibility restriction |
| status_code | varchar(20) | False | 'pending' | The status of the rrr. |
| is_primary | bool | False | false | It marks the rrr as being primary. Only one rrr can be primary for one BaUnit. |
| transaction_id | varchar(40) | False | | The transaction that borught changes to the rrr. |
| registration_number | varchar(20) | True | | Intorduced in Nepal project. Registration number of the right. |
| registration_date | timestamp | True | | This is the registration date of the rrr. It takes the value from the approval date. |
| owner_type_code | varchar(20) | True | | Introduced in Nepal project. Type of owner. |
| ownership_type_code | varchar(20) | True | | Introduced in Nepal project. Type of the ownership. |
| expiration_date | timestamp | True | | **LADM Definition** - the dates defining when the rrr remains in force LADM Reference Object - rrr.timespec |
| mortgage_amount | numeric(29, 2) | True | | **LADM Definition** The amount of money of the mortgage |
| mortgage_interest_rate | numeric(5, 2) | True | | **LADM Definition** Interest rate of the mortgage (percentage) |
| mortgage_ranking | integer | True | | **LADM Definition** The ranking order if more than one mortgage applies to a right |
| mortgage_type_code | varchar(20) | True | | |
| loc_id | varchar(40) | True | | Introduced in Nepal project. Reference to land ownership certificate |
| is_terminating | bool | False | false | Introduced in Nepal project. If the value is true, then historic status will be assigned upon approval. |
| restriction_reason_code | varchar(20) | True | | Introduced in Nepal project. Restriction reason code. |
| restriction_office_name | varchar(255) | True | | Introduced in Nepal project. Office (organization) name, imposed the restriction. |

| | | | | |
|---|---|---|---|---|
| restriction_release_office_name | varchar(255) | True | | Introduced in Nepal project. Office (organization) name, requested for restriction release. |
| restriction_office_address | varchar(255) | True | | Introduced in Nepal project. Office (organization) address, imposed the restriction. |
| restriction_release_reason_code | varchar(20) | True | | Introduced in Nepal project. References restriction release reason. |
| tenancy_type_code | varchar(20) | True | | Intorduced in Nepal project. Reference code on tenancy type. |
| bundle_number | varchar(15) | True | | Introduced in Nepal project. Used to reference papre book, which keeps records on restricted parcels. |
| bundle_page_no | varchar(10) | True | | Introduced in Nepal project. Page number in the restriction bundle book. |
| office_code | varchar(20) | False | | |
| valuation_amount | numeric(29, 2) | False | 0 | Introduced in Nepal project. Valuation amount of the property object, related to the current transaction. |
| tax_amount | numeric(29, 2) | False | 0 | Introduced in Nepal project. Taxation amount paid. |

### *Constraints*

| Name | Type | Explanation |
|---|---|---|
| rrr_pkey | PRIMARY KEY | Combination of (id) is the primary key |

### *Relationships (from)*

| Name | Information | Description |
|---|---|---|
| rrr_ba_unit_id_fk7 | **From columns**: ba_unit_id<br>**To Entity**: ba_unit<br>**From cardinality**: 1..*<br>**To Cardinality**: 0..1 | LADM Definition - no refinement |
| rrr_type_code_fk9 | **From columns**: type_code<br>**To Entity**: rrr_type<br>**From cardinality**: 0..*<br>**To Cardinality**: 1 | LADM relationship - no refinement |
| rrr_status_code_fk62 | **From columns**: status_code<br>**To Entity**: reg_status_type<br>**From cardinality**: 0..*<br>**To Cardinality**: 1 | |
| rrr_mortgage_type_code_fk81 | **From columns**: mortgage_type_code<br>**To Entity**: mortgage_type<br>**From cardinality**: 0..*<br>**To Cardinality**: 0..1 | |
| rrr_transaction_id_fk82 | **From columns**: transaction_id<br>**To Entity**: transaction<br>**From cardinality**: 0..*<br>**To Cardinality**: 1 | |

| | | |
|---|---|---|
| rrr_loc_id_fk147 | **From columns**: loc_id<br>**To Entity**: loc<br>**From cardinality**: 0..*<br>**To Cardinality**: 0..1 | |
| rrr_restriction_reason_code_fk148 | **From columns**: restriction_reason_code<br>**To Entity**: restriction_reason<br>**From cardinality**: 0..*<br>**To Cardinality**: 0..1 | |
| rrr_office_code_fk149 | **From columns**: office_code<br>**To Entity**: office<br>**From cardinality**: 0..*<br>**To Cardinality**: 1 | |
| rrr_owner_type_code_fk150 | **From columns**: owner_type_code<br>**To Entity**: owner_type<br>**From cardinality**: 0..*<br>**To Cardinality**: 0..1 | |
| rrr_ownership_type_code_fk151 | **From columns**: ownership_type_code<br>**To Entity**: ownership_type<br>**From cardinality**: 0..*<br>**To Cardinality**: 0..1 | |
| rrr_restriction_release_reason_code_fk164 | **From columns**: restriction_release_reason_code<br>**To Entity**: restriction_release_reason<br>**From cardinality**: 0..*<br>**To Cardinality**: 0..1 | |
| rrr_tenancy_type_code_fk166 | **From columns**: tenancy_type_code<br>**To Entity**: tenancy_type<br>**From cardinality**: 0..*<br>**To Cardinality**: 0..1 | |
| rrr_fy_code_fk169 | **From columns**: fy_code<br>**To Entity**: financial_year<br>**From cardinality**: 0..*<br>**To Cardinality**: 1 | |

### *Relationships (to)*

| Name | Information | Description |
|---|---|---|
| source_describes_rrr_rrr_id_fk12 | **From columns**: rrr_id<br>**From Entity**: source_describes_rrr<br>**From cardinality**: 0..*<br>**To Cardinality**: 1 | SOLA Extension relationship - no refinement |
| rrr_share_rrr_id_fk72 | **From columns**: rrr_id<br>**From Entity**: rrr_share<br>**From cardinality**: 0..*<br>**To Cardinality**: 1 | |
| party_for_rrr_rrr_id_fk84 | **From columns**: rrr_id<br>**From Entity**: party_for_rrr<br>**From cardinality**: 0..*<br>**To Cardinality**: 1 | |

| | | |
|---|---|---|
| notation_rrr_id_fk85 | **From columns**: rrr_id<br>**From Entity**: notation<br>**From cardinality**: 0..*<br>**To Cardinality**: 0..1 | |

# mortgage_type

Reference Table / Code list for types of mortgage

**LADM Reference Object**
LA_

**LADM Definition**
Not Defined

## *Columns*

| Name | Type | Optional | Default | Description |
|---|---|---|---|---|
| code | varchar(20) | False | | **LADM Definition** Type of mortgage code |
| display_value | varchar(250) | False | | **LADM Definition** display value of mortgage type |
| description | varchar(555) | True | | **LADM Definition** Description of type of mortgage |
| status | char(1) | False | | **SOLA Extension** Status of mortgage type |

## *Constraints*

| Name | Type | Explanation |
|---|---|---|
| mortgage_type_display_value_unique | UNIQUE | Combination of (display_value) is unique |
| mortgage_type_pkey | PRIMARY KEY | Combination of (code) is the primary key |

## *Relationships (to)*

| Name | Information | Description |
|---|---|---|
| rrr_mortgage_type_code_fk81 | **From columns**: mortgage_type_code<br>**From Entity**: rrr<br>**From cardinality**: 0..*<br>**To Cardinality**: 0..1 | |

## *Data*

| Nr | code | display_value | description | status |
|---|---|---|---|---|
| 1 | levelPayment | Level Payment::::Livello Pagamento | | c |
| 2 | linear | Linear::::Lineare | | c |
| 3 | microCredit | Micro Credit::::Micro Credito | | c |

# loc

Introduced in Nepal project.List of Moth book pages, referenced to as a land ownership certificate.

## *Columns*

| Name | Type | Optional | Default | Description |
|---|---|---|---|---|
| id | varchar(40) | False | uuid_generate_v1() | Land Ownership Certificate number |
| moth_id | varchar(40) | False | | Moth book ID |
| pana_no | varchar(15) | True | | Page Number |
| tmp_pana_no | varchar(15) | True | | Temporary page Number |
| office_code | varchar(20) | False | | |
| creation_date | date | True | now() | |

## *Constraints*

| Name | Type | Explanation |
|---|---|---|
| loc_pkey | PRIMARY KEY | Combination of (id) is the primary key |

## *Relationships (from)*

| Name | Information | Description |
|---|---|---|
| loc_moth_id_fk118 | **From columns**: moth_id<br>**To Entity**: moth<br>**From cardinality**: 0..*<br>**To Cardinality**: 1 | |
| loc_office_code_fk137 | **From columns**: office_code<br>**To Entity**: office<br>**From cardinality**: 0..*<br>**To Cardinality**: 1 | |

## *Relationships (to)*

| Name | Information | Description |
|---|---|---|
| rrr_loc_id_fk147 | **From columns**: loc_id<br>**From Entity**: rrr<br>**From cardinality**: 0..*<br>**To Cardinality**: 0..1 | |

# moth

Introduced in Nepal project.List of paper Moth book references.

## *Columns*

| Name | Type | Optional | Default | Description |
|---|---|---|---|---|
| id | varchar(40) | False | uuid_generate_v1() | Moth book unique ID |
| mothluj_no | varchar(15) | False | | Not binded Moth book number |
| vdc_code | varchar(20) | False | | Village Development committee ID |
| moth_luj | varchar(2) | False | | |
| office_code | varchar(20) | False | | |
| ward_no | varchar(20) | True | | Ward number |
| fy_code | varchar(10) | False | | Fiscal year reference code |

## *Constraints*

| Name | Type | Explanation |
|---|---|---|
| moth_unique_moth_no_office | UNIQUE | Combination of (mothluj_no, office_code, moth_luj, vdc_code, fy_code) is unique |
| moth_pkey | PRIMARY KEY | Combination of (id) is the primary key |

## *Relationships (from)*

| Name | Information | Description |
|---|---|---|
| moth_vdc_code_fk124 | **From columns**: vdc_code<br>**To Entity**: vdc<br>**From cardinality**: 0..*<br>**To Cardinality**: 1 | |
| moth_office_code_fk136 | **From columns**: office_code<br>**To Entity**: office<br>**From cardinality**: 0..*<br>**To Cardinality**: 1 | |

## *Relationships (to)*

| Name | Information | Description |
|---|---|---|
| loc_moth_id_fk118 | **From columns**: moth_id<br>**From Entity**: loc<br>**From cardinality**: 0..*<br>**To Cardinality**: 1 | |

# restriction_reason

Introduced in Nepal project.Contains templates for restriction reasons.

## *Columns*

| Name | Type | Optional | Default | Description |
|---|---|---|---|---|
| code | varchar(20) | False | | |
| display_value | varchar(250) | False | | |
| description | varchar(555) | True | | |
| status | char(1) | False | | |

## *Constraints*

| Name | Type | Explanation |
|---|---|---|
| restriction_reason_pkey | PRIMARY KEY | Combination of (code) is the primary key |

## *Relationships (to)*

| Name | Information | Description |
|---|---|---|
| rrr_restriction_reason_code_fk148 | **From columns**: restriction_reason_code<br>**From Entity**: rrr<br>**From cardinality**: 0..*<br>**To Cardinality**: 0..1 | |

## *Data*

| Nr | code | display_value | description | status |
|---|---|---|---|---|
| 1 | 1 | Legal Case | | c |
| 2 | 2 | Acquisition | | c |
| 3 | 3 | Land Ceiling | | c |
| 4 | 4 | Financial Transaction | | c |

# owner_type

Introduced in Nepal project.List of owner types

## *Columns*

| Name | Type | Optional | Default | Description |
|---|---|---|---|---|
| code | varchar(20) | False | | |
| display_value | varchar(250) | False | | |
| description | varchar(555) | True | | |
| status | char(1) | False | | |

## *Constraints*

| Name | Type | Explanation |
|---|---|---|
| owner_type_pkey | PRIMARY KEY | Combination of (code) is the primary key |

## *Relationships (to)*

| Name | Information | Description |
|---|---|---|
| rrr_owner_type_code_fk150 | **From columns**: owner_type_code<br>**From Entity**: rrr<br>**From cardinality**: 0..*<br>**To Cardinality**: 0..1 | |

## *Data*

| Nr | code | display_value | description | status |
|---|---|---|---|---|
| 1 | pguth | Private Guthi | Private | c |
| 2 | gguth | Govt. Guth | Group | c |
| 3 | public | Public | | c |
| 4 | aailani | Aailani | | c |

# ownership_type

Introduced in Nepal project.List of ownership types

## *Columns*

| Name | Type | Optional | Default | Description |
|---|---|---|---|---|
| code | varchar(20) | False | | |
| display_value | varchar(250) | False | | |
| description | varchar(555) | True | | |
| status | char(1) | False | | |

## *Constraints*

| Name | Type | Explanation |
|---|---|---|
| ownership_type_pkey | PRIMARY KEY | Combination of (code) is the primary key |

## *Relationships (to)*

| Name | Information | Description |
|---|---|---|
| rrr_ownership_type_code_fk151 | **From columns**: ownership_type_code<br>**From Entity**: rrr<br>**From cardinality**: 0..*<br>**To Cardinality**: 0..1 | |

## *Data*

| Nr | code | display_value | description | status |
|---|---|---|---|---|
| 1 | single | Single | Single | c |
| 2 | joint | Joint | Joint | c |

# restriction_release_reason

Introduced in Nepal project.Contains templates for restriction release reasons.

## *Columns*

| Name | Type | Optional | Default | Description |
|---|---|---|---|---|
| code | varchar(20) | False | | |
| display_value | varchar(250) | False | | |
| description | varchar(555) | True | | |
| status | char(1) | False | | |

## *Constraints*

| Name | Type | Explanation |
|---|---|---|
| restriction_release_reason_pkey | PRIMARY KEY | Combination of (code) is the primary key |

## *Relationships (to)*

| Name | Information | Description |
|---|---|---|
| rrr_restriction_release_reason_code_fk164 | **From columns**: restriction_release_reason_code<br>**From Entity**: rrr<br>**From cardinality**: 0..*<br>**To Cardinality**: 0..1 | |

## *Data*

| Nr | code | display_value | description | status |
|---|---|---|---|---|
| 1 | 1 | Court Order | | c |
| 2 | 2 | Office Decision | | c |
| 3 | 3 | Release Letter | | c |

# tenancy_type

Introduced in Nepal project.List of tenant types

## *Columns*

| Name | Type | Optional | Default | Description |
|---|---|---|---|---|
| code | varchar(20) | False | | |
| display_value | varchar(250) | False | | |
| description | varchar(555) | True | | |
| status | char(1) | False | 'c' | |

## *Constraints*

| Name | Type | Explanation |
|---|---|---|
| tenancy_type_display_value_unique | UNIQUE | Combination of (display_value) is unique |
| tenancy_type_pkey | PRIMARY KEY | Combination of (code) is the primary key |

## *Relationships (to)*

| Name | Information | Description |
|---|---|---|
| rrr_tenancy_type_code_fk166 | **From columns**: tenancy_type_code<br>**From Entity**: rrr<br>**From cardinality**: 0..*<br>**To Cardinality**: 0..1 | |

# source_describes_rrr

Implements the many-to-many relationship identifying administrative source instances with rrr instances

**LADM Reference Object**
Relationship LA_AdministrativeSource - LA_RRR

**LADM Definition**
Not Defined

## *Columns*

| Name | Type | Optional | Default | Description |
|---|---|---|---|---|
| rrr_id | varchar(40) | False | | **LADM Definition** - Identifier for the right, responsibility and restrictions |
| source_id | varchar(40) | False | | |

## *Constraints*

| Name | Type | Explanation |
|---|---|---|
| source_describes_rrr_pkey | PRIMARY KEY | Combination of (rrr_id,source_id) is the primary key |

## *Relationships (from)*

| Name | Information | Description |
|---|---|---|
| source_describes_rrr_rrr_id_fk12 | **From columns**: rrr_id<br>**To Entity**: rrr<br>**From cardinality**: 0..*<br>**To Cardinality**: 1 | SOLA Extension relationship - no refinement |
| source_describes_rrr_source_id_fk76 | **From columns**: source_id<br>**To Entity**: source<br>**From cardinality**: 0..*<br>**To Cardinality**: 1 | |

# source_describes_ba_unit

Implements the many-to-many relationship identifying administrative source instances with ba_unit instances

**LADM Reference Object**
Relationship LA_AdministrativeSource - LA_BAUnit

**LADM Definition**
Not Defined

## *Columns*

| Name | Type | Optional | Default | Description |
|---|---|---|---|---|
| ba_unit_id | varchar(40) | False | | **LADM Definition** Basic unit identifier |
| source_id | varchar(40) | False | | In Sola the source is referenced instead of the Administrative source. **LADM Definition** Administrative source identifier |

## *Constraints*

| Name | Type | Explanation |
|---|---|---|
| source_describes_ba_unit_pkey | PRIMARY KEY | Combination of (ba_unit_id,source_id) is the primary key |

## *Relationships (from)*

| Name | Information | Description |
|---|---|---|
| source_describes_ba_unit_ba_unit_id_fk13 | **From columns**: ba_unit_id<br>**To Entity**: ba_unit<br>**From cardinality**: 0..*<br>**To Cardinality**: 1 | LADM relationship - no refinement |
| source_describes_ba_unit_source_id_fk68 | **From columns**: source_id<br>**To Entity**: source<br>**From cardinality**: 0..*<br>**To Cardinality**: 1 | |

# required_relationship_baunit

Refer to LADM DefinitionLADM Reference Object LA_RequiredRelationshipBAUnitLADM DefinitionA required relationship between basic administrative units.

## *Columns*

| Name | Type | Optional | Default | Description |
|---|---|---|---|---|
| from_ba_unit_id | varchar(40) | False | | **LADM Definition** -The identifier of the originating basic administrative unit |
| to_ba_unit_id | varchar(40) | False | | **LADM Definition** -The identifier of the target basic administrative unit |
| relation_code | varchar(20) | False | | The relationship between the basic administrative units. It exists in LADM as a open text. It is decided to make it a codelist to be used also in business rules. **LADM Definition** LADM Reference Object Relationship |
| transaction_id | varchar(40) | False | | Introduced in Nepal project. References transaction. |

## *Constraints*

| Name | Type | Explanation |
|---|---|---|
| required_relationship_baunit_pkey | PRIMARY KEY | Combination of (from_ba_unit_id,to_ba_unit_id) is the primary key |

## *Relationships (from)*

| Name | Information | Description |
|---|---|---|
| required_relationship_baunit_from_ba_unit_id_fk14 | **From columns**: from_ba_unit_id<br>**To Entity**: ba_unit<br>**From cardinality**: 0..*<br>**To Cardinality**: 1 | LADM relationship - no refinement |
| required_relationship_baunit_to_ba_unit_id_fk15 | **From columns**: to_ba_unit_id<br>**To Entity**: ba_unit<br>**From cardinality**: 0..*<br>**To Cardinality**: 1 | LADM relationship - no refinement |
| required_relationship_baunit_relation_code_fk69 | **From columns**: relation_code<br>**To Entity**: ba_unit_rel_type<br>**From cardinality**: 0..*<br>**To Cardinality**: 1 | |
| required_relationship_baunit_transaction_id_fk170 | **From columns**: transaction_id<br>**To Entity**: transaction<br>**From cardinality**: 0..*<br>**To Cardinality**: 1 | |

# ba_unit_rel_type

The types of relation two ba_units can have between each other.

## *Columns*

| Name | Type | Optional | Default | Description |
|---|---|---|---|---|
| code | varchar(20) | False | | The code |
| display_value | varchar(250) | False | | The value that will be displayed to the user |
| description | varchar(555) | True | | Description |
| status | char(1) | False | | The status of this code itself. |

## *Constraints*

| Name | Type | Explanation |
|---|---|---|
| ba_unit_rel_type_display_value_unique | UNIQUE | Combination of (display_value) is unique |
| ba_unit_rel_type_pkey | PRIMARY KEY | Combination of (code) is the primary key |

## *Relationships (to)*

| Name | Information | Description |
|---|---|---|
| required_relationship_baunit_relation_code_fkey | **From columns**: relation_code<br>**From Entity**: required_relationship_baunit<br>**From cardinality**: 0..*<br>**To Cardinality**: 1 | |

# ba_unit_as_party

LADM DefinitionLA_BAUnit is associated to class LA_Party (a party may be an basic administrative unit, indicated by the attribute ‘partyType’).LADM Reference ObjectAssociation baunitAsParty

## *Columns*

| Name | Type | Optional | Default | Description |
|---|---|---|---|---|
| ba_unit_id | varchar(40) | False | | The id of ba_unit |
| party_id | varchar(40) | False | | The id of the party |

## *Constraints*

| Name | Type | Explanation |
|---|---|---|
| ba_unit_as_party_pkey | PRIMARY KEY | Combination of (ba_unit_id,party_id) is the primary key |

## *Relationships (from)*

| Name | Information | Description |
|---|---|---|
| ba_unit_as_party_party_id_fk54 | **From columns**: party_id<br>**To Entity**: party<br>**From cardinality**: 0..*<br>**To Cardinality**: 1 | |
| ba_unit_as_party_ba_unit_id_fk55 | **From columns**: ba_unit_id<br>**To Entity**: ba_unit<br>**From cardinality**: 0..*<br>**To Cardinality**: 1 | |

# notation

All notations related with a baunit are maintained here. Every notation gets a reference number and it is always associated with a transaction.

## *Columns*

| Name | Type | Optional | Default | Description |
|---|---|---|---|---|
| id | varchar(40) | False | | Meaningless id. |
| ba_unit_id | varchar(40) | True | | If the notation is only related to baunit the baunit id is given. |
| rrr_id | varchar(40) | True | | |
| transaction_id | varchar(40) | False | | The transaction id which brought the notation. |
| reference_nr | varchar(15) | False | | A reference number for the notation |
| notation_text | varchar(1000) | True | | The notation text. This text is defined by a template which is to be found in request_type. The link is established by the fact that a notation comes from a transaction which optionally can be initiated by a service which is of a certain request_type. |
| status_code | varchar(20) | False | 'pending' | The status of the notation. |

## *Constraints*

| Name | Type | Explanation |
|---|---|---|
| notation_pkey | PRIMARY KEY | Combination of (id) is the primary key |

## *Relationships (from)*

| Name | Information | Description |
|---|---|---|
| notation_status_code_fk70 | **From columns**: status_code<br>**To Entity**: reg_status_type<br>**From cardinality**: 0..*<br>**To Cardinality**: 1 | |
| notation_ba_unit_id_fk71 | **From columns**: ba_unit_id<br>**To Entity**: ba_unit<br>**From cardinality**: 0..*<br>**To Cardinality**: 0..1 | |
| notation_transaction_id_fk75 | **From columns**: transaction_id<br>**To Entity**: transaction<br>**From cardinality**: 0..*<br>**To Cardinality**: 1 | |
| notation_rrr_id_fk85 | **From columns**: rrr_id<br>**To Entity**: rrr<br>**From cardinality**: 0..*<br>**To Cardinality**: 0..1 | |

# rrr_share

If parties are involved in an rrr then they partecipate in shares. There is at least one share for each rrr.LADM Reference Object LA_RRR.share

## *Columns*

| Name | Type | Optional | Default | Description |
|---|---|---|---|---|
| rrr_id | varchar(40) | False | | Rrr where the share belongs to. |
| id | varchar(40) | False | | Id of the share within a RRR. |
| nominator | smallint | False | | Nominator / Denominator define the share. |
| denominator | smallint | False | | Nominator / Denominator define the share. |

## *Constraints*

| Name | Type | Explanation |
|---|---|---|
| rrr_share_pkey | PRIMARY KEY | Combination of (rrr_id,id) is the primary key |

## *Relationships (from)*

| Name | Information | Description |
|---|---|---|
| rrr_share_rrr_id_fk72 | **From columns**: rrr_id<br>**To Entity**: rrr<br>**From cardinality**: 0..*<br>**To Cardinality**: 1 | |

## *Relationships (to)*

| Name | Information | Description |
|---|---|---|
| party_for_rrr_rrr_id_fk73 | **From columns**: rrr_id,share_id<br>**From Entity**: party_for_rrr<br>**From cardinality**: 0..*<br>**To Cardinality**: 0..1 | |

# party_for_rrr

There may be parties involved in an RRR. Parties can be involved also in Shares.

## *Columns*

| Name | Type | Optional | Default | Description |
|---|---|---|---|---|
| rrr_id | varchar(40) | False | | Rrr where party belongs to. |
| party_id | varchar(40) | False | | Id of the party. |
| share_id | varchar(40) | True | | The share where the party belongs to. |

## *Constraints*

| Name | Type | Explanation |
|---|---|---|
| party_for_rrr_pkey | PRIMARY KEY | Combination of (rrr_id,party_id) is the primary key |

## *Relationships (from)*

| Name | Information | Description |
|---|---|---|
| party_for_rrr_rrr_id_fk73 | **From columns**: rrr_id,share_id<br>**To Entity**: rrr_share<br>**From cardinality**: 0..*<br>**To Cardinality**: 0..1 | |
| party_for_rrr_party_id_fk77 | **From columns**: party_id<br>**To Entity**: party<br>**From cardinality**: 0..*<br>**To Cardinality**: 1 | |
| party_for_rrr_rrr_id_fk84 | **From columns**: rrr_id<br>**To Entity**: rrr<br>**From cardinality**: 0..*<br>**To Cardinality**: 1 | |

# ba_unit_target

This table holds information about which ba units are being targets of a transaction. It is used when a ba unit is marked for cancellation.

## *Columns*

| Name | Type | Optional | Default | Description |
|---|---|---|---|---|
| ba_unit_id | varchar(40) | False | | Id of the ba unit being target. |
| transaction_id | varchar(40) | False | | Id of the transaction that targes the ba unit. |

## *Constraints*

| Name | Type | Explanation |
|---|---|---|
| ba_unit_target_pkey | PRIMARY KEY | Combination of (ba_unit_id,transaction_id) is the primary key |

## *Relationships (from)*

| Name | Information | Description |
|---|---|---|
| ba_unit_target_ba_unit_id_fk109 | **From columns**: ba_unit_id<br>**To Entity**: ba_unit<br>**From cardinality**: 0..*<br>**To Cardinality**: 1 | |
| ba_unit_target_transaction_id_fk110 | **From columns**: transaction_id<br>**To Entity**: transaction<br>**From cardinality**: 0..*<br>**To Cardinality**: 1 | |

# discount_type

Introduced in Nepal project.List of discount types

## *Columns*

| Name | Type | Optional | Default | Description |
|---|---|---|---|---|
| code | varchar(20) | False | | |
| display_value | varchar(250) | False | | |
| description | varchar(555) | True | | |
| status | char(1) | False | 'c' | |

## *Constraints*

| Name | Type | Explanation |
|---|---|---|
| discount_type_display_value_unique | UNIQUE | Combination of (display_value) is unique |
| discount_type_pkey | PRIMARY KEY | Combination of (code) is the primary key |

# cadastre

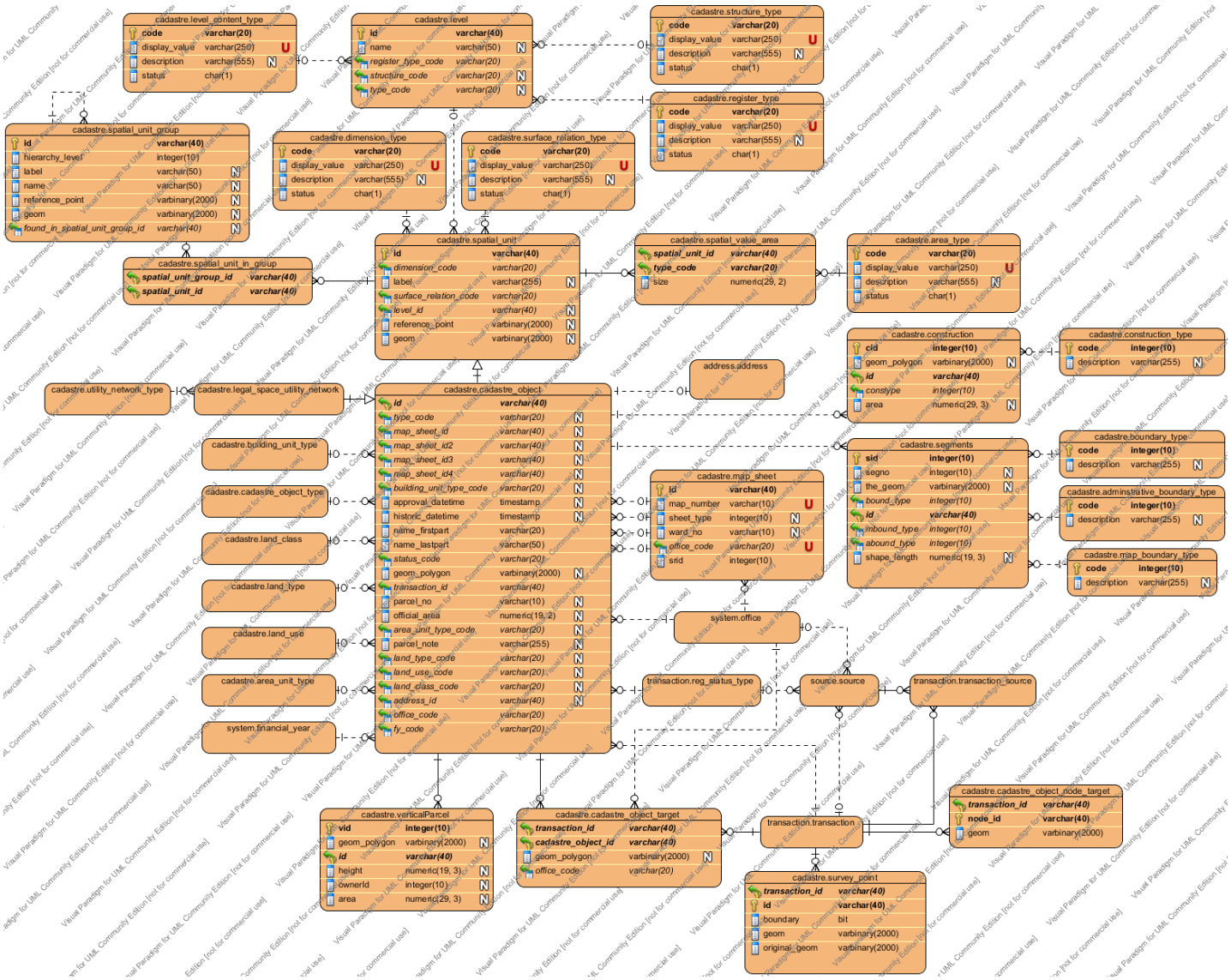


# cadastre_object

## *Columns*

| Name | Type | Optional | Default | Description |
|---|---|---|---|---|
| id | varchar(40) | False | | |
| type_code | varchar(20) | True | 'parcel' | SOLA Extention - It defines the type of the spatial unit. |
| map_sheet_id | varchar(40) | True | | |
| map_sheet_id2 | varchar(40) | True | | |
| map_sheet_id3 | varchar(40) | True | | |
| map_sheet_id4 | varchar(40) | True | | |
| building_unit_type_code | varchar(20) | True | | |
| approval_datetime | timestamp | True | | **SOLA Extension** - Approval datetime of the spatial unit change. |

| | | | | |
|---|---|---|---|---|
| historic_datetime | timestamp | True | | **SOLA Extension** - Datetime when the spatial unit is superseded and has status of historic. |
| name_firstpart | varchar(20) | False | | **SOLA Extension** - First part of the parcel identifier. First part in combination with last part are supposed to identify uniquely the parcel. |
| name_lastpart | varchar(50) | False | | **SOLA Extension** - Last part of the parcel identifier. First part in combination with last part are supposed to identify uniquely the parcel. |
| status_code | varchar(20) | False | 'pending' | **SOLA Extension** - It is the status of the spatial_unit which defines if it is pending or approved. |
| geom_polygon | GEOMETRY | True | | **SOLA Extension** - The polygon geometry |
| transaction_id | varchar(40) | False | | |
| parcel_no | varchar(10) | True | | Introduced in Nepal project. Parcel number. |
| official_area | numeric(19, 2) | True | 0 | Introduced in Nepal project. Official parcel area of the parcel in square meters. |
| area_unit_type_code | varchar(20) | True | | Introduced in Nepal project. Code of the measurement unit type. |
| parcel_note | varchar(255) | True | | |
| land_type_code | varchar(20) | True | | |
| land_use_code | varchar(20) | True | | |
| land_class_code | varchar(20) | True | | |
| address_id | varchar(40) | True | | |
| office_code | varchar(20) | False | | |
| fy_code | varchar(20) | False | | Introduced in Nepal project. Reference code to the fiscal year. |

### *Constraints*

| Name | Type | Explanation |
|---|---|---|
| cadastre_object_pkey | PRIMARY KEY | Combination of (id) is the primary key |

### *Relationships (from)*

| Name | Information | Description |
|---|---|---|
| cadastre_object_id_fk64 | **From columns**: id<br>**To Entity**: spatial_unit<br>**From cardinality**: 1<br>**To Cardinality**: 1 | |
| cadastre_object_status_code_fk65 | **From columns**: status_code<br>**To Entity**: reg_status_type<br>**From cardinality**: 0..*<br>**To Cardinality**: 1 | |
| cadastre_object_type_code_fk66 | **From columns**: type_code<br>**To Entity**: cadastre_object_type<br>**From cardinality**: 0..*<br>**To Cardinality**: 0..1 | |

| | | |
|---|---|---|
| cadastre_object_building_unit_type_code_fk68 | **From columns**: building_unit_type_code<br>**To Entity**: building_unit_type<br>**From cardinality**: 0..*<br>**To Cardinality**: 0..1 | |
| cadastre_object_transaction_id_fk89 | **From columns**: transaction_id<br>**To Entity**: transaction<br>**From cardinality**: 0..*<br>**To Cardinality**: 1 | |
| cadastre_object_map_sheet_id_fk125 | **From columns**: map_sheet_id<br>**To Entity**: map_sheet<br>**From cardinality**: 0..*<br>**To Cardinality**: 0..1 | |
| cadastre_object_office_code_fk132 | **From columns**: office_code<br>**To Entity**: office<br>**From cardinality**: 0..*<br>**To Cardinality**: 1 | |
| cadastre_object_land_use_code_fk152 | **From columns**: land_use_code<br>**To Entity**: land_use<br>**From cardinality**: 0..*<br>**To Cardinality**: 0..1 | |
| cadastre_object_land_type_code_fk153 | **From columns**: land_type_code<br>**To Entity**: land_type<br>**From cardinality**: 0..*<br>**To Cardinality**: 0..1 | |
| cadastre_object_land_class_code_fk154 | **From columns**: land_class_code<br>**To Entity**: land_class<br>**From cardinality**: 0..*<br>**To Cardinality**: 0..1 | |
| cadastre_object_address_id_fk155 | **From columns**: address_id<br>**To Entity**: address<br>**From cardinality**: 1<br>**To Cardinality**: 0..1 | |
| cadastre_object_map_sheet_id2_fk160 | **From columns**: map_sheet_id2<br>**To Entity**: map_sheet<br>**From cardinality**: 0..*<br>**To Cardinality**: 0..1 | |
| cadastre_object_map_sheet_id3_fk161 | **From columns**: map_sheet_id3<br>**To Entity**: map_sheet<br>**From cardinality**: 0..*<br>**To Cardinality**: 0..1 | |
| cadastre_object_map_sheet_id4_fk162 | **From columns**: map_sheet_id4<br>**To Entity**: map_sheet<br>**From cardinality**: 0..*<br>**To Cardinality**: 0..1 | |
| cadastre_object_area_unit_type_code_fk163 | **From columns**: area_unit_type_code<br>**To Entity**: area_unit_type<br>**From cardinality**: 0..*<br>**To Cardinality**: 0..1 | |
| cadastre_object_fy_code_fk167 | **From columns**: fy_code<br>**To Entity**: financial_year<br>**From cardinality**: 0..*<br>**To Cardinality**: 1 | |

## *Relationships (to)*

| Name | Information | Description |
|---|---|---|
| legal_space_utility_network_id_fk67 | **From columns**: id<br>**From Entity**: legal_space_utility_network<br>**From cardinality**: 1<br>**To Cardinality**: 1 | |
| cadastre_object_target_cadastre_object_id_fk90 | **From columns**: cadastre_object_id<br>**From Entity**: cadastre_object_target<br>**From cardinality**: 0..*<br>**To Cardinality**: 1 | |
| segments_id_fk111 | **From columns**: id<br>**From Entity**: segments<br>**From cardinality**: 0..*<br>**To Cardinality**: 1 | |
| verticalParcel_id_fk112 | **From columns**: id<br>**From Entity**: verticalParcel<br>**From cardinality**: 0..*<br>**To Cardinality**: 1 | |
| construction_id_fk113 | **From columns**: id<br>**From Entity**: construction<br>**From cardinality**: 0..*<br>**To Cardinality**: 1 | |
| ba_unit_cadastre_object_id_fk146 | **From columns**: cadastre_object_id<br>**From Entity**: ba_unit<br>**From cardinality**: 0..*<br>**To Cardinality**: 1 | |

# spatial_unit

Single area (or multiple areas) of land or water, or a single volume (or multiple volumes) of spaceLADM Reference Object LA_SpatialUnitLADM DefinitionNot Defined

## *Columns*

| Name | Type | Optional | Default | Description |
|---|---|---|---|---|
| id | varchar(40) | False | | **LADM Definition** - Spatial unit identifier |
| dimension_code | varchar(20) | False | '2D' | **LADM Definition** - Code for dimension |
| label | varchar(255) | True | | **LADM Definition** -Label for the spatial unit |
| surface_relation_code | varchar(20) | False | 'onSurface' | **LADM Definition** - Code given to the surface relation to indicate whether a spatial unit is above or below the surface |
| level_id | varchar(40) | True | | **LADM Definition** - Level identifier |
| reference_point | GEOMETRY | True | | **LADM Definition** -The coordinates of a point inside the spatial unit |
| geom | GEOMETRY | True | | **SOLA Extension** -The geometry type of the spatial unit |

## *Constraints*

| Name | Type | Explanation |
|---|---|---|
| spatial_unit_pkey | PRIMARY KEY | Combination of (id) is the primary key |

## *Relationships (from)*

| Name | Information | Description |
|---|---|---|
| spatial_unit_surface_relation_code_fk18 | **From columns**: surface_relation_code<br>**To Entity**: surface_relation_type<br>**From cardinality**: 0..*<br>**To Cardinality**: 1 | LADM relationship - no refinement |
| spatial_unit_level_id_fk19 | **From columns**: level_id<br>**To Entity**: level<br>**From cardinality**: 0..*<br>**To Cardinality**: 0..1 | LADM relationship - no refinement |
| spatial_unit_dimension_code_fk35 | **From columns**: dimension_code<br>**To Entity**: dimension_type<br>**From cardinality**: 0..*<br>**To Cardinality**: 1 | LADM relationship - no refinement |

## *Relationships (to)*

| Name | Information | Description |
|---|---|---|
| spatial_value_area_spatial_unit_id_fk16 | **From columns**: spatial_unit_id<br>**From Entity**: spatial_value_area<br>**From cardinality**: 0..*<br>**To Cardinality**: 1 | LADM relationship - no refinement |

| | | |
|---|---|---|
| spatial_unit_in_group_spatial_unit_id_fk25 | **From columns**: spatial_unit_id<br>**From Entity**: spatial_unit_in_group<br>**From cardinality**: 0..*<br>**To Cardinality**: 1 | LADM relationship - no refinement |
| cadastre_object_id_fk64 | **From columns**: id<br>**From Entity**: cadastre_object<br>**From cardinality**: 1<br>**To Cardinality**: 1 | |

# dimension_type

Reference Table / Code list to identify the number of dimensions used to define a spatial unit

**LADM Reference Object**
LA_DimensionType

**LADM Definition**
Not Defined

## *Columns*

| Name | Type | Optional | Default | Description |
|---|---|---|---|---|
| code | varchar(20) | False | | **LADM Definition** - the code value to identify different dimension types |
| display_value | varchar(250) | False | | **LADM Definition** - the displayed value for a dimension type |
| description | varchar(555) | True | | **LADM Definition** - the description of a dimension type |
| status | char(1) | False | 't' | |

## *Constraints*

| Name | Type | Explanation |
|---|---|---|
| dimension_type_display_value_unique | UNIQUE | Combination of (display_value) is unique |
| dimension_type_pkey | PRIMARY KEY | Combination of (code) is the primary key |

## *Relationships (to)*

| Name | Information | Description |
|---|---|---|
| spatial_unit_dimension_code_fk35 | **From columns**: dimension_code<br>**From Entity**: spatial_unit<br>**From cardinality**: 0..*<br>**To Cardinality**: 1 | LADM relationship - no refinement |

## *Data*

| Nr | code | display_value | description | status |
|---|---|---|---|---|
| 1 | 0D | 0D::::0D | | c |
| 2 | 1D | 1D::::1D | | c |
| 3 | 2D | 2D::::sD | | c |
| 4 | 3D | 3D::::3D | | c |
| 5 | liminal | Liminal | | x |

# surface_relation_type

Refer to LADM Definition

**LADM Reference Object**
LA_SurfaceRelationType

**LADM Definition**
The type of relation that exists between spatial objects and space (surface)

## *Columns*

| Name | Type | Optional | Default | Description |
|---|---|---|---|---|
| code | varchar(20) | False | | **LADM Definition** - the code identifying a surface relation type |
| display_value | varchar(250) | False | | **LADM Definition** - the displayed value for a surface relation type |
| description | varchar(555) | True | | **LADM Definition** - the description of a surface relation type |
| status | char(1) | False | 't' | **SOLA Extension** - the status of an instance of surface relation type |

## *Constraints*

| Name | Type | Explanation |
|---|---|---|
| surface_relation_type_display_value_unique | UNIQUE | Combination of (display_value) is unique |
| surface_relation_type_pkey | PRIMARY KEY | Combination of (code) is the primary key |

## *Relationships (to)*

| Name | Information | Description |
|---|---|---|
| spatial_unit_surface_relation_code_fk18 | **From columns**: surface_relation_code<br>**From Entity**: spatial_unit<br>**From cardinality**: 0..*<br>**To Cardinality**: 1 | LADM relationship - no refinement |

## *Data*

| Nr | code | display_value | description | status |
|---|---|---|---|---|
| 1 | above | Above::::Sopra | | x |
| 2 | below | Below::::Sotto | | x |
| 3 | mixed | Mixed::::Misto | | x |
| 4 | onSurface | On Surface::::Sulla Superficie | | c |

# level

Refer to LADM Definition

**LADM Reference Object**
LA_Level

**LADM Definition**
A set of spatial units, with a geometric, and/or topologic, and/or thematic coherence EXAMPLE 1 One level for an urban cadastre and another level for a rural cadastre.
EXAMPLE 2 One level with rights and another level with restrictions.
EXAMPLE 3 One level with formal rights, a second level with informal rights and a third level with customary rights.
EXAMPLE 4 One level with point based spatial units, a second level with line based spatial units, and a third level with polygon based spatial units..

## *Columns*

| Name | Type | Optional | Default | Description |
|---|---|---|---|---|
| id | varchar(40) | False | | **LADM Definition** - Level identifier |
| name | varchar(50) | True | | **LADM Definition** - The name of the level |
| register_type_code | varchar(20) | False | | **LADM Definition** - The register type of the content of the level |
| structure_code | varchar(20) | True | | **LADM Definition** - Code for the structure of the level geometry |
| type_code | varchar(20) | True | | **LADM Definition** - The type of the content the level |

## *Constraints*

| Name | Type | Explanation |
|---|---|---|
| level_pkey | PRIMARY KEY | Combination of (id) is the primary key |

## *Relationships (from)*

| Name | Information | Description |
|---|---|---|
| level_structure_code_fk20 | **From columns**: structure_code<br>**To Entity**: structure_type<br>**From cardinality**: 0..*<br>**To Cardinality**: 0..1 | LADM relationship - no refinement |
| level_register_type_code_fk21 | **From columns**: register_type_code<br>**To Entity**: register_type<br>**From cardinality**: 0..*<br>**To Cardinality**: 1 | LADM relationship - no refinement |
| level_type_code_fk22 | **From columns**: type_code<br>**To Entity**: level_content_type<br>**From cardinality**: 0..*<br>**To Cardinality**: 0..1 | LADM relationship - no refinement |

## *Relationships (to)*

| Name | Information | Description |
|---|---|---|
| spatial_unit_level_id_fk19 | **From columns**: level_id<br>**From Entity**: spatial_unit<br>**From cardinality**: 0..*<br>**To Cardinality**: 0..1 | LADM relationship - no refinement |

# register_type

Reference Table / Code list for register types

**LADM Reference Object**
LA_

**LADM Definition**
The register type of the content of the [map] level

## *Columns*

| Name | Type | Optional | Default | Description |
|---|---|---|---|---|
| code | varchar(20) | False | | **LADM Definition** - the code identifying a register type |
| display_value | varchar(250) | False | | **LADM Definition** - the displayed value of a register type |
| description | varchar(555) | True | | **LADM Definition** - the description of a register type |
| status | char(1) | False | | **SOLA Extension** - the status of an instance of register type |

## *Constraints*

| Name | Type | Explanation |
|---|---|---|
| register_type_display_value_unique | UNIQUE | Combination of (display_value) is unique |
| register_type_pkey | PRIMARY KEY | Combination of (code) is the primary key |

## *Relationships (to)*

| Name | Information | Description |
|---|---|---|
| level_register_type_code_fk21 | **From columns**: register_type_code<br>**From Entity**: level<br>**From cardinality**: 0..*<br>**To Cardinality**: 1 | LADM relationship - no refinement |

## *Data*

| Nr | code | display_value | description | status |
|---|---|---|---|---|
| 1 | all | All::::Tutti | | c |
| 2 | forest | Forest::::Forestale | | c |
| 3 | mining | Mining::::Minerario | | c |
| 4 | publicSpace | Public Space::::Spazio Pubblico | | c |
| 5 | rural | Rural::::Rurale | | c |
| 6 | urban | Urban::::Urbano | | c |

# structure_type

Reference Table / Code list of different forms of spatial unit definitions (within a level)

**LADM Reference Object**
LA_StructureType

**LADM Definition**
Not Defined

## *Columns*

| Name | Type | Optional | Default | Description |
|---|---|---|---|---|
| code | varchar(20) | False | | **LADM Definition** - the code identifying a structure type |
| display_value | varchar(250) | False | | **LADM Definition** - the displayed value for a structure type |
| description | varchar(555) | True | | **LADM Definition** - the description of a structure type |
| status | char(1) | False | 't' | **SOLA Extension** - the status of an instance of structure type |

## *Constraints*

| Name | Type | Explanation |
|---|---|---|
| structure_type_display_value_unique | UNIQUE | Combination of (display_value) is unique |
| structure_type_pkey | PRIMARY KEY | Combination of (code) is the primary key |

## *Relationships (to)*

| Name | Information | Description |
|---|---|---|
| level_structure_code_fk20 | **From columns**: structure_code<br>**From Entity**: level<br>**From cardinality**: 0..*<br>**To Cardinality**: 0..1 | LADM relationship - no refinement |

## *Data*

| Nr | code | display_value | description | status |
|---|---|---|---|---|
| 1 | point | Point::::Punto | | c |
| 2 | polygon | Polygon::::Poligono | | c |
| 3 | sketch | Sketch::::Schizzo | | c |
| 4 | text | Text::::Testo | | c |
| 5 | topological | Topological::::Topologico | | c |
| 6 | unStructuredLine | UnstructuredLine::::LineanonDefinita | | |

# level_content_type

Reference Table / Code list for the content type of a level

**LADM Reference Object**
LA_

**LADM Definition**
The type of the content of the level;

## *Columns*

| Name | Type | Optional | Default | Description |
|---|---|---|---|---|
| code | varchar(20) | False | | **LADM Definition** - the code identifying a level content type |
| display_value | varchar(250) | False | | **LADM Definition** - the displayed value of a level content type |
| description | varchar(555) | True | | **LADM Definition** - a description for a level content type |
| status | char(1) | False | 't' | **SOLA Extension** - the status of an instance of level content type |

## *Constraints*

| Name | Type | Explanation |
|---|---|---|
| level_content_type_display_value_unique | UNIQUE | Combination of (display_value) is unique |
| level_content_type_pkey | PRIMARY KEY | Combination of (code) is the primary key |

## *Relationships (to)*

| Name | Information | Description |
|---|---|---|
| level_type_code_fk22 | **From columns**: type_code<br>**From Entity**: level<br>**From cardinality**: 0..*<br>**To Cardinality**: 0..1 | LADM relationship - no refinement |

## *Data*

| Nr | code | display_value | description | status |
|---|---|---|---|---|
| 1 | building | Building::::Costruzione | | x |
| 2 | customary | Customary::::Consueto | | x |
| 3 | informal | Informal::::Informale | | x |
| 4 | mixed | Mixed::::Misto | | x |
| 5 | network | Network::::Rete | | x |
| 6 | primaryRight | Primary Right::::Diritto Primario | | c |
| 7 | responsibility | Responsibility::::Responsabilita | | x |
| 8 | restriction | Restriction::::Restrizione | | c |

| | | | | |
|---|---|---|---|---|
| 9 | geographicLocator | Geographic Locators::::Locatori Geografici | Extension to LADM | c |

# cadastre_object_type

The type of spatial object. This defines the specialisation of the spatial unit. It can be a parcel, building_unit or backgroup data like a road etc.

## *Columns*

| Name | Type | Optional | Default | Description |
|---|---|---|---|---|
| code | varchar(20) | False | | The code |
| display_value | varchar(250) | False | | The value that will be displayed to the user |
| description | varchar(555) | True | | Description |
| status | char(1) | False | | The status of this code itself. |

## *Constraints*

| Name | Type | Explanation |
|---|---|---|
| cadastre_object_type_display_value_unique | UNIQUE | Combination of (display_value) is unique |
| cadastre_object_type_pkey | PRIMARY KEY | Combination of (code) is the primary key |

## *Relationships (to)*

| Name | Information | Description |
|---|---|---|
| cadastre_object_type_code_fk66 | **From columns**: type_code<br>**From Entity**: cadastre_object<br>**From cardinality**: 0..*<br>**To Cardinality**: 0..1 | |

## *Data*

| Nr | code | display_value | description | status |
|---|---|---|---|---|
| 1 | parcel | Parcel::::ITALIANO | | c |
| 2 | buildingUnit | Building Unit::::ITALIANO | | c |
| 3 | utilityNetwork | Utility Network::::ITALIANO | | c |
| 4 | segment | Segment::::Segment | | c |
| 5 | construction | Construction::Construction | | c |

# building_unit_type

Reference Table / Code list for types of building units

**LADM Reference Object**
LA_BuildingUnitType

**LADM Definition**
Not Defined

## *Columns*

| Name | Type | Optional | Default | Description |
|---|---|---|---|---|
| code | varchar(20) | False | | **LADM Definition** - the code identifying different building unit types |
| display_value | varchar(250) | False | | **LADM Definition** - the displayed value of building unit type |
| description | varchar(555) | True | | **LADM Definition** - the description of building unit type |
| status | char(1) | False | 't' | **SOLA Extension** - the status of the code value for building unit type |

## *Constraints*

| Name | Type | Explanation |
|---|---|---|
| building_unit_type_display_value_unique | UNIQUE | Combination of (display_value) is unique |
| building_unit_type_pkey | PRIMARY KEY | Combination of (code) is the primary key |

## *Relationships (to)*

| Name | Information | Description |
|---|---|---|
| cadastre_object_building_unit_type_code_fkey | **From columns**: building_unit_type_code<br>**From Entity**: cadastre_object<br>**From cardinality**: 0..*<br>**To Cardinality**: 0..1 | |

## *Data*

| Nr | code | display_value | description | status |
|---|---|---|---|---|
| 1 | individual | Individual::::Individuale | | c |
| 2 | shared | Shared::::Condiviso | | c |

# map_sheet

Introduced in Nepal project.List of paper map references.

## *Columns*

| Name | Type | Optional | Default | Description |
|---|---|---|---|---|
| id | varchar(40) | False | uuid_generate_v1() | |
| map_number | varchar(10) | False | | |
| sheet_type | integer | True | | |
| ward_no | varchar(10) | True | | Ward number. |
| office_code | varchar(20) | False | | |
| srid | integer | False | | |

## *Constraints*

| Name | Type | Explanation |
|---|---|---|
| map_sheet_unique_map_number_office_code | UNIQUE | Combination of (map_number, office_code) is unique |
| map_sheet_pkey | PRIMARY KEY | Combination of (id) is the primary key |

## *Relationships (from)*

| Name | Information | Description |
|---|---|---|
| map_sheet_office_code_fk138 | **From columns**: office_code<br>**To Entity**: office<br>**From cardinality**: 0..*<br>**To Cardinality**: 1 | |

## *Relationships (to)*

| Name | Information | Description |
|---|---|---|
| cadastre_object_map_sheet_id_fk125 | **From columns**: map_sheet_id<br>**From Entity**: cadastre_object<br>**From cardinality**: 0..*<br>**To Cardinality**: 0..1 | |
| cadastre_object_map_sheet_id2_fk160 | **From columns**: map_sheet_id2<br>**From Entity**: cadastre_object<br>**From cardinality**: 0..*<br>**To Cardinality**: 0..1 | |
| cadastre_object_map_sheet_id3_fk161 | **From columns**: map_sheet_id3<br>**From Entity**: cadastre_object<br>**From cardinality**: 0..*<br>**To Cardinality**: 0..1 | |
| cadastre_object_map_sheet_id4_fk162 | **From columns**: map_sheet_id4<br>**From Entity**: cadastre_object<br>**From cardinality**: 0..*<br>**To Cardinality**: 0..1 | |

## *Data*

| Nr | id | map_number | sheet_type | ward_no | office_code | srid |
|---|---|---|---|---|---|---|
| 1 | 1 | 010 | 0 | | 7-25-003-001 | 97260 |

# land_type

Introduced in Nepal project.List of land use types.

## *Columns*

| Name | Type | Optional | Default | Description |
|---|---|---|---|---|
| code | varchar(20) | False | | |
| display_value | varchar(250) | False | | |
| description | varchar(555) | True | | |
| status | char(1) | False | | |

## *Constraints*

| Name | Type | Explanation |
|---|---|---|
| land_type_pkey | PRIMARY KEY | Combination of (code) is the primary key |

## *Relationships (to)*

| Name | Information | Description |
|---|---|---|
| cadastre_object_land_type_code_fk153 | **From columns**: land_type_code<br>**From Entity**: cadastre_object<br>**From cardinality**: 0..*<br>**To Cardinality**: 0..1 | |

# land_use

Introduced in Nepal project.List of parcel types.

## *Columns*

| Name | Type | Optional | Default | Description |
|---|---|---|---|---|
| code | varchar(20) | False | | |
| display_value | varchar(250) | False | | |
| description | varchar(555) | True | | |
| status | char(1) | False | | |

## *Constraints*

| Name | Type | Explanation |
|---|---|---|
| land_use_pkey | PRIMARY KEY | Combination of (code) is the primary key |

## *Relationships (to)*

| Name | Information | Description |
|---|---|---|
| cadastre_object_land_use_code_fk152 | **From columns**: land_use_code<br>**From Entity**: cadastre_object<br>**From cardinality**: 0..*<br>**To Cardinality**: 0..1 | |

## *Data*

| Nr | code | display_value | description | status |
|---|---|---|---|---|
| 1 | 0 | Private::::Private | Private::::Private | c |
| 2 | 20 | River::::River | River::::River | c |
| 3 | 30 | Forest::::Forest | Forest::::Forest | c |
| 4 | 60 | Government::::Government | Government::::Government | c |
| 5 | 70 | Institutional::::Institutional | Institutional::::Institutional | c |
| 6 | 10 | Public::::Public | Public::::Public | c |
| 7 | 40 | Cultivatable::::Cultivatable | Cultivatable::::Cultivatable | c |
| 8 | 50 | Not Cultivatable::::Not Cultivatable | Not Cultivatable::::Not Cultivatable | c |

# land_class

Introduced in Nepal project.List of land class types.

## *Columns*

| Name | Type | Optional | Default | Description |
|---|---|---|---|---|
| code | varchar(20) | False | | |
| display_value | varchar(250) | False | | |
| description | varchar(555) | True | | |
| status | char(1) | False | | |

## *Constraints*

| Name | Type | Explanation |
|---|---|---|
| land_class_pkey | PRIMARY KEY | Combination of (code) is the primary key |

## *Relationships (to)*

| Name | Information | Description |
|---|---|---|
| cadastre_object_land_class_code_fk154 | **From columns**: land_class_code<br>**From Entity**: cadastre_object<br>**From cardinality**: 0..*<br>**To Cardinality**: 0..1 | |

# area_unit_type

Introduced in Nepal project.Lists different area measurement types.

### *Columns*

| Name | Type | Optional | Default | Description |
|---|---|---|---|---|
| code | varchar(20) | False | | **LADM Definition** - a code identifying a utility network status type |
| display_value | varchar(250) | False | | **LADM Definition** - the displayed value of a utility network status type |
| description | varchar(555) | True | | **LADM Definition** - a description of a utility network status type |
| status | char(1) | False | 't' | **SOLA Extension** - the status of an instance of utility network status type |

### *Constraints*

| Name | Type | Explanation |
|---|---|---|
| area_unit_type_display_value_unique | UNIQUE | Combination of (display_value) is unique |
| area_unit_type_pkey | PRIMARY KEY | Combination of (code) is the primary key |

### *Relationships (to)*

| Name | Information | Description |
|---|---|---|
| legal_space_utility_network_status_code_fk26 | **From columns**: status_code<br>**From Entity**: legal_space_utility_network<br>**From cardinality**: 0..*<br>**To Cardinality**: 0..1 | LADM relationship - no refinement |
| cadastre_object_area_unit_type_code_fk163 | **From columns**: area_unit_type_code<br>**From Entity**: cadastre_object<br>**From cardinality**: 0..*<br>**To Cardinality**: 0..1 | |

### *Data*

| Nr | code | display_value | description | status |
|---|---|---|---|---|
| 1 | ropani | Ropani::::Ropani | | c |
| 2 | bighar | Bighar::::Bighar | | c |
| 3 | sqm | Sqare meters::::Sqare meters | | c |

# spatial_value_area

Refer to LADM Definition

**LADM Reference Object**
LA_AreaValue

**LADM Definition**
The area (size) of 2 dimension spatial unit

## *Columns*

| Name | Type | Optional | Default | Description |
|---|---|---|---|---|
| spatial_unit_id | varchar(40) | False | | **LADM Definition** - Spatial unit identifier |
| type_code | varchar(20) | False | | **LADM Definition** - Type of the spatial value area |
| size | numeric(29, 2) | False | | **LADM Definition** - The area of the spatial unit |

## *Constraints*

| Name | Type | Explanation |
|---|---|---|
| spatial_value_area_pkey | PRIMARY KEY | Combination of (spatial_unit_id,type_code) is the primary key |

## *Relationships (from)*

| Name | Information | Description |
|---|---|---|
| spatial_value_area_spatial_unit_id_fk16 | **From columns**: spatial_unit_id<br>**To Entity**: spatial_unit<br>**From cardinality**: 0..*<br>**To Cardinality**: 1 | LADM relationship - no refinement |
| spatial_value_area_type_code_fk17 | **From columns**: type_code<br>**To Entity**: area_type<br>**From cardinality**: 0..*<br>**To Cardinality**: 1 | LADM relationship - no refinement |

# area_type

Reference Table / Code list of the different versions or means of calculated area

**LADM Reference Object**
LA_AreaType

**LADM Definition**
Not Defined

## *Columns*

| Name | Type | Optional | Default | Description |
|---|---|---|---|---|
| code | varchar(20) | False | | **LADM Definition** - code for area type |
| display_value | varchar(250) | False | | **LADM Definition** - displayed value of area type |
| description | varchar(555) | True | | **LADM Definition** - description of area type |
| status | char(1) | False | 'c' | **SOLA Extension** - status of area type values |

## *Constraints*

| Name | Type | Explanation |
|---|---|---|
| area_type_display_value_unique | UNIQUE | Combination of (display_value) is unique |
| area_type_pkey | PRIMARY KEY | Combination of (code) is the primary key |

## *Relationships (to)*

| Name | Information | Description |
|---|---|---|
| spatial_value_area_type_code_fk17 | **From columns**: type_code<br>**From Entity**: spatial_value_area<br>**From cardinality**: 0..*<br>**To Cardinality**: 1 | LADM relationship - no refinement |

## *Data*

| Nr | code | display_value | description | status |
|---|---|---|---|---|
| 1 | calculatedArea | Calculated Area::::Area calcolata | | c |
| 2 | nonOfficialArea | Non-official Area::::Area Non ufficiale | | c |
| 3 | officialArea | Official Area::::Area Ufficiale | | c |
| 4 | surveyedArea | Surveyed Area::::Area Sorvegliata | | c |

# spatial_unit_group

Refer to LADM Definition

**LADM Reference Object**
LA_SpatialUnitGroup

**LADM Definition**
Any number of spatial units, considered as a single entity

## *Columns*

| Name | Type | Optional | Default | Description |
|---|---|---|---|---|
| id | varchar(40) | False | | **LADM Definition** - The identifier of the spatial unit group |
| hierarchy_level | integer | False | | **LADM Definition** - The level in the hierarchy of the (administrative or zoning) subdivision |
| label | varchar(50) | True | | **LADM Definition** - Short textual description of the spatial unit group |
| name | varchar(50) | True | | **LADM Definition** - The name of the spatial unit group |
| reference_point | GEOMETRY | True | | **LADM Definition** - The coordinates of a point within the spatial unit group |
| geom | GEOMETRY | True | | **SOLA Extension** - the spatial geometry for a spatial unit group |
| found_in_spatial_unit_group_id | varchar(40) | True | | **LADM Definition** - the identifier of the spatial unit group where the spatial unit is found |

## *Constraints*

| Name | Type | Explanation |
|---|---|---|
| spatial_unit_group_pkey | PRIMARY KEY | Combination of (id) is the primary key |

## *Relationships (from)*

| Name | Information | Description |
|---|---|---|
| spatial_unit_group_found_in_spatial_unit_group_id_fk23 | **From columns**: found_in_spatial_unit_group_id<br>**To Entity**: spatial_unit_group<br>**From cardinality**: 0..*<br>**To Cardinality**: 1 | LADM relationship - no refinement |

## *Relationships (to)*

| Name | Information | Description |
|---|---|---|
| spatial_unit_in_group_spatial_unit_group_id_fk24 | **From columns**: spatial_unit_group_id<br>**From Entity**: spatial_unit_in_group<br>**From cardinality**: 0..*<br>**To Cardinality**: 1 | LADM relationship - no refinement |

# spatial_unit_in_group

Implements the many-to-may relationship between spatial_unit_group and spatial_unit

**LADM Reference Object**
Relationship LA_SpatialUnitGroup - LA_SpatialUnit

**LADM Definition**
Not defined

## *Columns*

| Name | Type | Optional | Default | Description |
|---|---|---|---|---|
| spatial_unit_group_id | varchar(40) | False | | **LADM Definition** - Identifier of the spatial unit group |
| spatial_unit_id | varchar(40) | False | | **LADM Definition** - Spatial unit identifier |

## *Constraints*

| Name | Type | Explanation |
|---|---|---|
| spatial_unit_in_group_pkey | PRIMARY KEY | Combination of (spatial_unit_group_id,spatial_unit_id) is the primary key |

## *Relationships (from)*

| Name | Information | Description |
|---|---|---|
| spatial_unit_in_group_spatial_unit_group_id_fk24 | **From columns**: spatial_unit_group_id<br>**To Entity**: spatial_unit_group<br>**From cardinality**: 0..*<br>**To Cardinality**: 1 | LADM relationship - no refinement |
| spatial_unit_in_group_spatial_unit_id_fk25 | **From columns**: spatial_unit_id<br>**To Entity**: spatial_unit<br>**From cardinality**: 0..*<br>**To Cardinality**: 1 | LADM relationship - no refinement |

# legal_space_utility_network

Refer to LADM Definition

**LADM Reference Object**
LA_LegalSpaceUtilityNetwork

**LADM Definition**
A utility network concerns legal space, which does not necessarily coincide with the physical space of a utility network..

## *Columns*

| Name | Type | Optional | Default | Description |
|---|---|---|---|---|
| id | varchar(40) | False | | **LADM Definition** - Legal space utility network identifier |
| ext_physical_network_id | varchar(40) | True | | **LADM Definition** - External Identifier for a physical utility network |
| status_code | varchar(20) | True | | **LADM Definition** - Code for the legal space utility network |
| type_code | varchar(20) | False | | **LADM Definition** - Type code for the legal space utility network |
| geom | GEOMETRY | True | | |

## *Constraints*

| Name | Type | Explanation |
|---|---|---|
| legal_space_utility_network_pkey | PRIMARY KEY | Combination of (id) is the primary key |

## *Relationships (from)*

| Name | Information | Description |
|---|---|---|
| legal_space_utility_network_status_code_fk26 | **From columns**: status_code<br>**To Entity**: area_unit_type<br>**From cardinality**: 0..*<br>**To Cardinality**: 0..1 | LADM relationship - no refinement |
| legal_space_utility_network_type_code_fk27 | **From columns**: type_code<br>**To Entity**: utility_network_type<br>**From cardinality**: 0..*<br>**To Cardinality**: 1 | LADM relationship - no refinement |
| legal_space_utility_network_id_fk67 | **From columns**: id<br>**To Entity**: cadastre_object<br>**From cardinality**: 1<br>**To Cardinality**: 1 | |

# utility_network_type

Reference Table / Code list of utility network types

**LADM Reference Object**
LA_

**LADM Definition**
Not Defined

## *Columns*

| Name | Type | Optional | Default | Description |
|---|---|---|---|---|
| code | varchar(20) | False | | **LADM Definition** - a code identifying a utility network type |
| display_value | varchar(250) | False | | **LADM Definition** - the displayed value for a utility network type |
| description | varchar(555) | True | | **LADM Definition** - the description of a utility network type |
| status | char(1) | False | | **SOLA Extension** - the status of an instance of utility network type |

## *Constraints*

| Name | Type | Explanation |
|---|---|---|
| utility_network_type_display_value_unique | UNIQUE | Combination of (display_value) is unique |
| utility_network_type_pkey | PRIMARY KEY | Combination of (code) is the primary key |

## *Relationships (to)*

| Name | Information | Description |
|---|---|---|
| legal_space_utility_network_type_code_fk2 | **From columns**: type_code<br>**From Entity**: legal_space_utility_network<br>**From cardinality**: 0..*<br>**To Cardinality**: 1 | LADM relationship - no refinement |

## *Data*

| Nr | code | display_value | description | status |
|---|---|---|---|---|
| 1 | chemical | Chemicals::::Cimica | | c |
| 2 | electricity | Electricity::::Elettricita | | c |
| 3 | gas | Gas::::Gas | | c |
| 4 | heating | Heating::::Riscaldamento | | c |
| 5 | oil | Oil::::Carburante | | c |
| 6 | telecommunication | Telecommunication::::Telecomunicazione | | c |
| 7 | water | Water::::Acqua | | c |

# cadastre_object_target

This is a cadastre object that is a target of a cadastre related transaction. If the transaction is not yet approved or cancelled, the cadastre object gets a pending status.

## *Columns*

| Name | Type | Optional | Default | Description |
|---|---|---|---|---|
| transaction_id | varchar(40) | False | | The id of the transaction that is doing changes to the cadastre object. |
| cadastre_object_id | varchar(40) | False | | The id of the cadastre object being target of transaction. |
| geom_polygon | GEOMETRY | True | | The new geometry of the target cadastre object. It is used only when the transaction involves changes of the existing cadastre object geometry. Example of a transaction that changes an existing cadastre object is cadastre redefinition. |
| office_code | varchar(20) | False | | |

## *Constraints*

| Name | Type | Explanation |
|---|---|---|
| cadastre_object_target_pkey | PRIMARY KEY | Combination of (transaction_id,cadastre_object_id) is the primary key |

## *Relationships (from)*

| Name | Information | Description |
|---|---|---|
| cadastre_object_target_cadastre_object_id_fk90 | **From columns**: cadastre_object_id<br>**To Entity**: cadastre_object<br>**From cardinality**: 0..*<br>**To Cardinality**: 1 | |
| cadastre_object_target_transaction_id_fk93 | **From columns**: transaction_id<br>**To Entity**: transaction<br>**From cardinality**: 0..*<br>**To Cardinality**: 1 | |
| cadastre_object_target_office_code_fk145 | **From columns**: office_code<br>**To Entity**: office<br>**From cardinality**: 0..*<br>**To Cardinality**: 1 | |

# survey_point

## *Columns*

| Name | Type | Optional | Default | Description |
|---|---|---|---|---|
| transaction_id | varchar(40) | False | | |
| id | varchar(40) | False | | |
| boundary | bool | False | true | |
| geom | GEOMETRY | False | | |
| original_geom | GEOMETRY | False | | |

## *Constraints*

| Name | Type | Explanation |
|---|---|---|
| survey_point_pkey | PRIMARY KEY | Combination of (transaction_id,id) is the primary key |

## *Relationships (from)*

| Name | Information | Description |
|---|---|---|
| survey_point_transaction_id_fk92 | **From columns**: transaction_id<br>**To Entity**: transaction<br>**From cardinality**: 0..*<br>**To Cardinality**: 1 | |

# cadastre_object_node_target

The nodes that have been changed or added from the transaction.

## *Columns*

| Name | Type | Optional | Default | Description |
|---|---|---|---|---|
| transaction_id | varchar(40) | False | | The id of the transaction that is changing or inserting a new node. |
| node_id | varchar(40) | False | | The node id. |
| geom | GEOMETRY | False | | The geometry of the node. |

## *Constraints*

| Name | Type | Explanation |
|---|---|---|
| cadastre_object_node_target_pkey | PRIMARY KEY | Combination of (transaction_id,node_id) is the primary key |

## *Relationships (from)*

| Name | Information | Description |
|---|---|---|
| cadastre_object_node_target_transaction_fk1 | **From columns**: transaction_id<br>**To Entity**: transaction<br>**From cardinality**: 0..*<br>**To Cardinality**: 1 | |

# verticalParcel

Used for the parcel having apartment

## *Columns*

| Name | Type | Optional | Default | Description |
|---|---|---|---|---|
| vid | integer | False | | Vertical Parcel ID |
| geom_polygon | GEOMETRY | True | | |
| id | varchar(40) | False | | Parcel ID |
| height | numeric(19, 3) | True | | Height of the level at which apartment exists |
| ownerId | integer | True | | |
| area | numeric(29, 3) | True | | |

## *Constraints*

| Name | Type | Explanation |
|---|---|---|
| verticalParcel_pkey | PRIMARY KEY | Combination of (vid,id) is the primary key |

## *Relationships (from)*

| Name | Information | Description |
|---|---|---|
| verticalParcel_id_fk112 | **From columns**: id<br>**To Entity**: cadastre_object<br>**From cardinality**: 0..*<br>**To Cardinality**: 1 | |

# construction

Building Constructed in the Parcel

## *Columns*

| Name | Type | Optional | Default | Description |
|---|---|---|---|---|
| cid | integer | False | | Construction ID |
| geom_polygon | GEOMETRY | True | | |
| id | varchar(40) | False | | Respective Parcel ID |
| constype | integer | False | | Construction Type |
| area | numeric(29, 3) | True | | |

## *Constraints*

| Name | Type | Explanation |
|---|---|---|
| construction_pkey | PRIMARY KEY | Combination of (cid,id) is the primary key |

## *Relationships (from)*

| Name | Information | Description |
|---|---|---|
| construction_id_fk113 | **From columns**: id<br>**To Entity**: cadastre_object<br>**From cardinality**: 0..*<br>**To Cardinality**: 1 | |
| construction_constype_fk114 | **From columns**: constype<br>**To Entity**: construction_type<br>**From cardinality**: 0..*<br>**To Cardinality**: 1 | |

# construction_type

## *Columns*

| Name | Type | Optional | Default | Description |
|---|---|---|---|---|
| code | integer | False | | |
| description | varchar(255) | True | | |

## *Constraints*

| Name | Type | Explanation |
|---|---|---|
| construction_type_pkey | PRIMARY KEY | Combination of (code) is the primary key |

## *Relationships (to)*

| Name | Information | Description |
|---|---|---|
| construction_constype_fk114 | **From columns**: constype<br>**From Entity**: construction<br>**From cardinality**: 0..*<br>**To Cardinality**: 1 | |

## *Data*

| Nr | code | description |
|---|---|---|
| 1 | 0 | Permanent Building::::Permanent Building |
| 2 | 10 | Temporary Building::::Temporary Building |
| 3 | 20 | Damaged Building::::Damaged Building |
| 4 | 30 | Wall::::Wall |
| 5 | 40 | Pond::::Pond |
| 6 | 50 | Gate/Entrance::::Gate/Entrance |
| 7 | 60 | Temple::::Temple |
| 8 | 150 | Stupa::::Stupa |

# boundary_type

## Columns

| Name | Type | Optional | Default | Description |
|---|---|---|---|---|
| code | integer | False | | Unique ID |
| description | varchar(255) | True | | |

## Constraints

| Name | Type | Explanation |
|---|---|---|
| boundary_type_pkey | PRIMARY KEY | Combination of (code) is the primary key |

## Relationships (to)

| Name | Information | Description |
|---|---|---|
| segments_bound_type_fk117 | **From columns**: bound_type<br>**From Entity**: segments<br>**From cardinality**: 0..*<br>**To Cardinality**: 1 | |

## Data

| Nr | code | description |
|---|---|---|
| 1 | 0 | None::::None |
| 2 | 10 | Building Foot Print::::Building Foot Print |
| 3 | 20 | Wall::::Wall |
| 4 | 25 | Shared Wall::::Shared Wall |
| 5 | 30 | Fence::::Fence |
| 6 | 35 | Shared Fence::::Shared Fence |
| 7 | 40 | Gate::::Gate |
| 8 | 50 | Line Canal::::Line Canal |
| 9 | 52 | Line Canal and Wall::::Line Canal and Wall |
| 10 | 54 | Line Canal and Fence::::Line Canal and Fence |
| 11 | 58 | Line Canal and Gate::::Line Canal and Gate |

# adminstrative_boundary_type

## *Columns*

| Name | Type | Optional | Default | Description |
|---|---|---|---|---|
| code | integer | False | | |
| description | varchar(255) | True | | |

## *Constraints*

| Name | Type | Explanation |
|---|---|---|
| adminstrative_boundary_type_pkey | PRIMARY KEY | Combination of (code) is the primary key |

## *Relationships (to)*

| Name | Information | Description |
|---|---|---|
| segments_abound_type_fk116 | **From columns**: abound_type<br>**From Entity**: segments<br>**From cardinality**: 0..*<br>**To Cardinality**: 1 | |

## *Data*

| Nr | code | description |
|---|---|---|
| 1 | 0 | None::::None |
| 2 | 10 | Ward::::Ward |
| 3 | 20 | VDC/Municipality::::VDC/Municipality |
| 4 | 30 | District::::District |
| 5 | 40 | Zone::::Zone |
| 6 | 50 | National::::National |

# map_boundary_type

## Columns

| Name | Type | Optional | Default | Description |
|---|---|---|---|---|
| code | integer | False | | |
| description | varchar(255) | True | | |

## Constraints

| Name | Type | Explanation |
|---|---|---|
| map_boundary_type_pkey | PRIMARY KEY | Combination of (code) is the primary key |

## Relationships (to)

| Name | Information | Description |
|---|---|---|
| segments_mbound_type_fk115 | **From columns**: mbound_type<br>**From Entity**: segments<br>**From cardinality**: 0..*<br>**To Cardinality**: 1 | |

## Data

| Nr | code | description |
|---|---|---|
| 1 | 0 | None::::None |
| 2 | 10 | Grid Sheet::::Grid Sheet |
| 3 | 20 | Free Sheet::::Free Sheet |

# segments

## *Columns*

| Name | Type | Optional | Default | Description |
|---|---|---|---|---|
| sid | integer | False | | Segment ID |
| segno | integer | True | | |
| the_geom | GEOMETRY | True | | the geometry for the segment |
| bound_type | integer | False | | Construction type of boundary |
| id | varchar(40) | False | | Parcel Id |
| mbound_type | integer | False | | Boundary Type in Map |
| abound_type | integer | False | | Boundary Type for Administrative Unit |
| shape_length | numeric(19, 3) | True | | Length of the segment |

## *Constraints*

| Name | Type | Explanation |
|---|---|---|
| segments_pkey | PRIMARY KEY | Combination of (sid,id) is the primary key |

## *Relationships (from)*

| Name | Information | Description |
|---|---|---|
| segments_id_fk111 | **From columns**: id<br>**To Entity**: cadastre_object<br>**From cardinality**: 0..*<br>**To Cardinality**: 1 | |
| segments_mbound_type_fk115 | **From columns**: mbound_type<br>**To Entity**: map_boundary_type<br>**From cardinality**: 0..*<br>**To Cardinality**: 1 | |
| segments_abound_type_fk116 | **From columns**: abound_type<br>**To Entity**: adminstrative_boundary_type<br>**From cardinality**: 0..*<br>**To Cardinality**: 1 | |
| segments_bound_type_fk117 | **From columns**: bound_type<br>**To Entity**: boundary_type<br>**From cardinality**: 0..*<br>**To Cardinality**: 1 | |

# road

A map feature (used in the Samoa implementation) that identifies the centrelines of  roads in SamoaLADM Reference ObjectFLOSS SOLA ExtensionLADM DefinitionNot Applicable

## *Columns*

| Name | Type | Optional | Default | Description |
|---|---|---|---|---|
| id | varchar(40) | True | | Road identifier |
| label | varchar(255) | True | | Name of each of road |
| geom | GEOMETRY | True | | Geometry type |

# survey_control

This is a view which is used to retrieve the survey points from the spatial units. It is used from the gis component.

### *Columns*

| Name | Type | Optional | Default | Description |
|---|---|---|---|---|
| id | varchar(40) | True | | identifier |
| label | varchar(255) | True | | Label of island |
| geom | GEOMETRY | True | | geometry type of island |

# place_name

View for retrieving place names to be used in the gis component.

### *Columns*

| Name | Type | Optional | Default | Description |
|---|---|---|---|---|
| id | varchar(40) | True | | Identifier of village |
| label | varchar(255) | True | | Labels and description of village |
| geom | GEOMETRY | True | | Description of the geometry type |